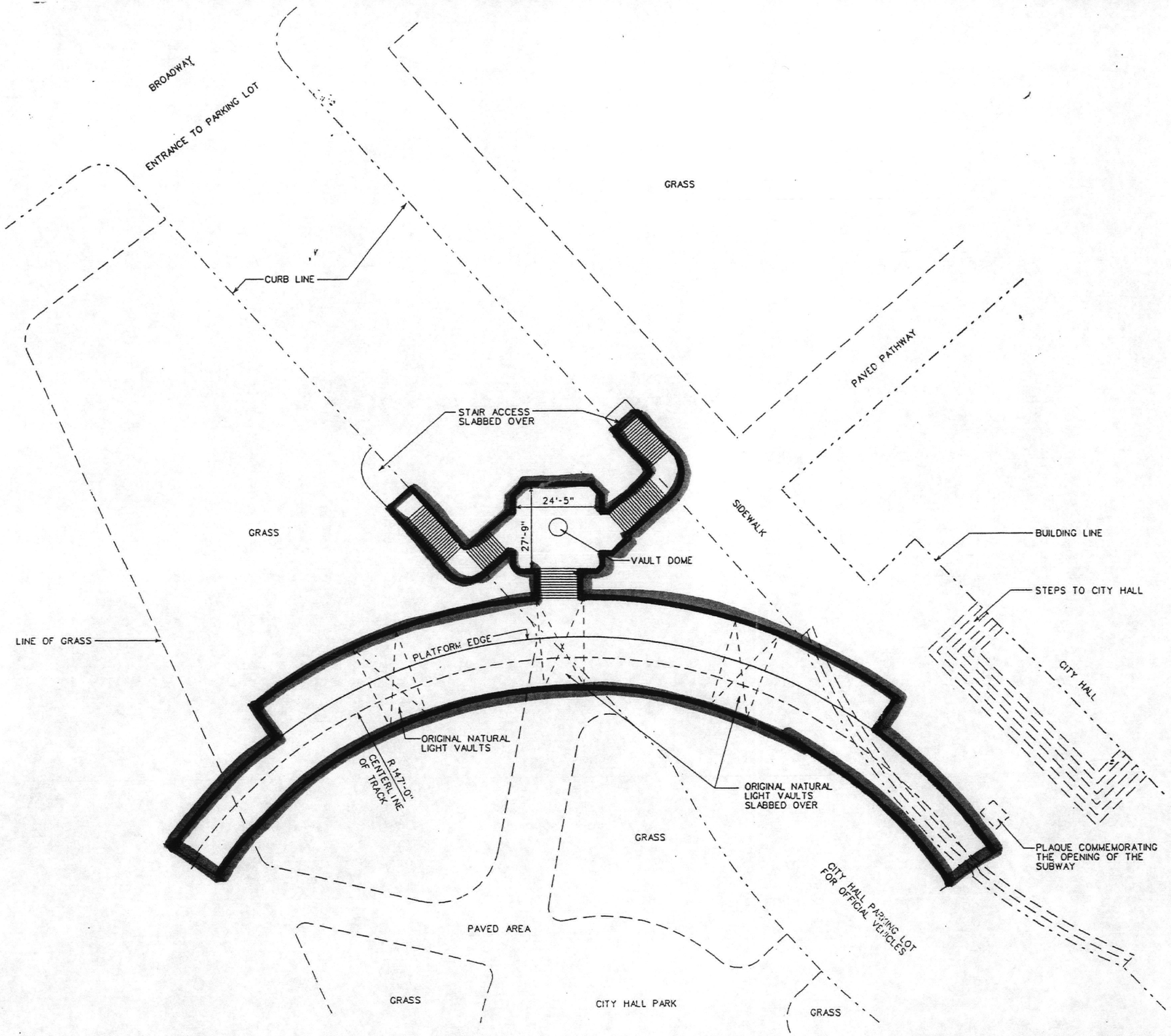

NEW YORK CITY TRANSIT AUTHORITY

DEPARTMENT OF ENGINEERING AND CONSTRUCTION

DIVISION OF STATION DESIGN

THE CITY HALL STATION
LEXINGTON AVE LINE
BOROUGH OF MANHATTAN

LOCATION PLAN

DRAWN BY: A. DIAS

APPROVED BY: L. KRASNOFF R.A. DIVISION ARCHITECT

SCALE: 1 10 20 30 40

DATE: AUG. 27, 1993

DRAWING NO.: A-1



B.

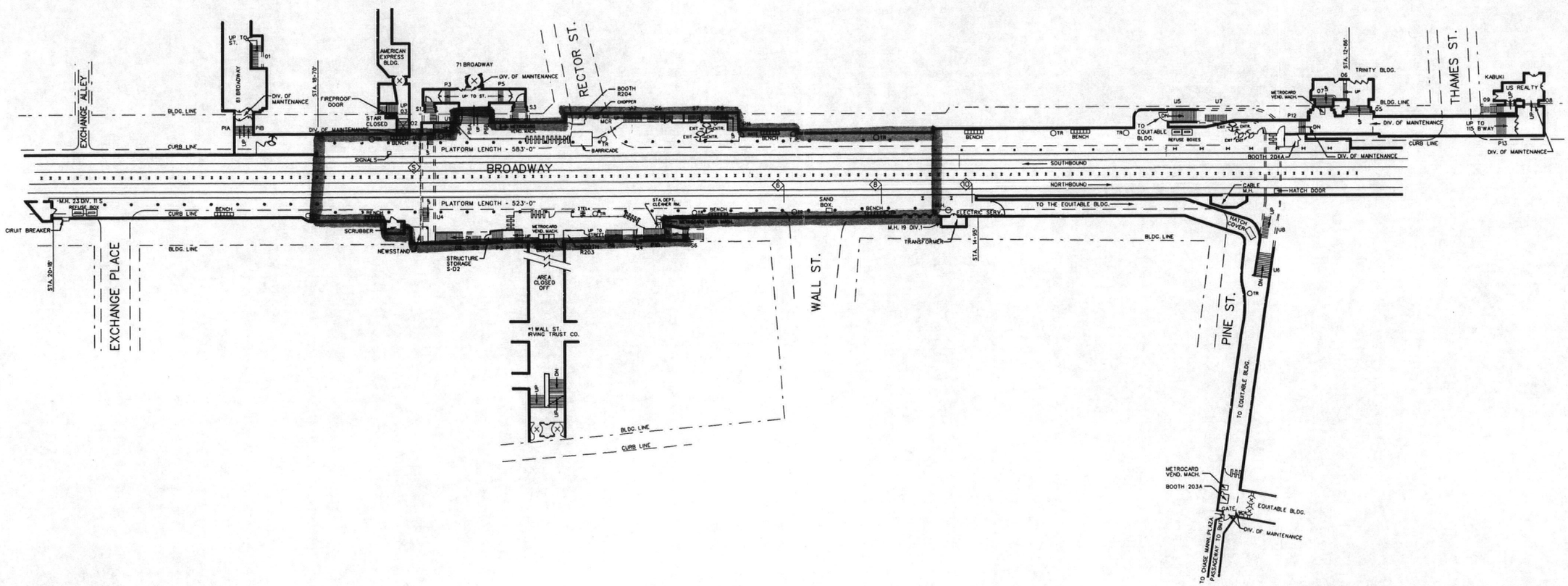

DATE	REVISIONS	BY
10-28-98	ALTERATION TO FARE CONTROL	ECS
3-22-01	REVISED AS PER FIELD SURVEY. NO STRUCTURAL CHANGES	DI
3-17-03	METROCARD VENDING MACHINES & HI-ENTRY WHEELS ADDED	HH

NOTE: THIS DRAWING SUPERSEDES DRAWING MS-7786-R DATED 05-07-71.

NEW YORK CITY TRANSIT
DEPARTMENT OF SUBWAYS
MAINTENANCE OF WAY DIVISION
ENGINEERING SUBDIVISION
INFRASTRUCTURE SECTION

WALL STREET STATION

STATION PLAN

LEXINGTON AVENUE LINE - IRT DIVISION

STATION NUMBER: 413

DATE: 10-23-98

18" x 36" - 4.5 s.f.

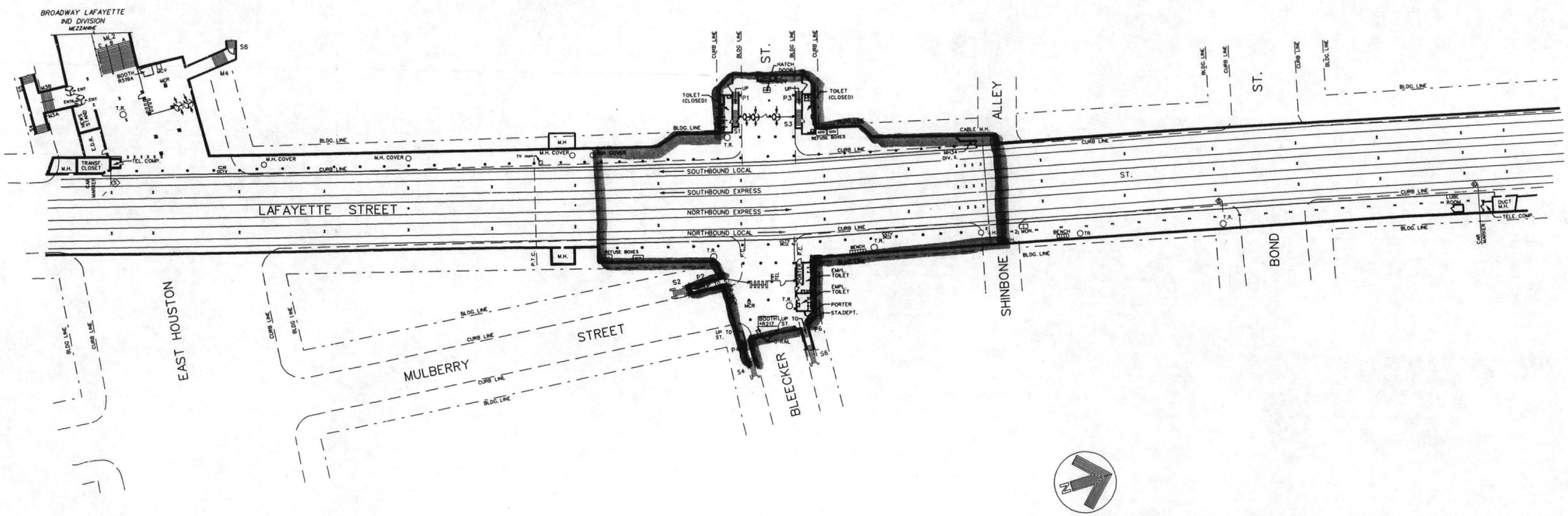

DATE	REVISIONS	BY
11-05-98	ALTERATION TO FARE CONTROL AREAS	M.H.
6-29-01	INFRASTRUCTURE ROOM AND NEWS STAND ADDED AT S/E OF S/B LOCAL PLATFORM.	DI
3-11-03	CHANGED CARMARKERS TO ◇ AT SO. BOUND PLATFORM.	ECS

NOTE: THIS DRAWING SUPERSEDES DRAWING MS-5635-R DATED MAY 17, 1963.

SCALE

0 25 50 100 FT

NEW YORK CITY TRANSIT
DEPARTMENT OF SUBWAYS
MAINTENANCE OF WAY DIVISION
ENGINEERING SUBDIVISION
INFRASTRUCTURE SECTION

MTA

BLEECKER STREET STATION

STATION PLAN

LEXINGTON AVENUE LINE - IRT DIVISION

STATION NUMBER: 408

DATE: 11-03-98

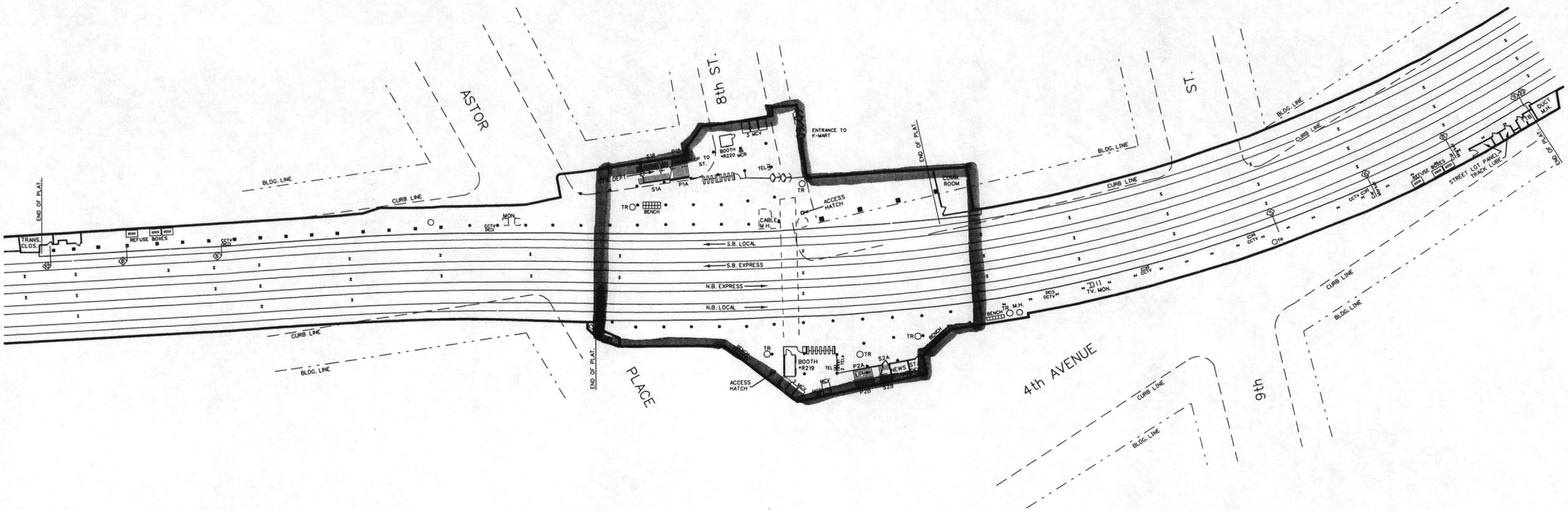

DATE	REVISIONS	BY
11-05-98	ALTERATION TO FARE CONTROL:CARMARKERS RELOCATED	ECS
6-29-01	TELE-COMM. ROOM ADDED AT N/E OF S/B PLATFORM.	DI
3-11-03	REVISED. NEW STATION DEPT. ROOM ADDED TO N/B PLATFORM	DI

NOTE: THIS DRAWING SUPERSEDES DRAWING MS-5640-R DATED 05-21-63.

N

SCALE

0 25 50 100 FT

NEW YORK CITY TRANSIT
DEPARTMENT OF SUBWAYS
MAINTENANCE OF WAY DIVISION
ENGINEERING SUBDIVISION
INFRASTRUCTURE SECTION

MTA

ASTOR PLACE STATION

STATION PLAN

LEXINGTON AVENUE LINE - IRT DIVISION

STATION NUMBER: 407

DATE: 10-03-98

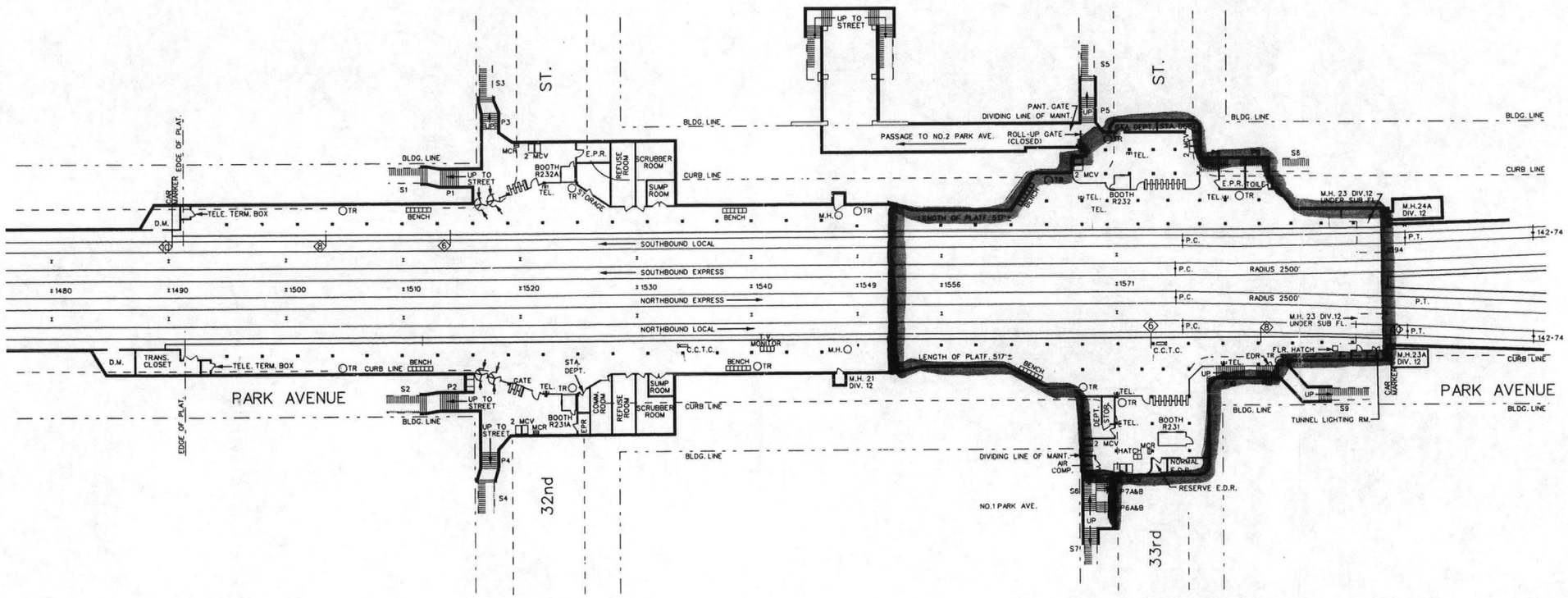

DATE	REVISIONS	BY
1-28-99	REVISED AS PER FIELD SURVEY. CHANGES AS PER CONTRACT A-35645.	ECS
7-02-01	AFC ALTERATION: REMOVED CARMARKER #4	ECS
3-7-03	REVISED AS PER FIELD SURVEY. NO STRUCTURAL CHANGES.	DI

NOTE: THIS DRAWING SUPERSEDES DRAWING MS-7884-R DATED 9-23-1971

SCALE

0 25 50 100 FT

NEW YORK CITY TRANSIT
DEPARTMENT OF SUBWAYS
MAINTENANCE OF WAY DIVISION
ENGINEERING SUBDIVISION
INFRASTRUCTURE SECTION

33rd STREET STATION

STATION PLAN

LEXINGTON AVENUE LINE - IRT DIVISION

STATION NUMBER: 403

DATE: 1-27-99

18" x 36" = 4.5 s.f.

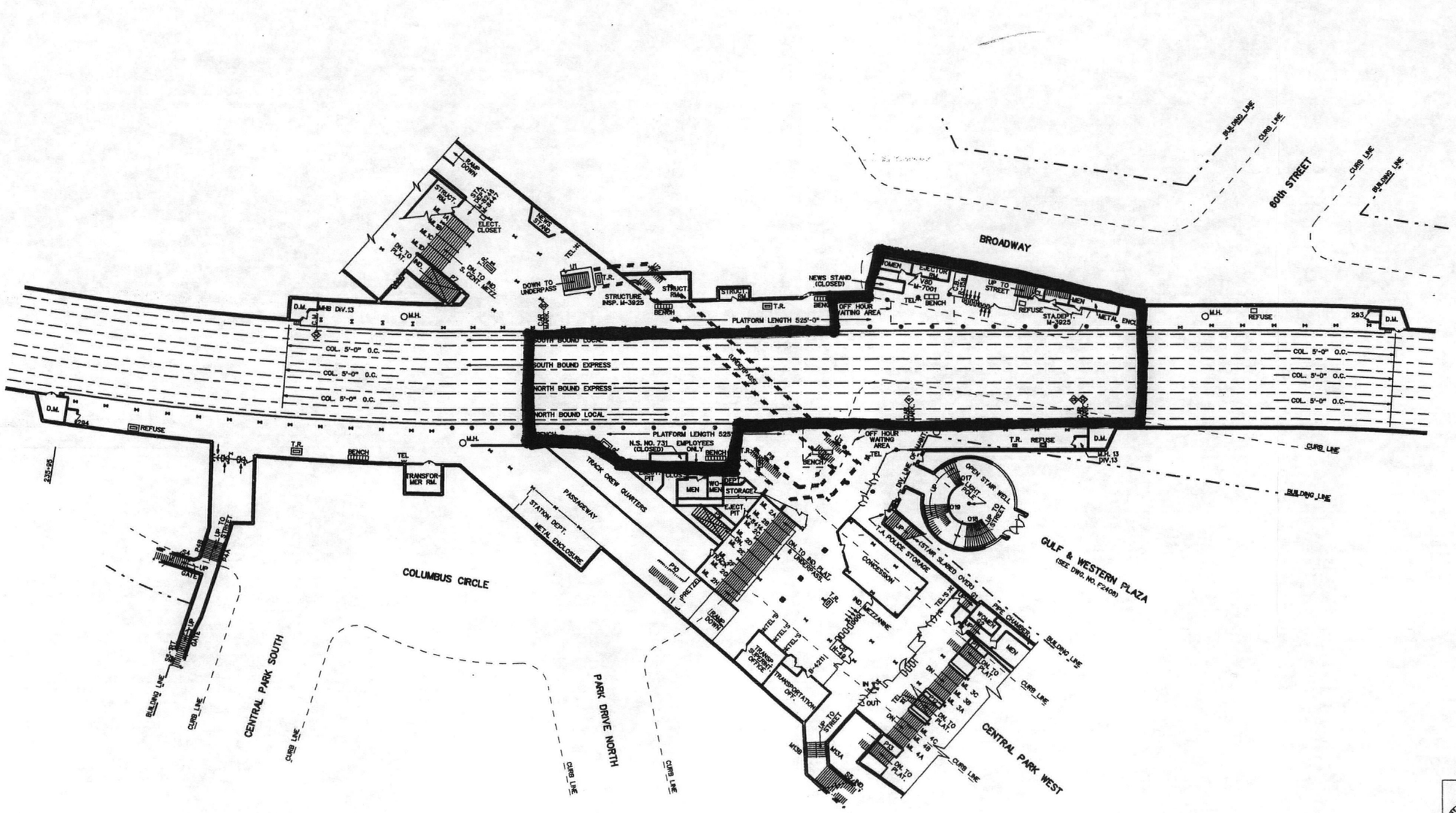

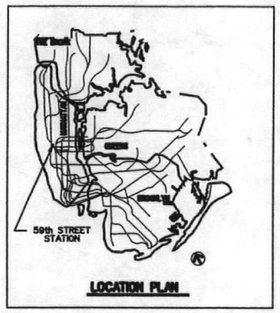

SCALE 1"=20'-0"

NEW YORK CITY TRANSIT AUTHORITY

59th STREET STATION

BROADWAY 7TH AVENUE LINE
BOROUGH OF MANHATTAN

DWG.NO.-MS-8103-R

DATE : 5/18/83

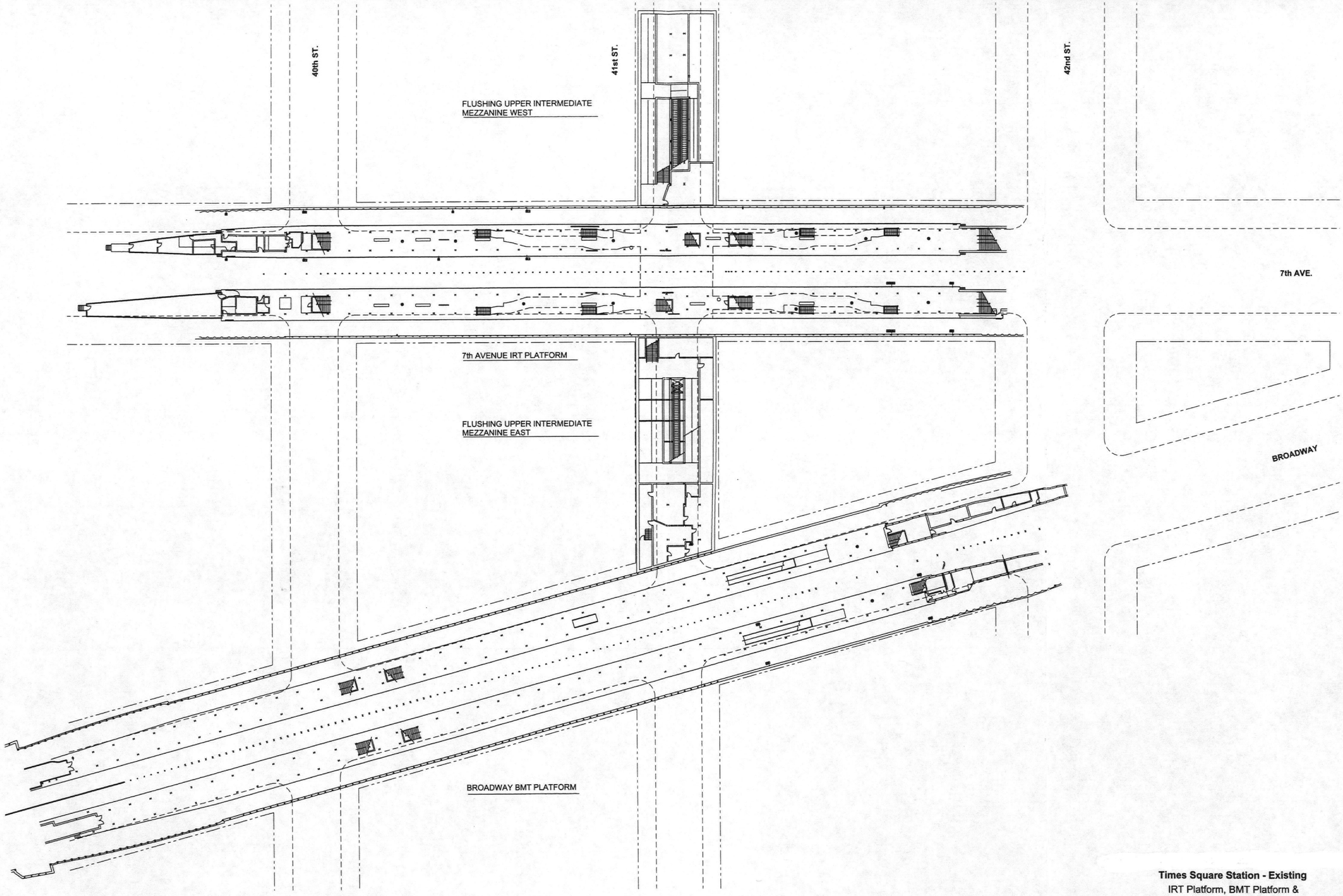

Times Square Station - Existing
IRT Platform, BMT Platform &
Flushing Upper Intermediate Mezzanine

NOT TO SCALE

A

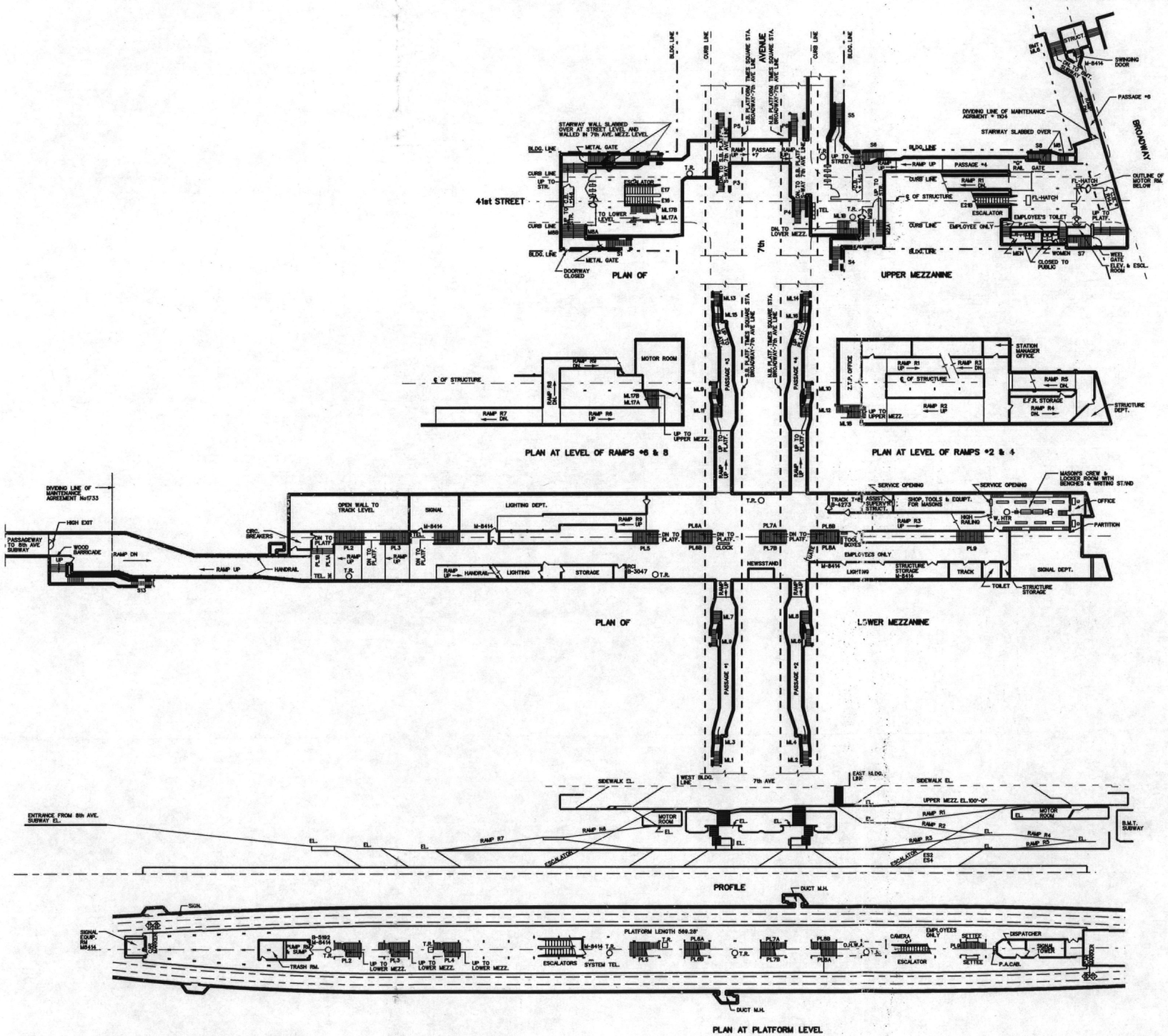

NEW YORK CITY TRANSIT AUTHORITY

TIMES SQUARE STATION

FLUSHING LINE
BOROUGH OF MANHATTAN

DWG. NO. MS-32827

DATE: 03/03/94

B

SOUTH MEZZANINE PLAN

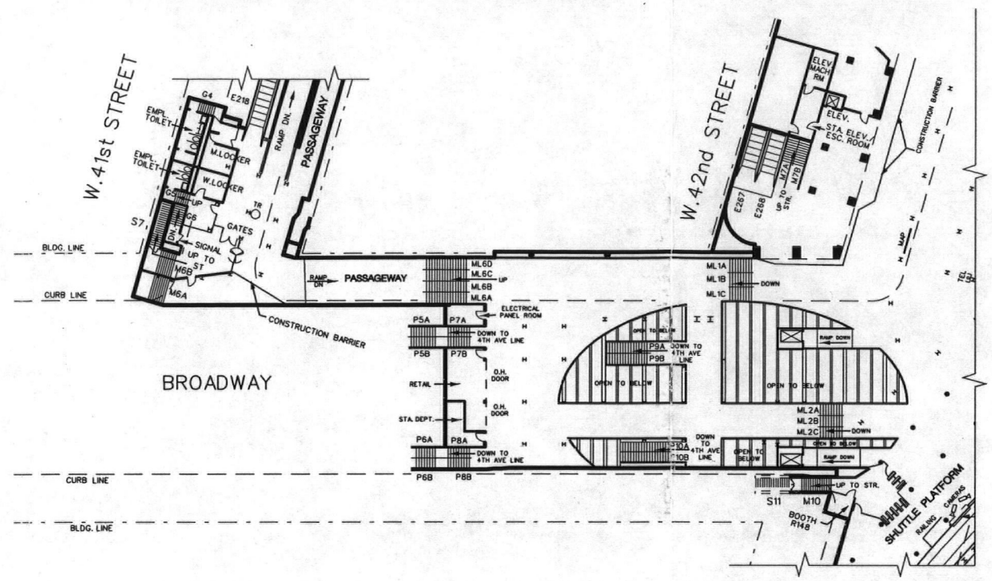

NORTH MEZZANINE PLAN

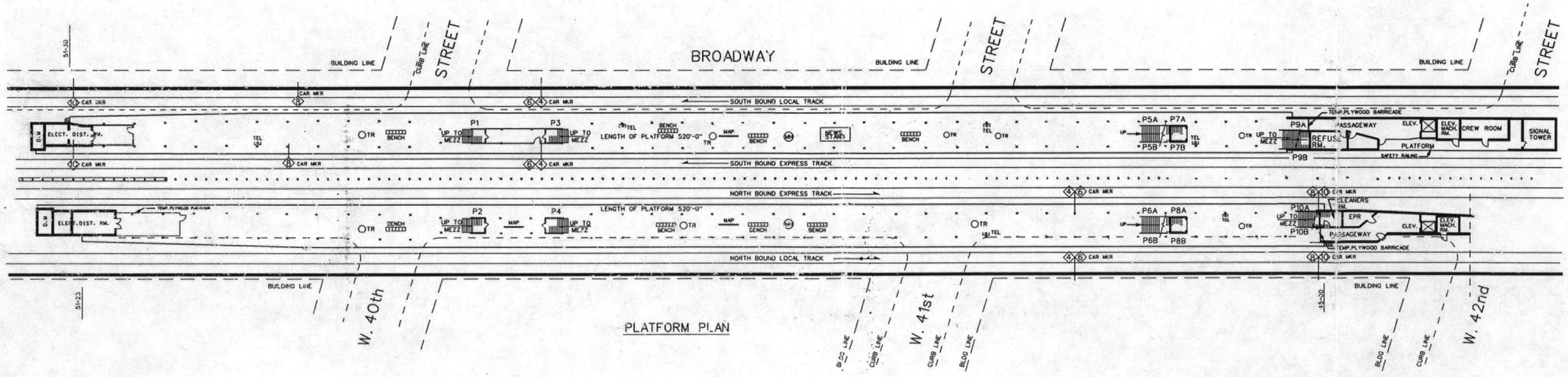

PLATFORM PLAN

DATE	REVISIONS	BY
7-30-96	SURVEYED, NO STRUCTURAL CHANGES	JL
2-13-99	SOUTH MEZZANINE IS UNDER CONSTRUCTION	ECS
1-10-03	STATION REHABILITATION AS PER CONTRACT A-35762	ECS

NOTE: THIS DRAWING SUPERSEDES DRAWING MS-7516-B DATED 02-19-71.

N

SCALE

0 25 50 100 FT

NEW YORK CITY TRANSIT
DEPARTMENT OF SUBWAYS
MAINTENANCE OF WAY DIVISION
ENGINEERING SUBDIVISION
INFRASTRUCTURE SECTION

MTA

42nd STREET- TIMES SQUARE

STATION PLAN

B'WAY/4th AVE. LINE - BMT DIVISION

STATION NUMBER: 11

DATE: 08-28-95

24" x 36" - 6 s.f.

C

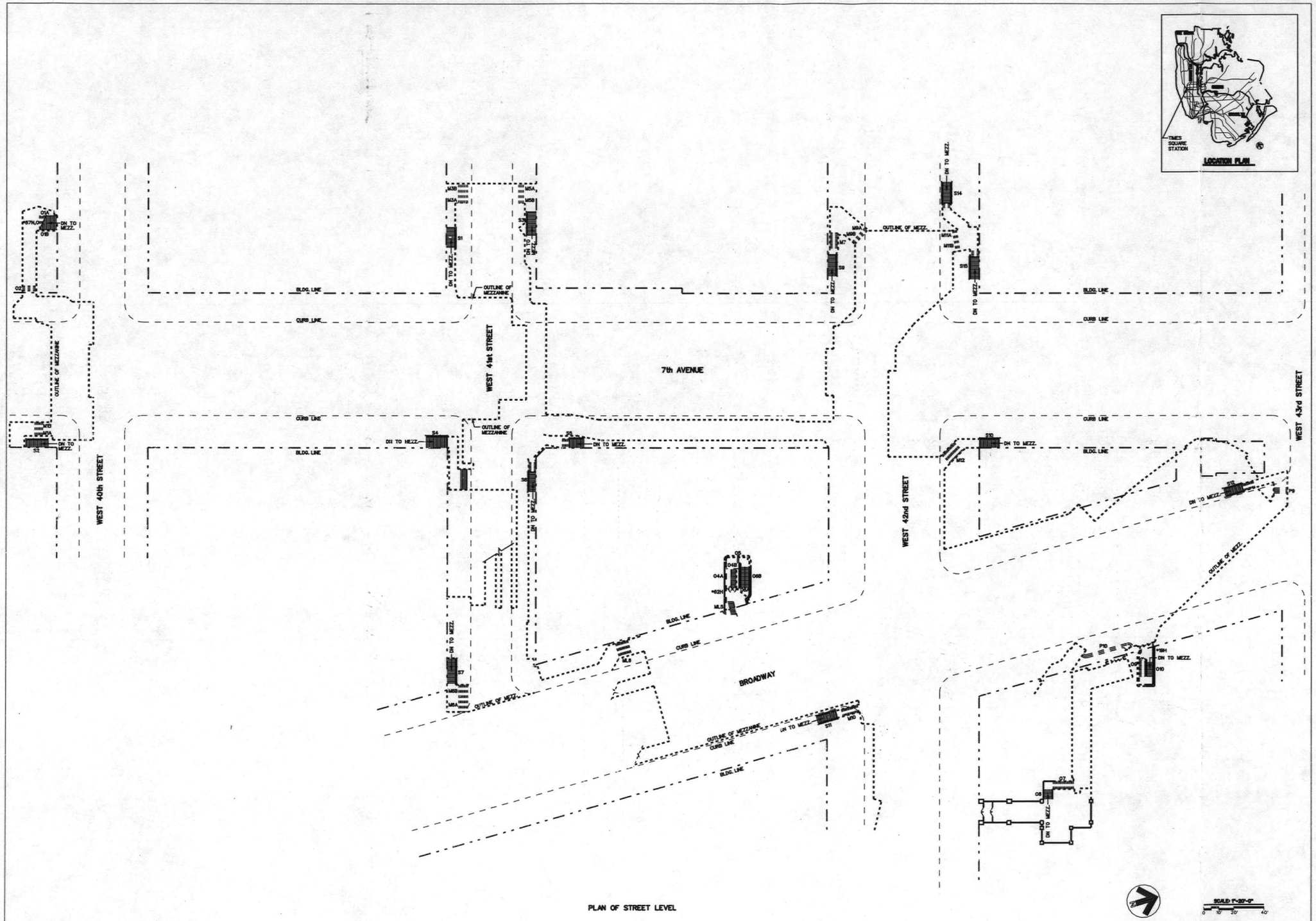

PLAN OF STREET LEVEL

D

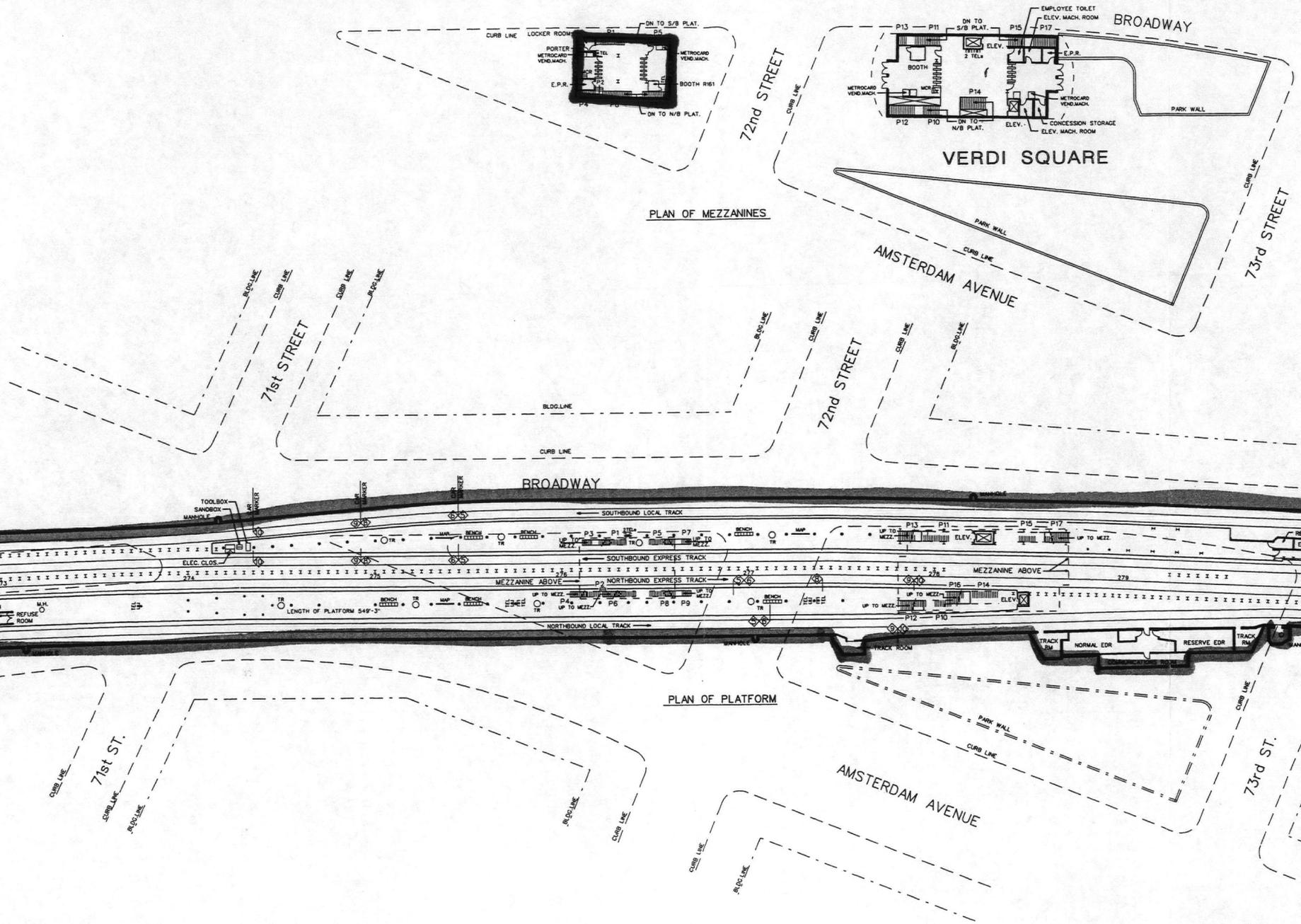

DATE	REVISIONS	BY

NOTE: THIS DRAWING SUPERSEDES DRAWING STATION NO. 313 DATED 05-26-98. STATION AS PER STATION REHABILITATION CONTRACT A-35763.

SCALE

0 25 50 100 FT

NEW YORK CITY TRANSIT
DEPARTMENT OF SUBWAYS
MAINTENANCE OF WAY DIVISION
ENGINEERING SUBDIVISION
INFRASTRUCTURE SECTION

MTA

72nd STREET STATION

STATION PLAN

BROADWAY/ 7th AVE. LINE - IRT DIVISION

STATION NUMBER: 313

DATE: 10-17-02

24" x 36" - 6 s.f.

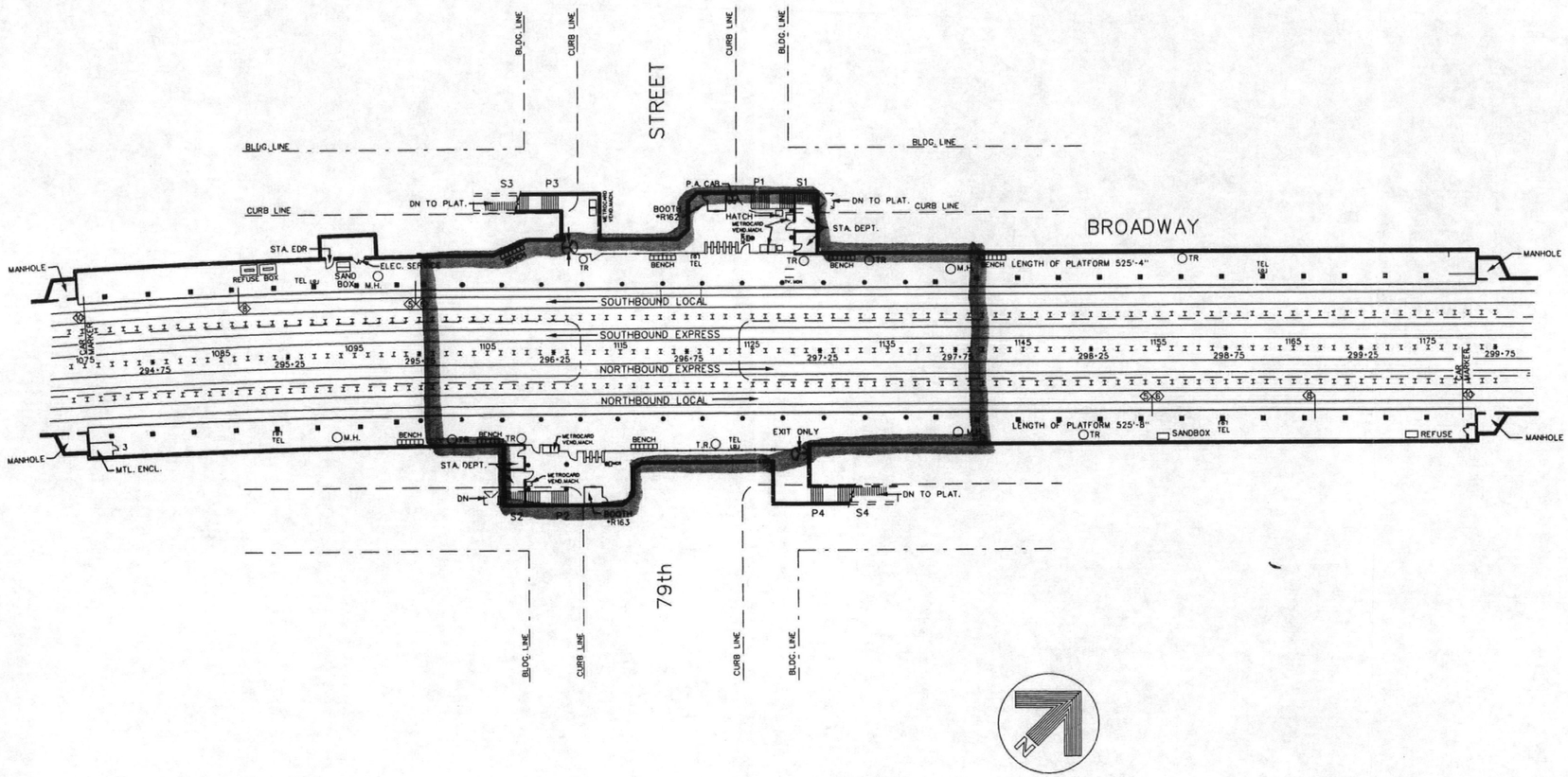

DATE	REVISIONS	BY
6-01-98	ALTERATION TO FARE CONTROL	ECS
11-27-00	ADDED METROCARD VENDING MACHINES	H.H.
01-06-03	CARMARKERS RELOCATED: ADDED METROCARD VENDING MACHINE	ECS

NOTE: THIS DRAWING SUPERSEDES DRAWING MS-9768-R DATED 07-29-1912.

SCALE

0 25 50 100 FT

NEW YORK CITY TRANSIT
DEPARTMENT OF SUBWAYS
MAINTENANCE OF WAY DIVISION
ENGINEERING SUBDIVISION
INFRASTRUCTURE SECTION

79th STREET STATION

STATION PLAN

BROADWAY/ 7th AVE. LINE - IRT DIVISION

STATION NUMBER: 312

DATE: 5-27-98

18" x 36" - 4.5 s.f.

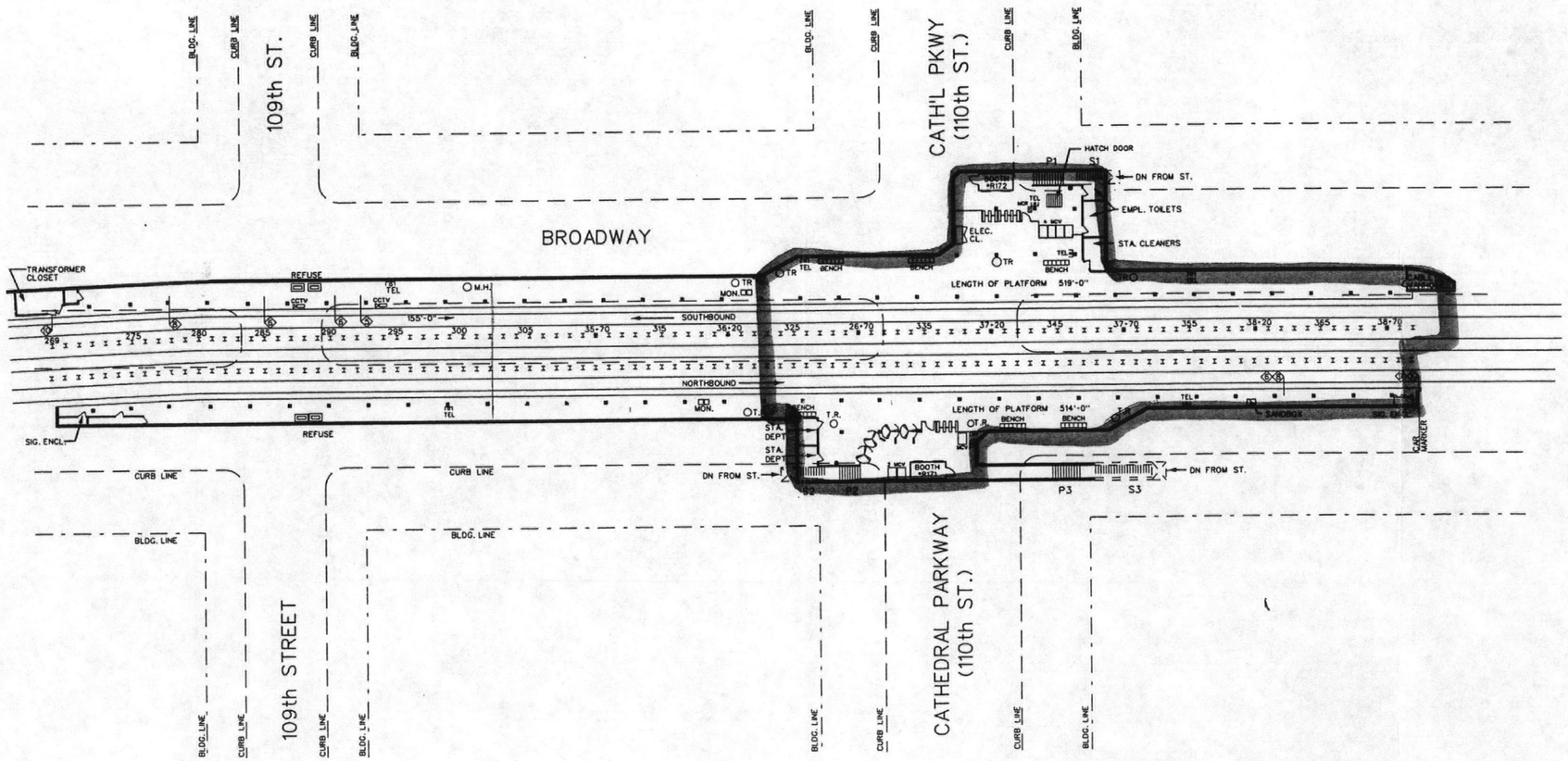

DATE	REVISIONS	BY
8-26-98	SURVEYED, REVISED FARE CONTROLS, NO STRUCTURAL CHANGES	JL
4-22-99	STATION NAME REVISED AS PER OPERATIONS PLANNING	H.H.
11-27-00	ADDED METROCARD VENDING MACHINES & EXIT WHEELS	H.H.
1-7-03	REVISED AS PER STATION SURVEY. NO STRUCTURAL CHANGES.	DI

NOTE: THIS DRAWING SUPERSEDES DRAWING MS-9774-R DATED 08-04-12.

SCALE

0 25 50 100 FT

NEW YORK CITY TRANSIT
DEPARTMENT OF SUBWAYS
MAINTENANCE OF WAY DIVISION
ENGINEERING SUBDIVISION
INFRASTRUCTURE SECTION

CATHEDRAL PARKWAY (110th ST.)

STATION PLAN

BROADWAY/ 7th AVE. LINE - IRT DIVISION

STATION NUMBER: 308

DATE: 08-26-98

18" x 36" = 4.5 s.f.

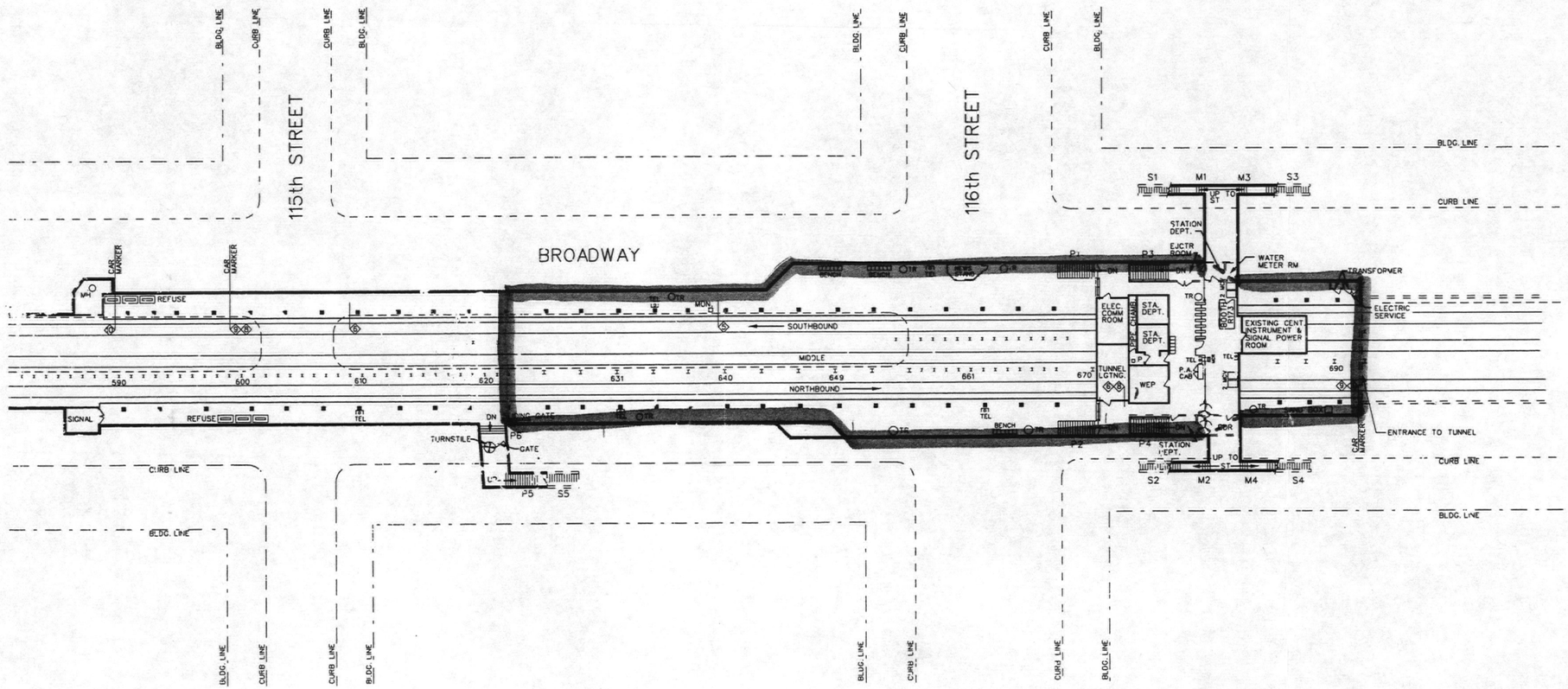

DATE	REVISIONS	BY
8-26-98	SURVEYED, NO STRUCTURAL CHANGES	JL
4-22-99	STATION NAME REVISED AS PER OPERATIONS PLANNING	H.H.
11-08-00	CARMARKERS RELOCATED	H.H.
1-14-03	REVISED, NEW LIGHTING AND ELECTRICAL ROOMS ADDED TO MEZZANINE. CAR MARKER #5 ON N/B PLATFORM RELOCATED	DI

NOTE: THIS DRAWING SUPERSEDES DRAWING MS-9367-R DATED 11-27-78.

SCALE

0 25 50 100 FT

NEW YORK CITY TRANSIT
DEPARTMENT OF SUBWAYS
MAINTENANCE OF WAY DIVISION
ENGINEERING SUBDIVISION
INFRASTRUCTURE SECTION

116th ST.- COLUMBIA UNIVERSITY

STATION PLAN

BROADWAY/ 7th AVE. LINE - IRT DIVISION

STATION NUMBER: 307

DATE: 8-26-98

18" x 36" = 4.5 s.f.

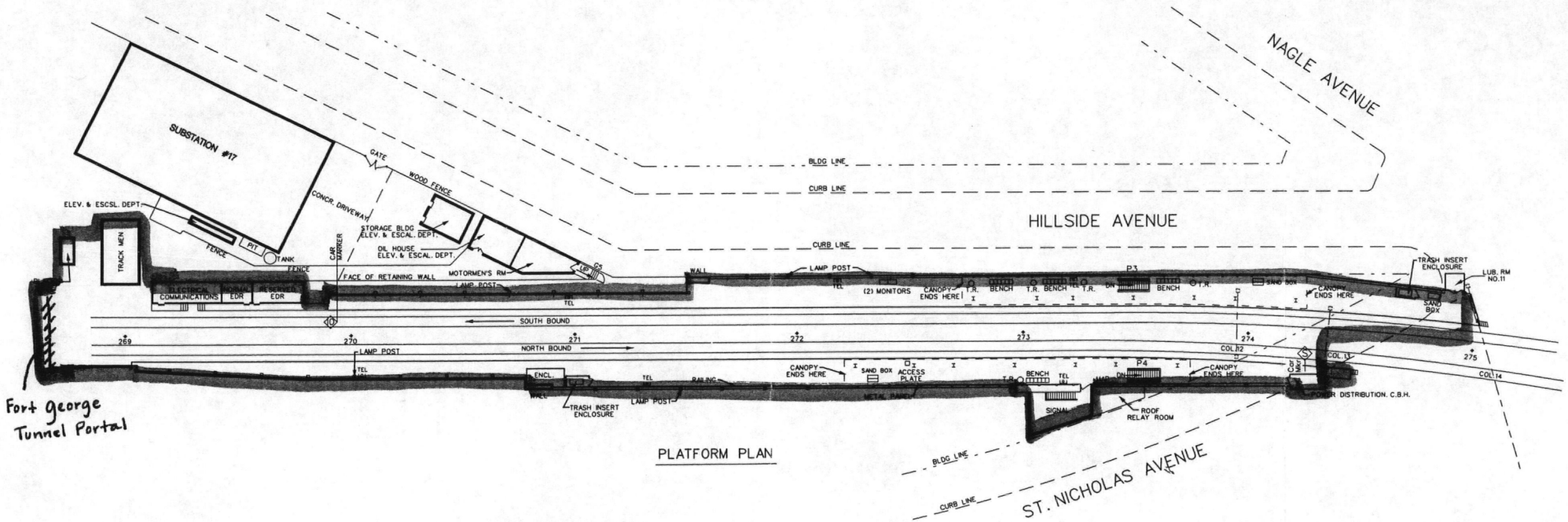

PLATFORM PLAN

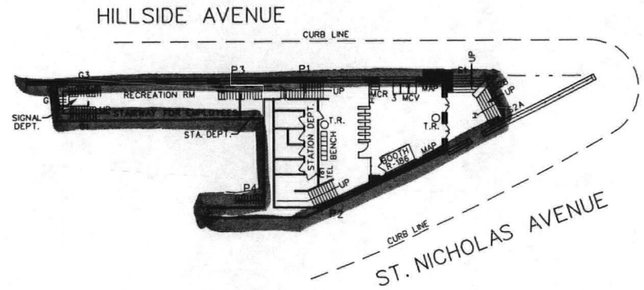

FLOOR PLAN OF STATION BUILDING

SCALE

0 25 50 100 FT

DATE	REVISIONS	BY
9-14-98	ALTERATION TO FARE CONTROL	H.H.
10-25-00	REVISED AS PER FIELD SURVEY. NEW ROOMS ADDED AT SOUTH EAST SIDE OF S/B PLATFORM.	D.I.
1-17-03	REVISED AS PER FIELD SURVEY. NO STRUCTURAL CHANGES.	D.I.

NOTE: THIS DRAWING SUPERSEDES IRT DRAWING NO.9783 DATED AUG. 29, 1912.

NEW YORK CITY TRANSIT
DEPARTMENT OF SUBWAYS
MAINTENANCE OF WAY DIVISION
ENGINEERING SUBDIVISION
INFRASTRUCTURE SECTION

DYCKMAN STATION

STATION PLAN

BROADWAY/ 7th AVE. LINE - IRT DIVISION

STATION NUMBER: 299

DATE 8-26-98

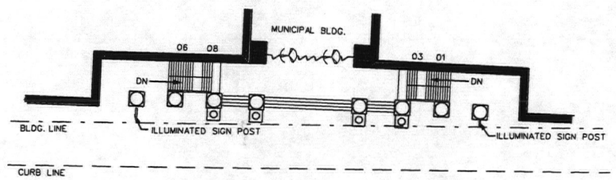

STREET LEVEL

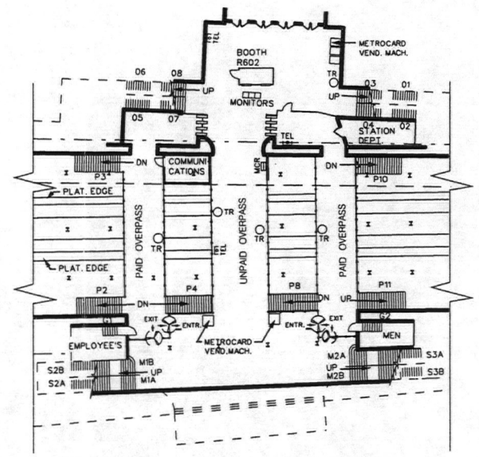

MEZZANINE LEVEL

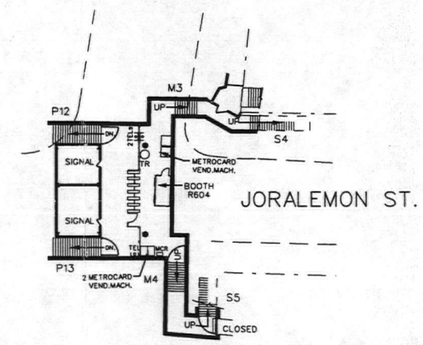

MEZZANINE LEVEL

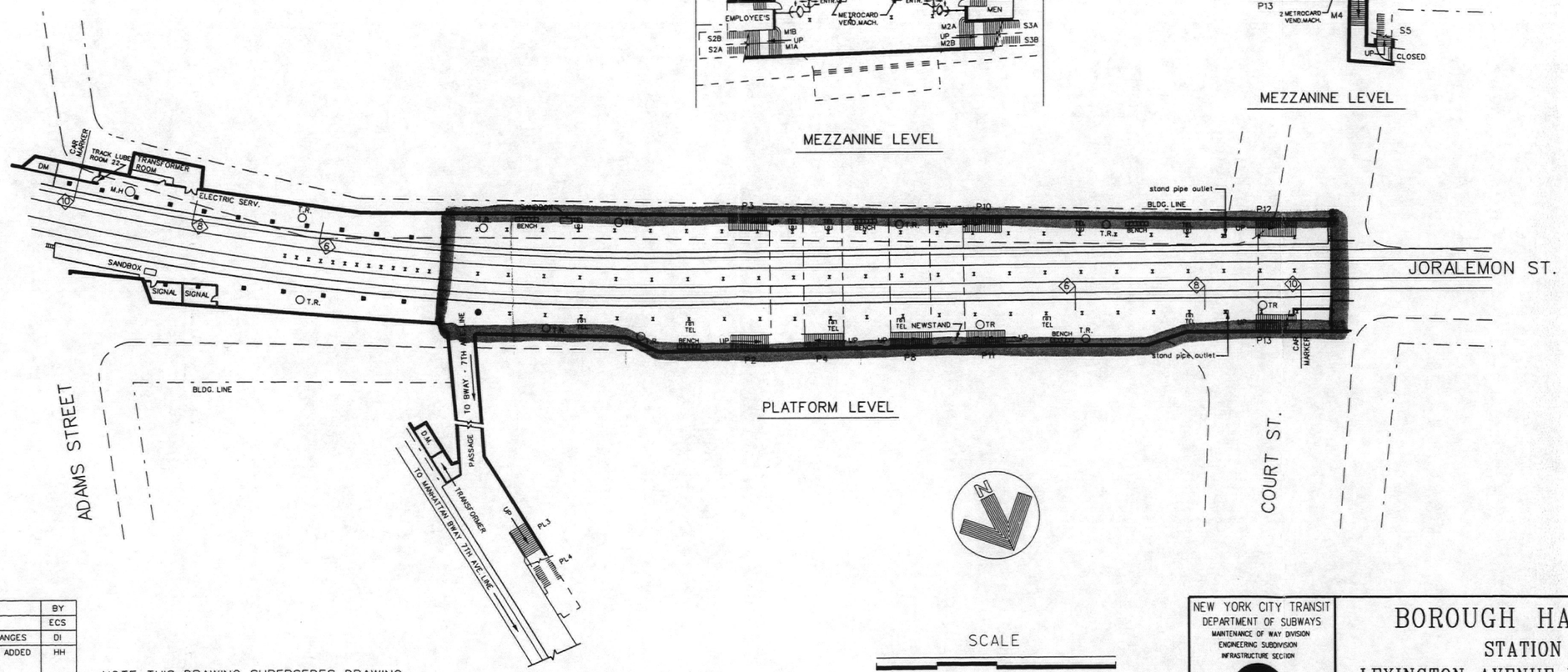

PLATFORM LEVEL

SCALE

0 25 50 100 FT

DATE	REVISIONS	BY
10-28-98	ALTERATION TO FARE CONTROL	ECS
3-22-01	REVISED AS PER FIELD SURVEY. NO STRUCTURAL CHANGES	DI
3-17-03	METROCARD VENDING MACHINES & HI-ENTRY WHEELS ADDED	HH

NOTE: THIS DRAWING SUPERSEDES DRAWING MS-7876-R DATED 09-08-71.

NEW YORK CITY TRANSIT
DEPARTMENT OF SUBWAYS
MAINTENANCE OF WAY DIVISION
ENGINEERING SUBDIVISION
INFRASTRUCTURE SECTION

BOROUGH HALL STATION

STATION PLAN

LEXINGTON AVENUE LINE - IRT DIVISION

STATION NUMBER: 415

DATE: 10-21-98

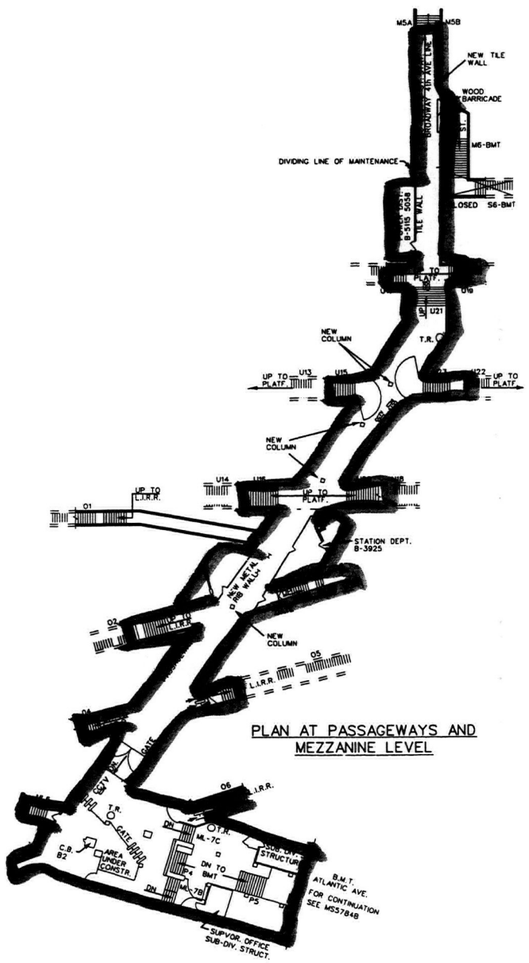

PLAN AT PASSAGEWAYS AND MEZZANINE LEVEL

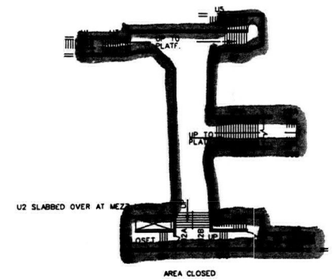

SOUTH SUB-PASSAGEWAY

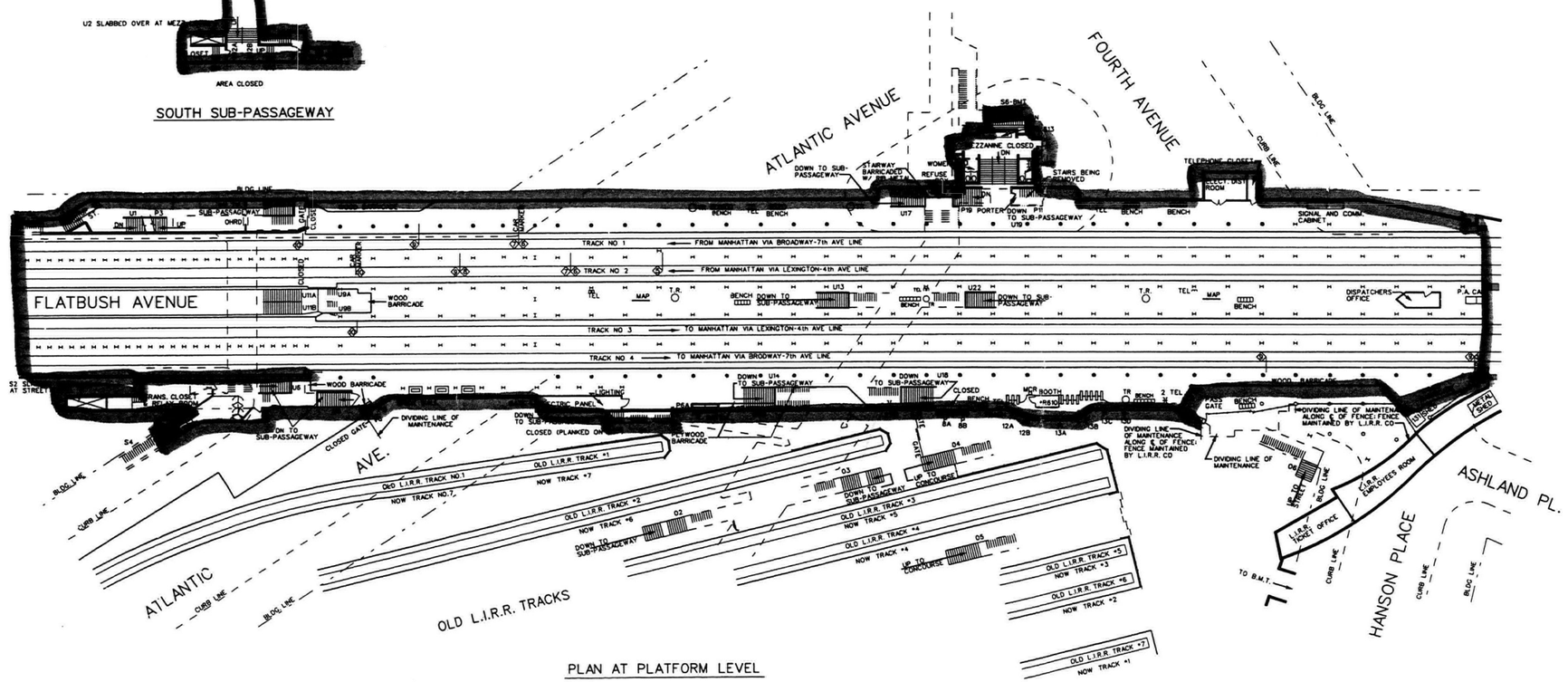

PLAN AT PLATFORM LEVEL

SCALE

0 25 50 100 FT

DATE	REVISIONS	BY
01-09-99	ALTERATION TO FARE CONTROL	ECS
01-02-01	CONSTRUCTION ON MEZZ BY CB 2 AND PASSAGEWAY. BARRICADES ON NORTH AND SOUTHBOUND PLATFORMS. STAIR U9 BARRICADED.	DI

NOTE: THIS DRAWING SUPERSEDES DRAWING MS-6266-R DATED 02-04-65

NEW YORK CITY TRANSIT
DEPARTMENT OF SUBWAYS
MAINTENANCE OF WAY DIVISION
ENGINEERING SUBDIVISION
INFRASTRUCTURE SECTION

ATLANTIC AVENUE STATION

STATION PLAN

EASTERN P'KWY LINE - IRT DIVISION

STATION NUMBER: 338

DATE: 01-07-99

24" x 42" - 7 s.f.

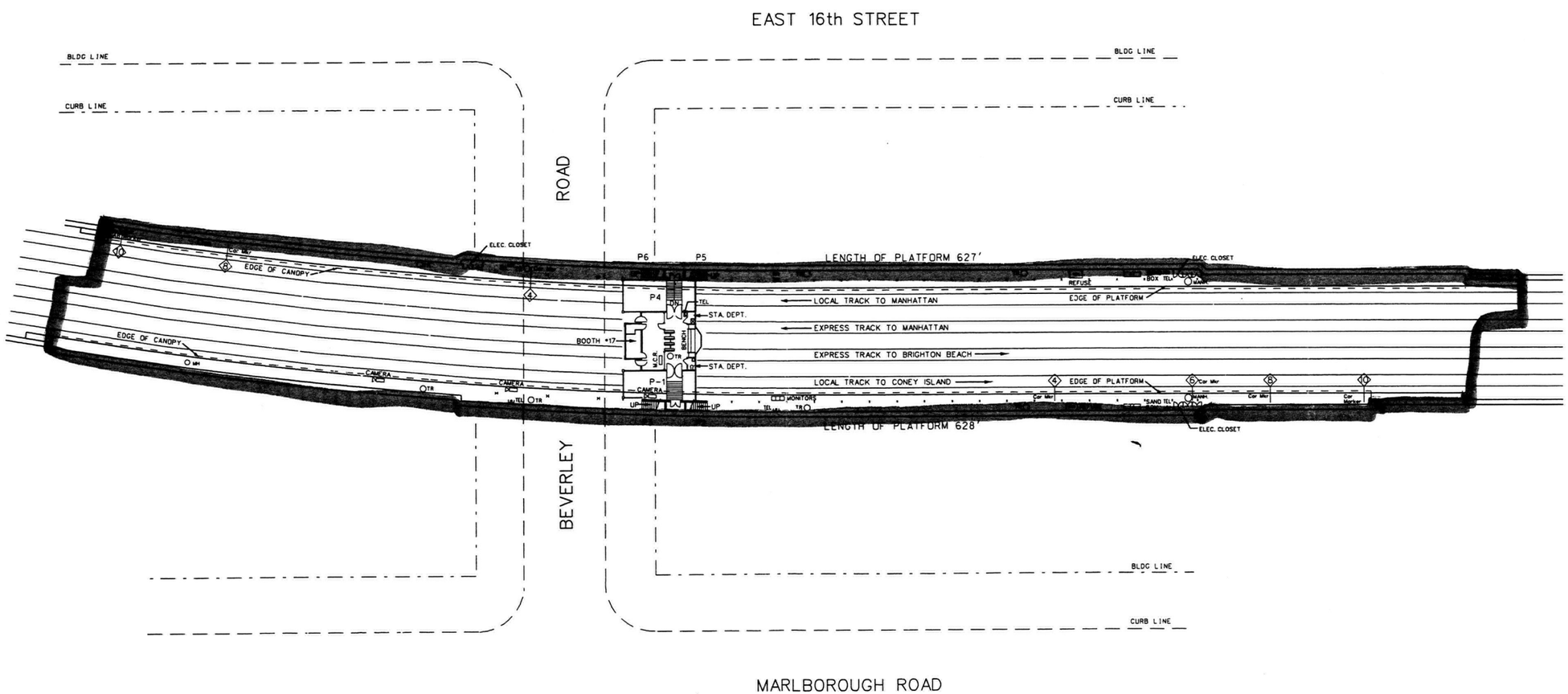

DATE	REVISIONS	BY
6-24-96	SURVEYED, REVISED HEAD HOUSE AS PER REHABILITATION	JL
2-20-99	REVISED AS PER FIELD SURVEY, NO STRUCTURAL CHANGES	M.A.
12-21-01	SURVEYED, NO STRUCTURAL CHANGES	ECS

NOTE: THIS DRAWING SUPERSEDES DRAWING MS-5789-B DATED 05-19-65.

SCALE

0 25 50 100 FT

NEW YORK CITY TRANSIT
DEPARTMENT OF SUBWAYS
MAINTENANCE OF WAY DIVISION
ENGINEERING SUB DIVISION
INFRASTRUCTURE SECTION

BEVERLEY ROAD STATION

STATION PLAN

BRIGHTON BEACH LINE - BMT DIVISION

STATION NUMBER: 45

DATE: 06-20-96

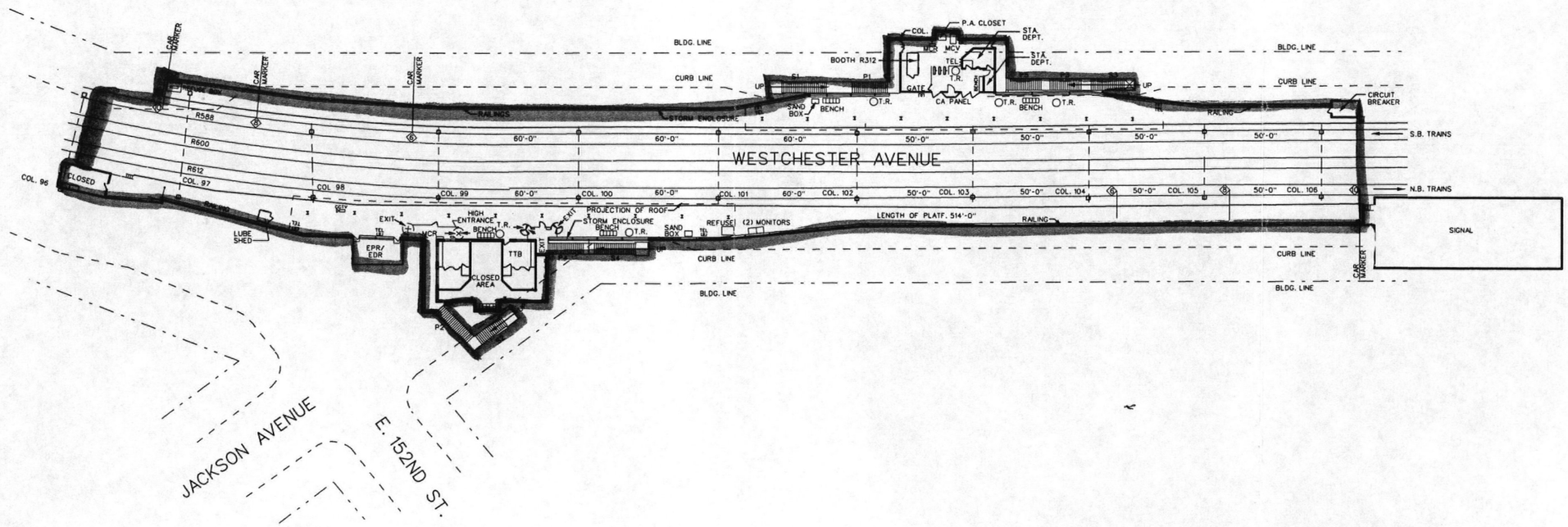

DATE	REVISIONS	BY
11-21-98	SURVEYED, NO STRUCTURAL CHANGES	M.A.
9-6-01	REVISED AS PER FIELD SURVEY. NEW ROOM IN S/B FARE CON. AREA. TWO NEW ROOMS ON N/B PLAT.	DI
3-21-03	REVISED AS PER FIELD SURVEY: NO STRUCTURAL CHANGE.	ECS

NOTE: THIS DRAWING SUPERSEDES DRAWING MS-4035-R DATED AUG. 08, 1957.

SCALE

0 25 50 100 FT

NEW YORK CITY TRANSIT
DEPARTMENT OF SUBWAYS
MAINTENANCE OF WAY DIVISION
ENGINEERING SUB DIVISION
INFRASTRUCTURE SECTION

JACKSON AVENUE
STATION PLAN
WHITE PLAINS ROAD LINE -IRT DIVISION
STATION NUMBER: 433

DATE: 11-20-98

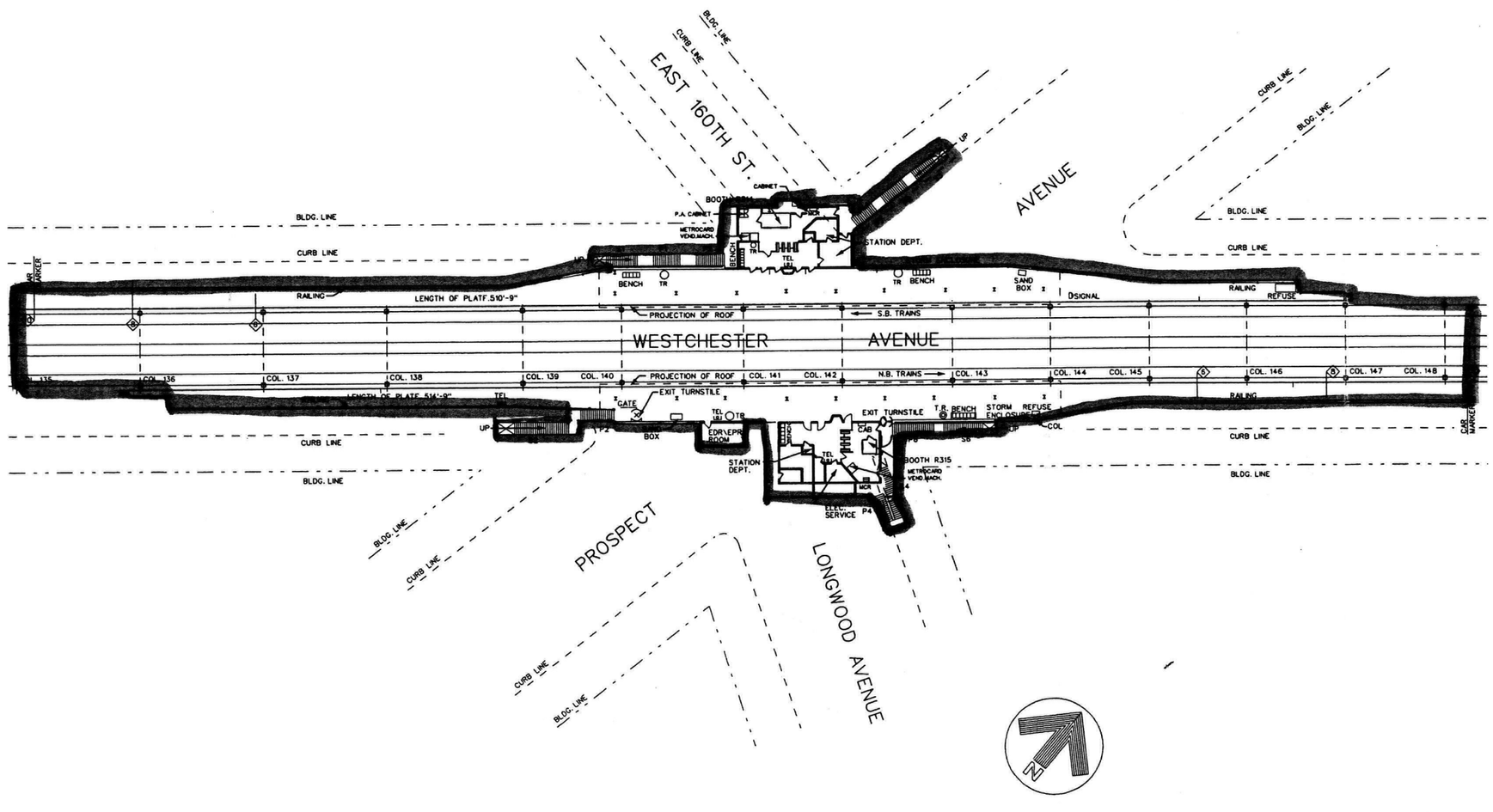

DATE	REVISIONS	BY
11-21-98	SURVEYED, NO STRUCTURAL CHANGES	JL
9-06-01	ADDED METROCARD VENDING MACHINES	HH
3-21-03	SURVEYED, NO STRUCTURAL CHANGES	HH

NOTE: THIS DRAWING SUPERSEDES DRAWING MS-9799-R DATED AUG. 27,1912

SCALE

0 25 50 100 FT

NEW YORK CITY TRANSIT
DEPARTMENT OF SUBWAYS
MAINTENANCE OF WAY DIVISION
ENGINEERING SUB DIVISION
INFRASTRUCTURE SECTION

MTA

PROSPECT AVENUE
STATION PLAN
WHITE PLAINS ROAD LINE -IRT DIVISION

STATION NUMBER: 432

DATE: 11-20-98

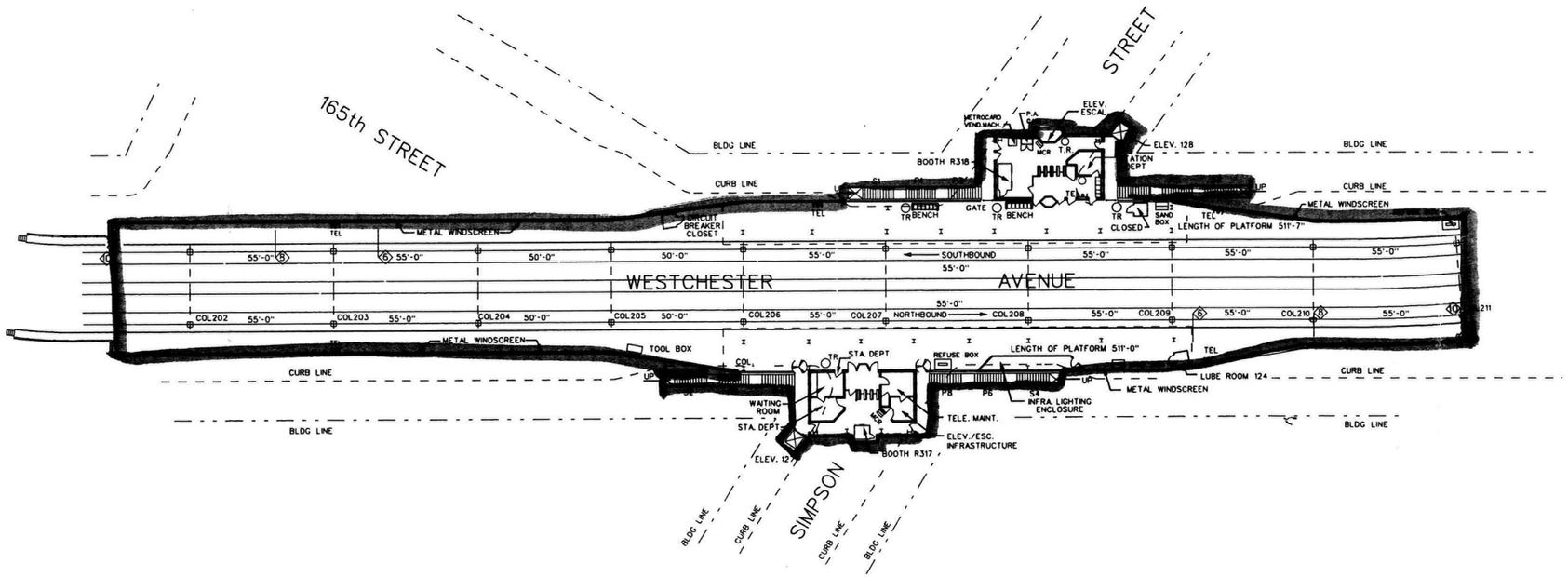

DATE	REVISIONS	BY
11-21-98	SURVEYED, ADDED ELEVATORS. NO STRUCTURAL CHANGES	JL
9-06-01	ADDED METROCARD VENDING MACHINES	HH
3-21-03	SURVEYED, NO STRUCTURAL CHANGES	HH

NOTE: THIS DRAWING SUPERSEDES DRAWING MS-9382-R DATED JAN. 16,1979.

SCALE

0 25 50 100 FT

NEW YORK CITY TRANSIT
DEPARTMENT OF SUBWAYS
MAINTENANCE OF WAY DIVISION
ENGINEERING SUB DIVISION
INFRASTRUCTURE SECTION

MTA

SIMPSON STREET
STATION PLAN
WHITE PLAINS ROAD LINE -IRT DIVISION
STATION NUMBER: 430

DATE: 11-20-98

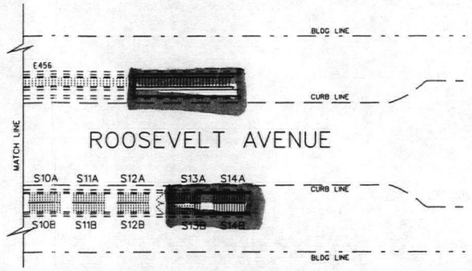

PLAN OF STAIRS
AT STREET LEVEL

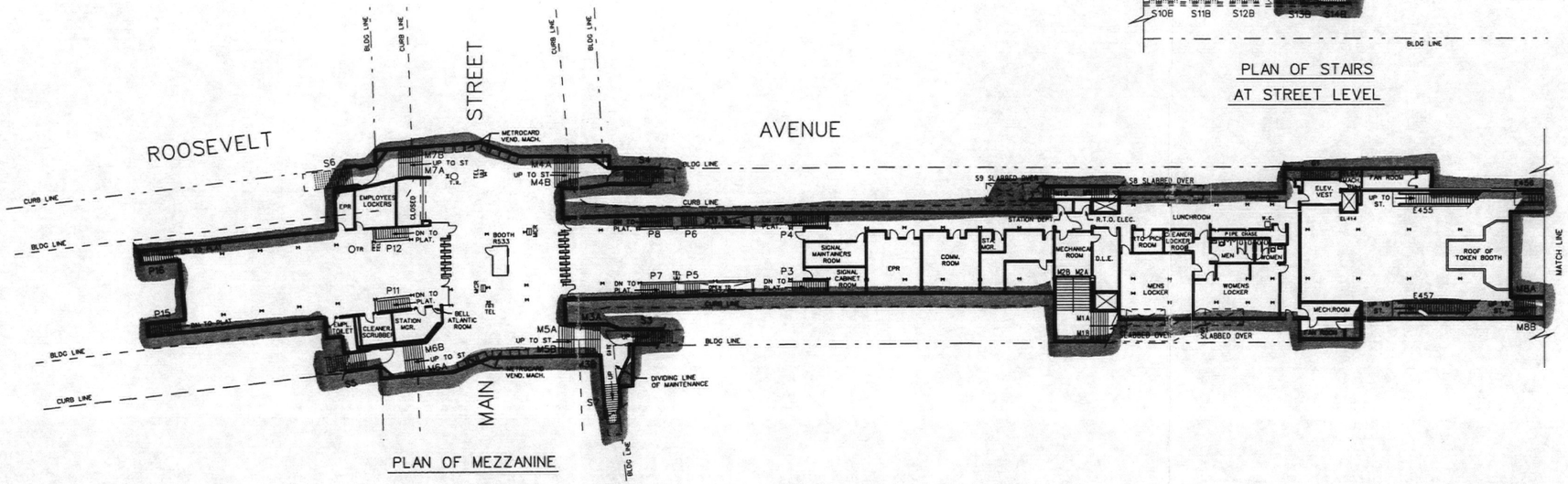

PLAN OF MEZZANINE

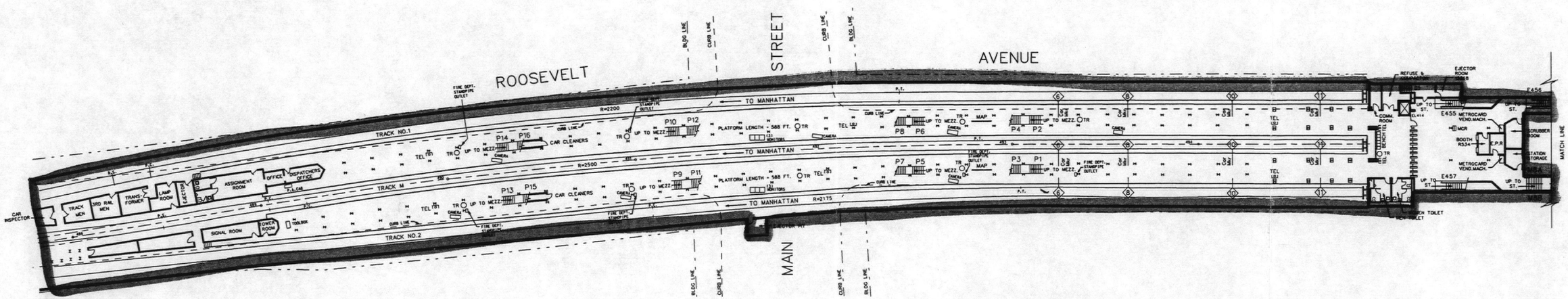

PLAN OF PLATFORM

DATE	REVISIONS	BY
6-16-99	REVISED AS PER CONTRACTS A-35504 & A-33498	JL
7-26-00	REVISED AS PER SITE SURVEY. CONSTRUCTION OF EMPLOYEE FACILITIES (MEZZ.), STAIR S1, S2, S8 & S9 ARE SLABBED OVER AT STREET LEVEL. STAIRS M1 AND M2 ARE CLOSED. PLATFORM STAIRWAY RENUMBERED AS PER RECONFIGURATION. ADDITIONAL STAIRWAYS ADDED M8, S10, S11, S12 S13 AND S14.	DI
3-31-03	METROCARD VENDING MACHINES ADDED	HH

NOTE: THIS DRAWING SUPERSEDES DRAWING MS-5728-R DATED SEP. 25,1963

N

SCALE
0 25 50 100 FT

NEW YORK CITY TRANSIT
DEPARTMENT OF SUBWAYS
MAINTENANCE OF WAY DIVISION
ENGINEERING SUB DIVISION
INFRASTRUCTURE SECTION

MTA

MAIN STREET- FLUSHING
STATION PLAN
FLUSHING LINE -IRT DIVISION
STATION NUMBER: 447

DATE: 06-16-99

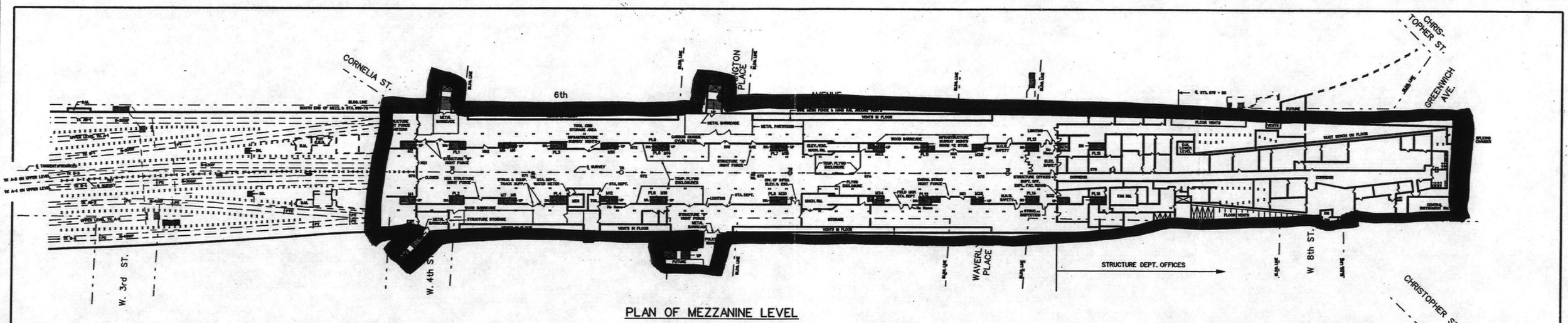

PLAN OF MEZZANINE LEVEL

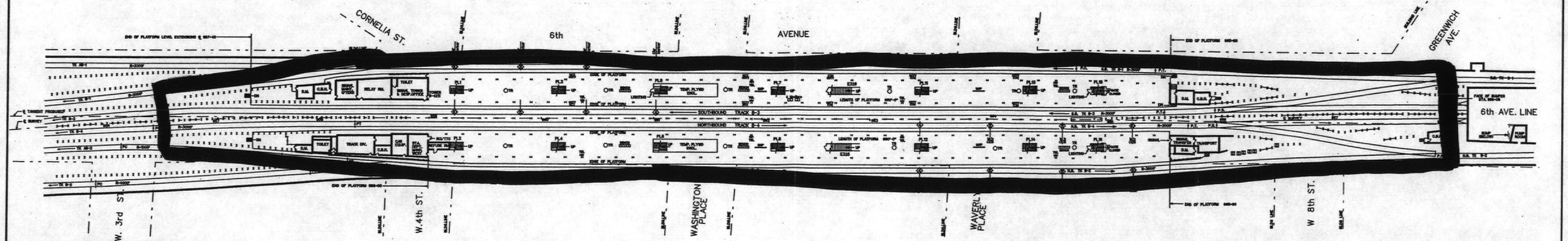

PLAN OF LOWER PLATFORM LEVEL

DATE	REVISIONS	BY
1-15-97	SURVEYED - NO STRUCTURAL CHANGES	HJL
7-17-90	PLYWD ENCLOSURES AT ESCALATORS E325, E326 AND BETW. M16 & M22	ECS
6-21-82	PLYWOOD ENCLOSURES AROUND STAIRS PL5 & PL6	HJL

NOTE: THIS DRAWING SUPERSEDES DRAWING MS-7710-N DATED 10-21-64.

SCALE
0 25 50 100 FT

NEW YORK CITY TRANSIT
DEPARTMENT OF SUBWAYS
MAINTENANCE OF WAY ENGINEER
ENGINEERING DESIGN
ENVIRONMENTAL DESIGN

WEST 4th STREET STATION
MEZZANINE & LOWER PLATFORM PLANS
8th AVENUE LINE - IND DIVISION
STATION NUMBER: 167

DATE: 1-13-97

SHEET 2 of 2

24" x 56" - 9 s.f.

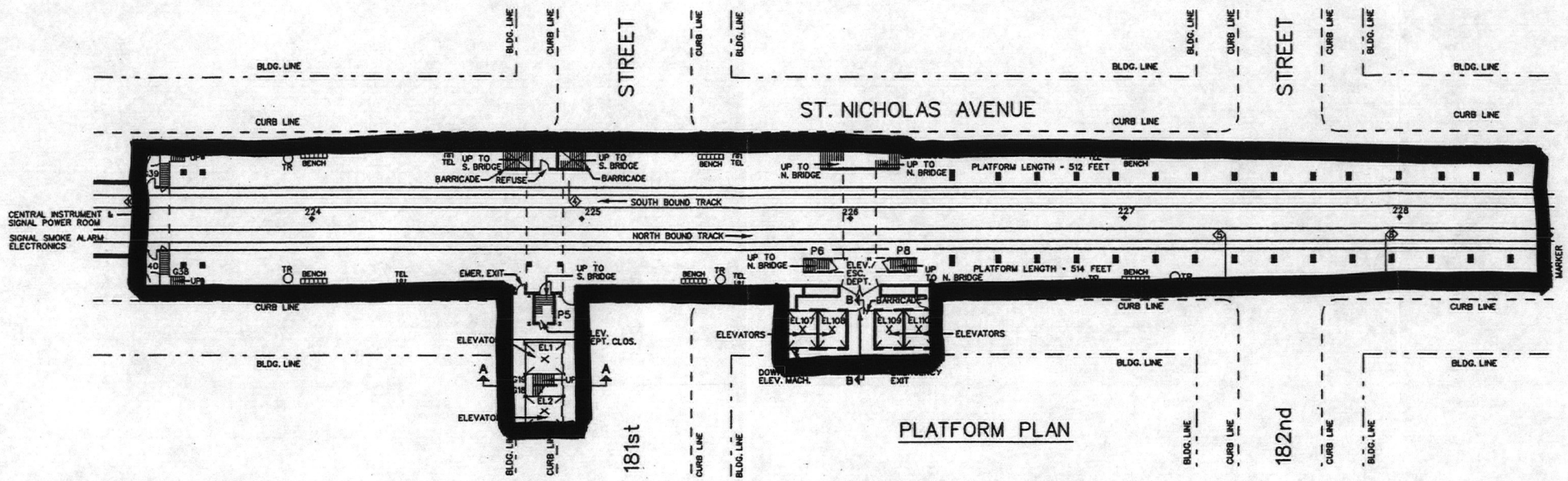

PLATFORM PLAN

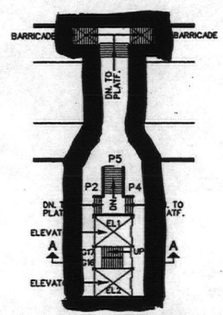

SOUTH BRIDGE PLAN

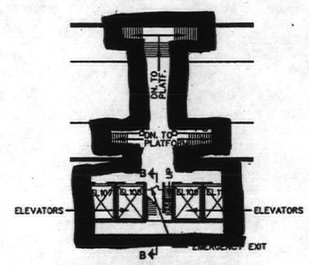

NORTH BRIDGE PLAN

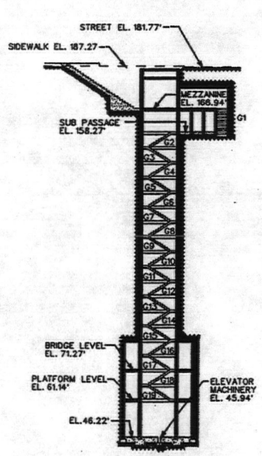

SECTION A-A

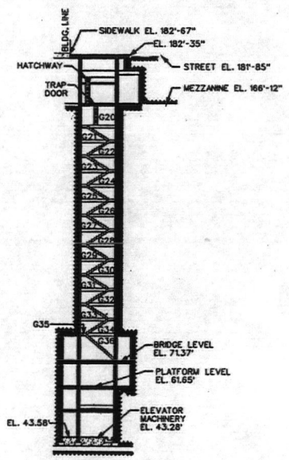

SECTION B-B

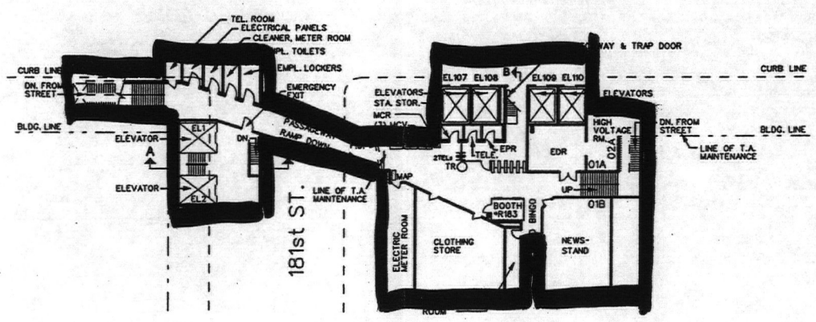

MEZZANINE PLAN

DATE	REVISIONS	BY
9-14-98	ALTERATION TO FARE CONTROL	H.H.
10-25-00	REVISED AS PER STATION SURVEY AND CONTRACT A-35845 STATION REHABILITATION NORTH & SOUTH MEZZANINES	D.I.
1-17-03	SURVEYED - NO STRUCTURAL CHANGES	H.H.

NOTE: THIS DRAWING SUPERSEDES DRAWING MS-5878-R DATED JAN. 10, 1964.

SCALE

0 25 50 100 FT

NEW YORK CITY TRANSIT
DEPARTMENT OF SUBWAYS
MAINTENANCE OF WAY DIVISION
ENGINEERING SUBDIVISION
INFRASTRUCTURE SECTION

181st STREET STATION

STATION PLAN

BROADWAY/ 7th AVE. LINE - IRT DIVISION

STATION NUMBER: 301

DATE: 8-12-98

18" x 36" - 4.5 s.f.

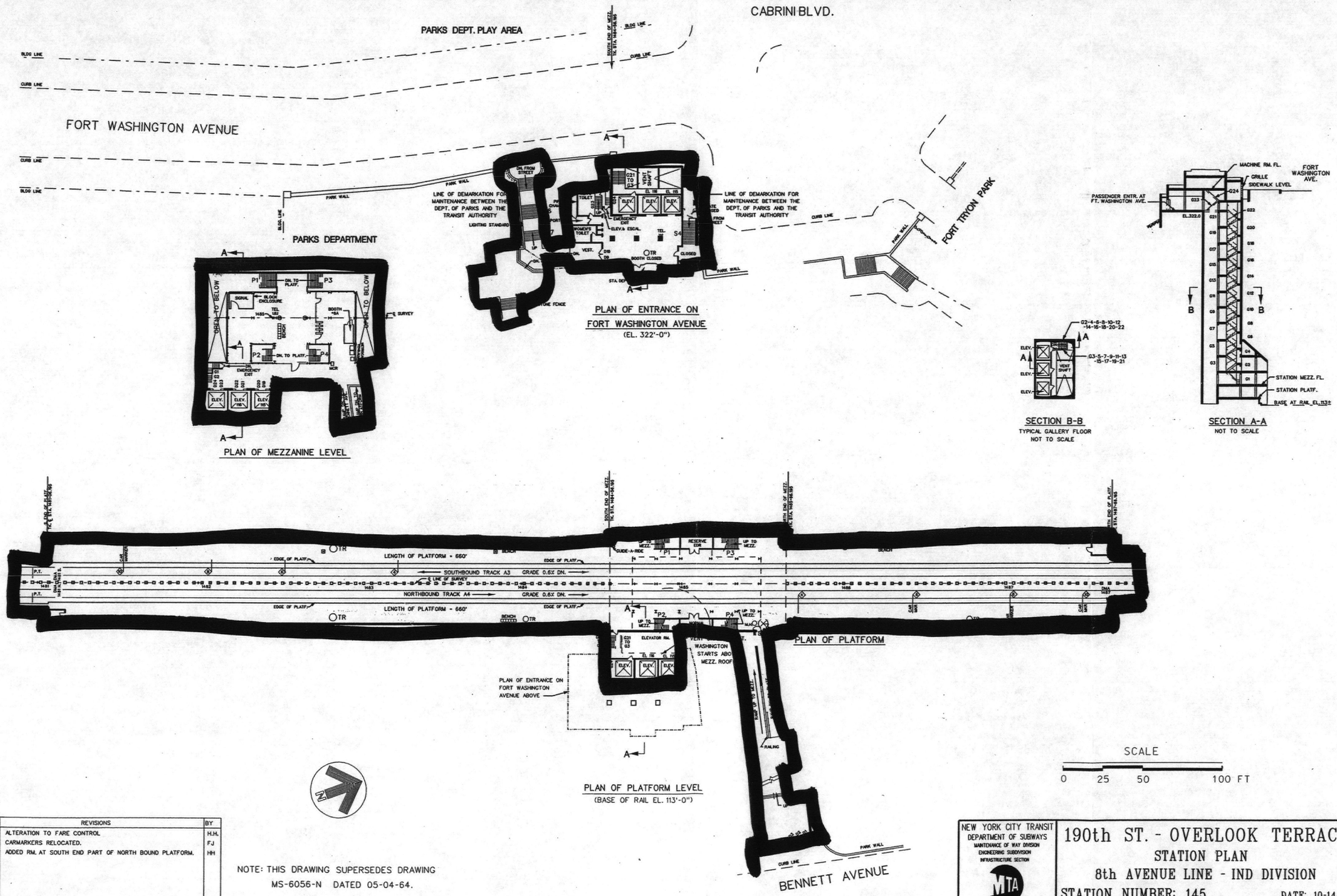

DATE	REVISIONS	BY
10-17-96	ALTERATION TO FARE CONTROL	H.H.
6-26-99	CARMARKERS RELOCATED.	FJ
8-16-02	ADDED RM. AT SOUTH END PART OF NORTH BOUND PLATFORM.	HH

NOTE: THIS DRAWING SUPERSEDES DRAWING MS-6056-N DATED 05-04-64.

NEW YORK CITY TRANSIT
DEPARTMENT OF SUBWAYS
MAINTENANCE OF WAY DIVISION
ENGINEERING SUBDIVISION
INFRASTRUCTURE SECTION

190th ST. - OVERLOOK TERRACE

STATION PLAN

8th AVENUE LINE - IND DIVISION

STATION NUMBER: 145

DATE: 10-14-96

24" x 36" - 6 s.f.

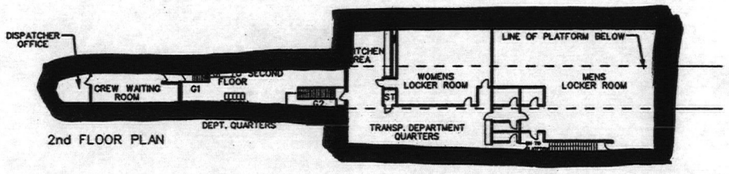

2nd FLOOR PLAN

PLAN OF TRANSPORTATION DEP'T. QUARTERS

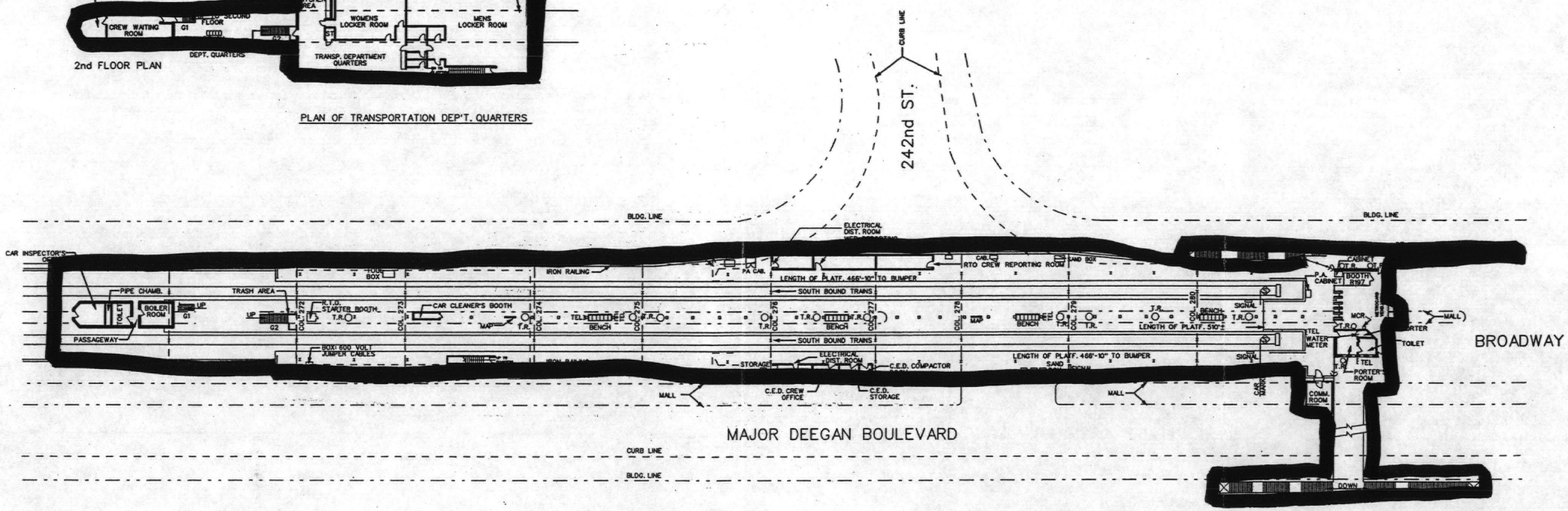

DATE	REVISIONS	BY
10-7-98	REVISED FARE CONTROL AND TRANSPORTATION DEPARTMENT QUARTERS. NO STRUCTURAL CHANGES.	JL
10-11-00	REVISED AS PER FIELD SURVEY. NO STRUCTURAL CHANGES.	DI
01-27-03	ADDED NEW COMM. RM. NEARBY CONTROL AREA.	ECS

NOTE: THIS DRAWING SUPERSEDES DRAWING MS-3908-R DATED 03-14-57.

SCALE

0 25 50 100 FT

NEW YORK CITY TRANSIT
DEPARTMENT OF SUBWAYS
MAINTENANCE OF WAY DIVISION
ENGINEERING SUBDIVISION
INFRASTRUCTURE SECTION

242nd STREET STATION

VAN CORTLANDT PARK

BROADWAY/ 7th AVE. LINE - IRT DIVISION

STATION NUMBER: 293

DATE: 09-16-98

18" x 36" - 4.5 s.f.

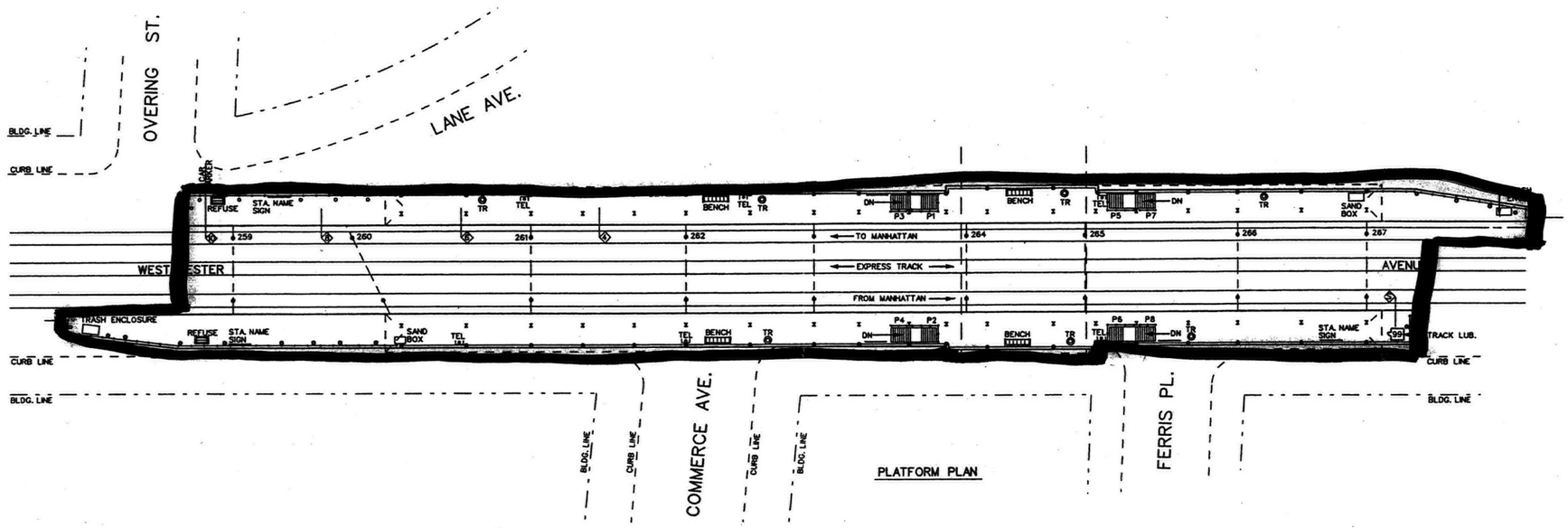

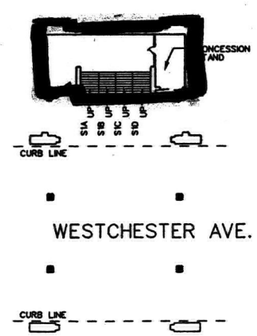

STREET PLAN

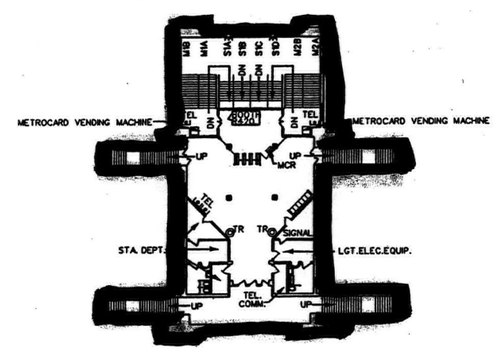

MEZZANINE PLAN

DATE	REVISIONS	BY
12-12-98	SURVEYED, REVISED MEZZANINE AREA	JL
4-22-99	STATION NAME REVISED AS PER STATION OPERATIONS PLANNING	H.H.
8-24-01	REVISED AS PER FEILD SURVEY. NO STRUCTURAL CHANGE.	DI
2-19-03	REVISED AS PER FEILD SURVEY. NO STRUCTURAL CHANGE.	ECS

NOTE: THIS DRAWING SUPERSEDES DRAWING MS-7833-R DATED JUN. 29,1971

SCALE

0 25 50 100 FT

NEW YORK CITY TRANSIT
DEPARTMENT OF SUBWAYS
MAINTENANCE OF WAY DIVISION
ENGINEERING SUB DIVISION
INFRASTRUCTURE SECTION

WESTCHESTER SQUARE STATION

EAST TREMONT AVENUE

PELHAM LINE - IRT DIVISION

STATION NUMBER: 363

DATE: 12-11-98

18"x36"

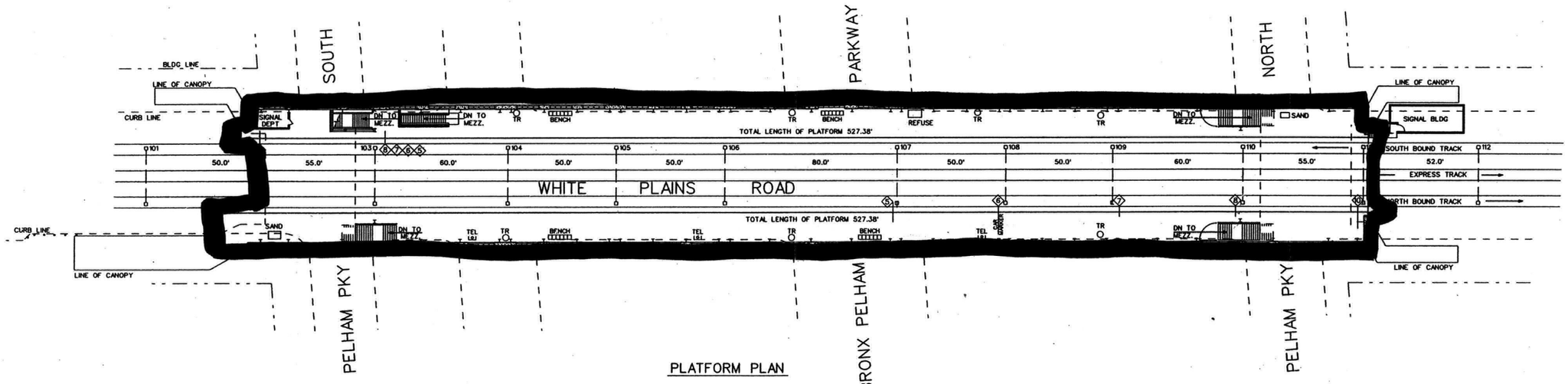

PLATFORM PLAN

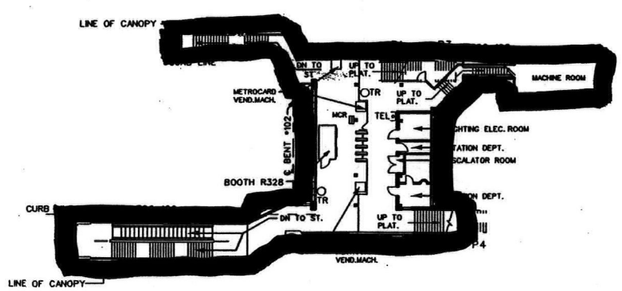

SOUTH MEZZANINE PLAN

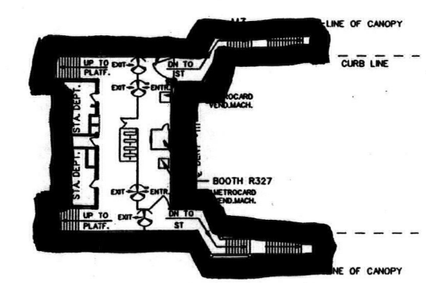

NORTH MEZZANINE PLAN

DATE	REVISIONS	BY
4-17-97	SURVEYED ON 2-26-97 NEW PLAN ISSUED ON 4-17-97 REVISED AS PER CONTRACT E-30291 ESC. E-122, E-123 STAIRWAY P9 & M6 WAS ADDED, STAIRWAY P1 & P3 RELOCATED ESCALATOR IN OPERATION AS OF 12-06-96.	JL
12-05-98	SURVEYED, NO STRUCTURAL CHANGES	M.A
9-04-01	ADDED METROCARD VENDING MACHINES	H.H.
3-25-03	SIGNAL BLDG ADDED END OF S/B PLATFORM. HI-ENTRY WHEELS ADDED TO NORTH MEZZANINE	H.H.

NOTE: THIS DRAWING SUPERSEDES IRT DRAWING 17757 DATED 09-28-17.

SCALE

0 25 50 100 FT

NEW YORK CITY TRANSIT
DEPARTMENT OF SUBWAYS
MAINTENANCE OF WAY DIVISION
ENGINEERING SUB DIVISION
INFRASTRUCTURE SECTION

MTA

PELHAM PARKWAY STATION

STATION PLAN

WHITE PLAINS ROAD LINE - IRT DIVISION

STATION NUMBER: 424

DATE: 04-17-97

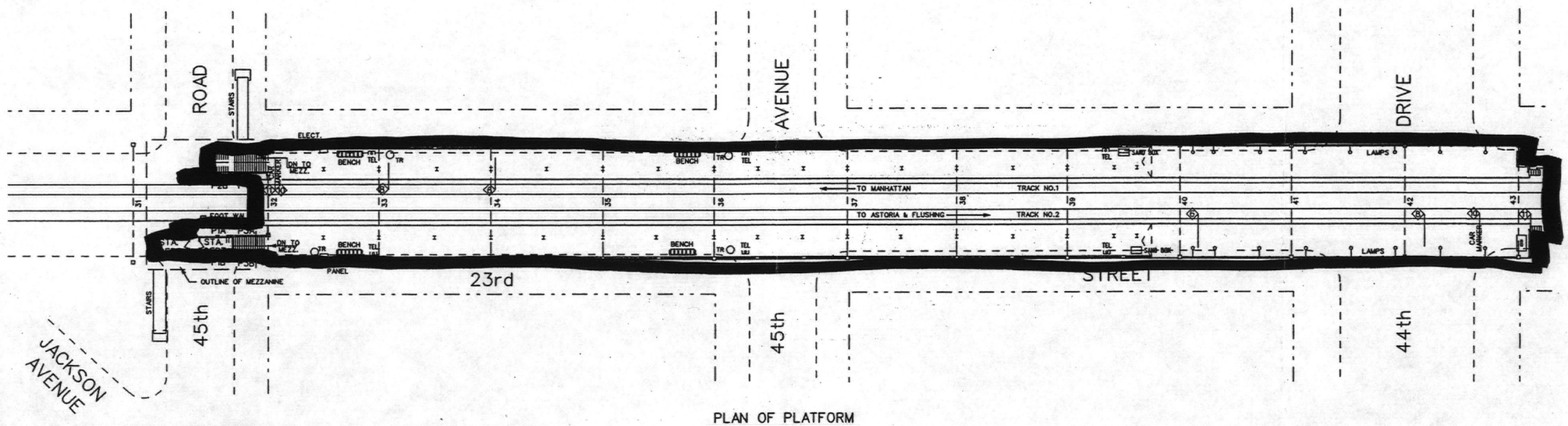

PLAN OF PLATFORM

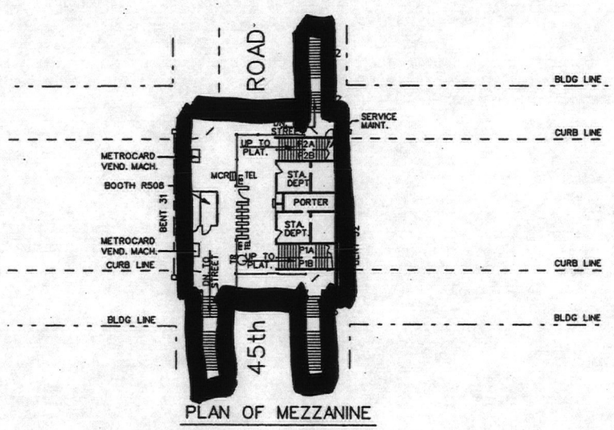

PLAN OF MEZZANINE

DATE	REVISIONS	BY
12-19-98	REVISED AS PER FIELD SURVEY. ALTERATION TO FARE ARRAY. NO STRUCTURAL CHANGES.	M.A.
2-15-01	REVISED AS PER FIELD SURVEY: NO STRUCTURAL CHANGE.	ECS
4-11-03	REVISED. 2 NEW STATION DEPARTMENT ROOMS ON QUEENS BOUND PLATFORM.	DI

NOTE: THIS DRAWING SUPERSEDES DRAWING MS-3862-R DATED FEB. 5, 1957.

SCALE

0 25 50 100 FT

NEW YORK CITY TRANSIT
DEPARTMENT OF SUBWAYS
MAINTENANCE OF WAY DIVISION
ENGINEERING SUB DIVISION
INFRASTRUCTURE SECTION

45th ROAD- COURTHOUSE SQUARE

STATION PLAN

FLUSHING LINE -IRT DIVISION

STATION NUMBER: 462

DATE: 12-18-98

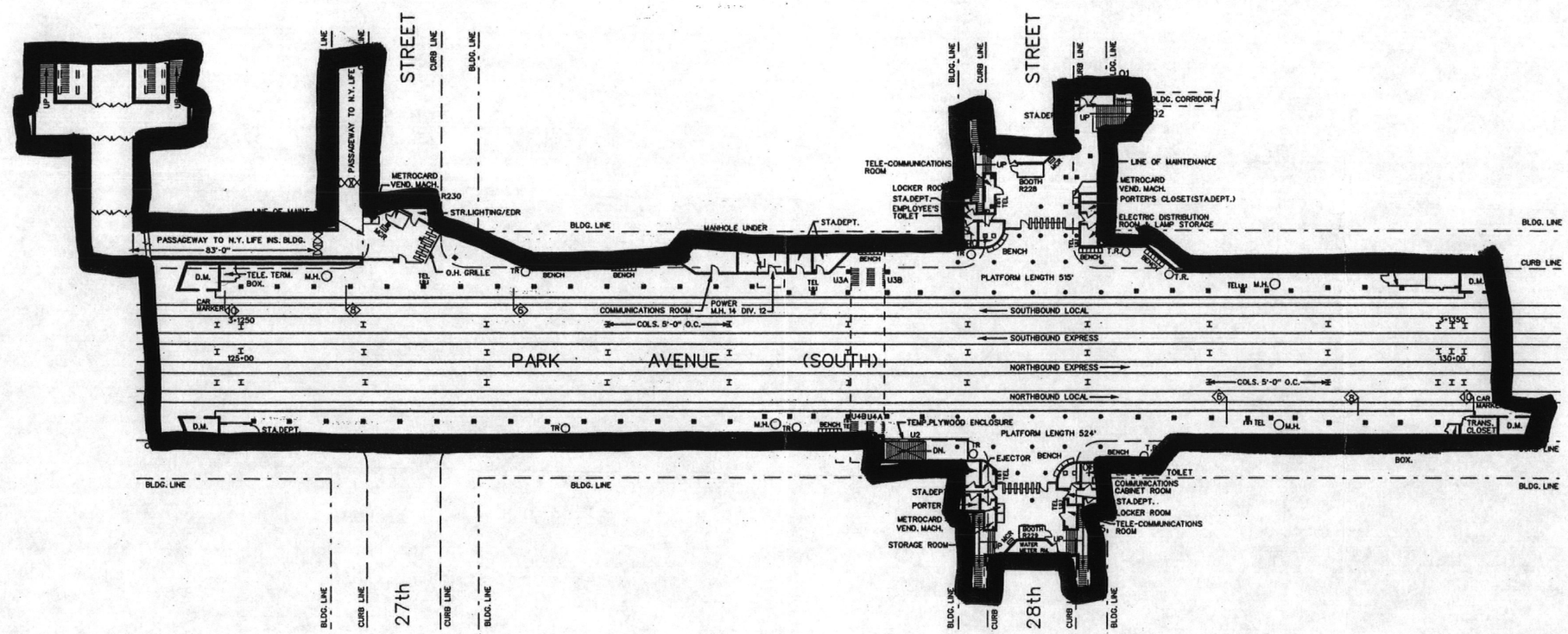

DATE	REVISIONS	BY
11-14-98	REVISED AS PER FIELD SURVEY. ALTERATION TO TURNSTILES CARMARKERS RELOCATED. REFUSE ROOM EXTENDED S. OF S.B. PLAT.	M.A.
7-02-01	AFC ALTERATION AT 27TH STREET ENTRANCE: TEMP. PLYWOOD AT U1 & U2 STAIRS	ECS
3-07-03	COMMUNICATIONS & STATION DEPT. ROOMS ADDED TO S/B PLAT.	HH

NOTE: THIS DRAWING SUPERSEDES DRAWING MS-11452-R DATED JAN. 14, 1989

N

SCALE

0 25 50 100 FT

NEW YORK CITY TRANSIT
DEPARTMENT OF SUBWAYS
MAINTENANCE OF WAY DIVISION
ENGINEERING SUBDIVISION
INFRASTRUCTURE SECTION

MTA

28th STREET STATION

STATION PLAN

LEXINGTON AVENUE LINE - IRT DIVISION

STATION NUMBER: 404

DATE: 10-04-98

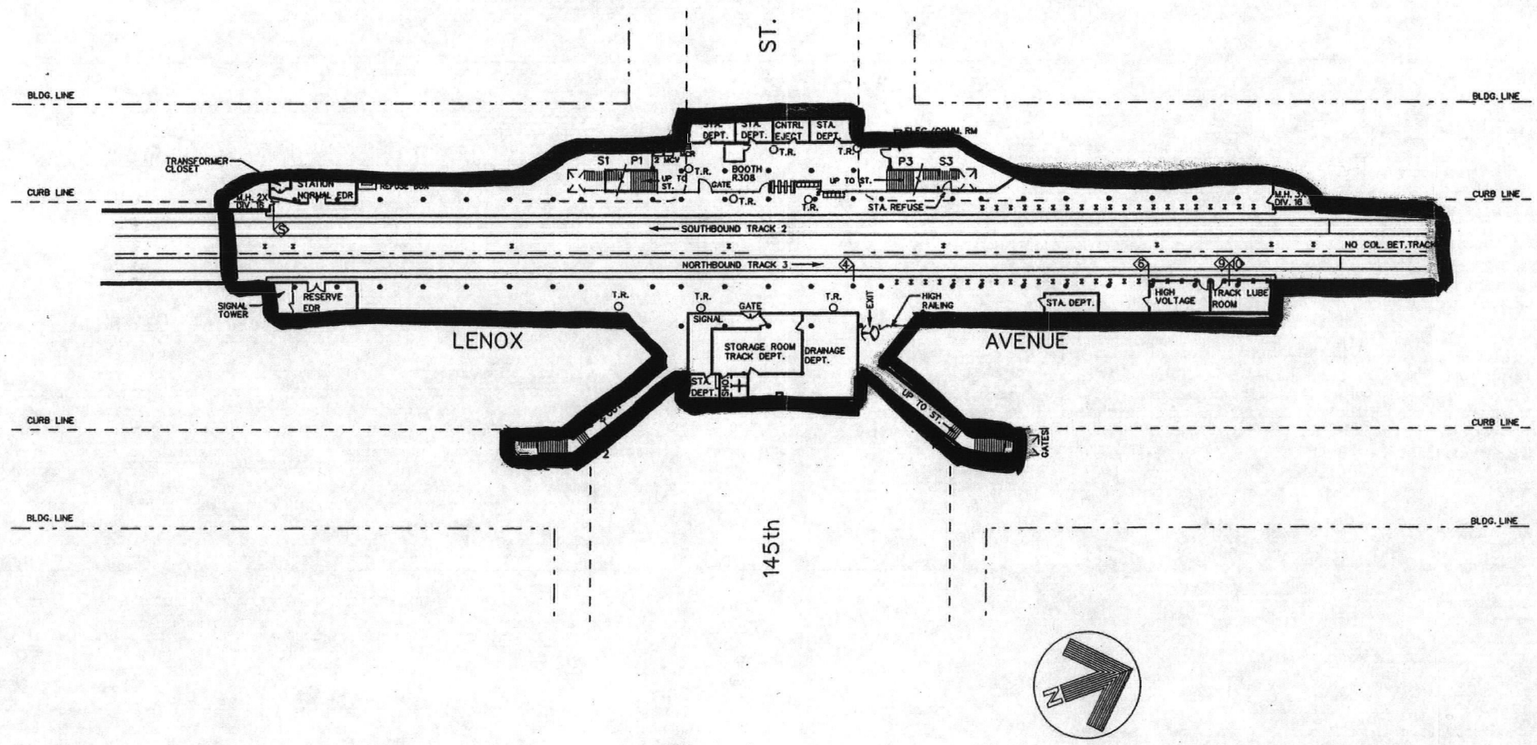

DATE	REVISIONS	BY
1-26-99	UNDER REHABILITATION	ECS
9-27-01	ADDED TRACK LUBE & HIGH VOLTAGE ROOMS AT N/B PLAT., METROCARD VENDING MACHINES	HH
3-18-03	REVISED AS PER FIELD SURVEY. NO STRUCTURAL CHANGES.	DI

NOTE: THIS DRAWING SUPERSEDES DRAWING 29713-R DATED MAY 18, 1933.

SCALE

0 25 50 100 FT

NEW YORK CITY TRANSIT
DEPARTMENT OF SUBWAYS
MAINTENANCE OF WAY DIVISION
ENGINEERING SUBDIVISION
INFRASTRUCTURE SECTION

145th STREET STATION

STATION PLAN

LENOX/ W.P.R. LINE - IRT DIVISION

STATION NUMBER: 437

DATE: 01-25-99

18" x 36" = 4.5 s f

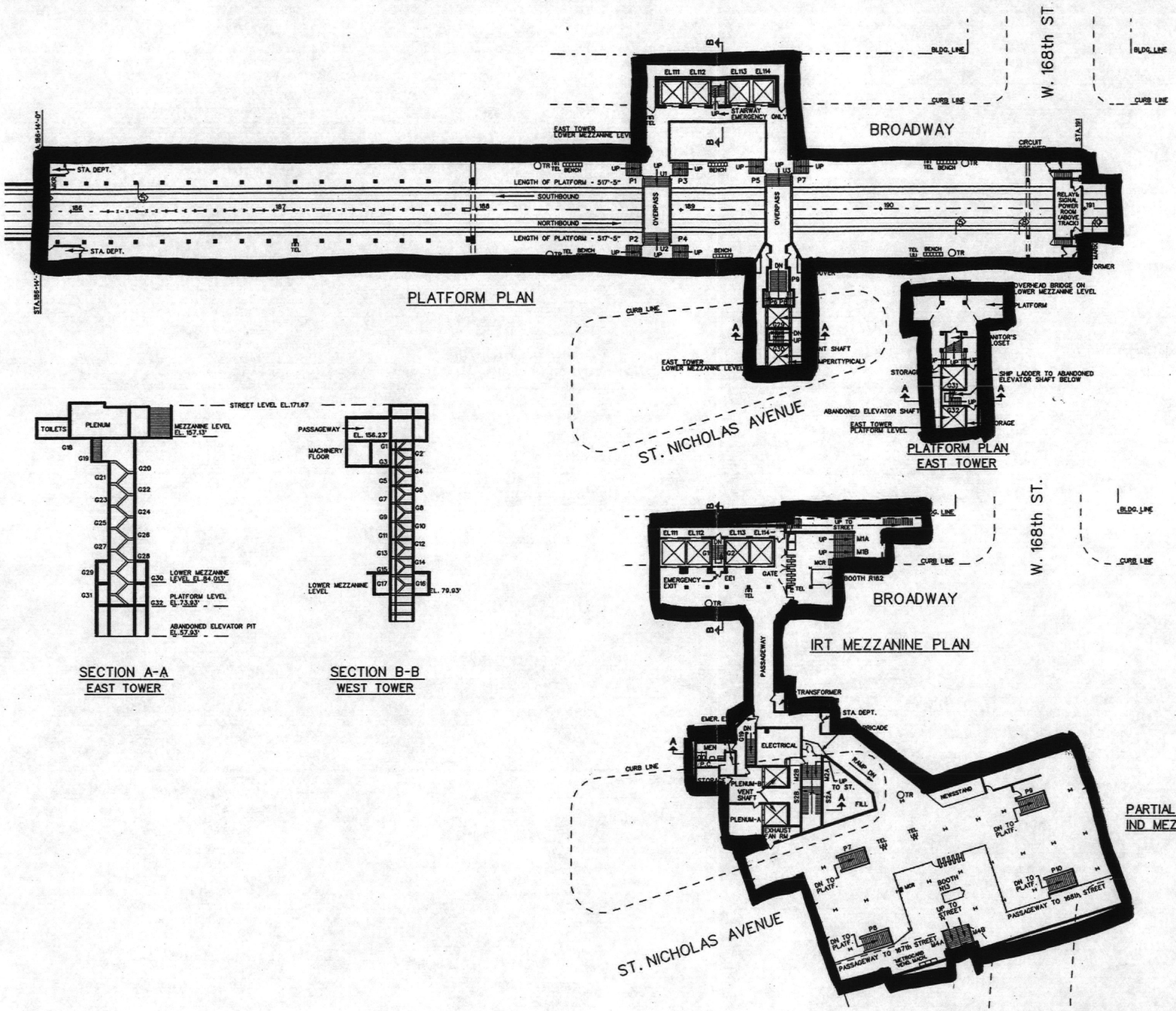

DATE	REVISIONS	BY
9-01-98	ALTERATION TO FARE CONTROL	ECS
4-22-99	STATION NAME REVISED AS PER OPERATIONS PLANNING	H.H.
10-25-00	CARMARKERS RELOCATED	H.H.
1-17-03	METROCARD VENDING MACHINES ADDED	H.H.

NOTE: THIS DRAWING SUPERSEDES DRAWING MS-7785-R DATED 05-04-71.

SCALE

0 25 50 100 FT

NEW YORK CITY TRANSIT
DEPARTMENT OF SUBWAYS
MAINTENANCE OF WAY DIVISION
ENGINEERING SUBDIVISION
INFRASTRUCTURE SECTION

WASHINGTON HEIGHTS/ 168th ST.

STATION PLAN

BROADWAY/ 7th AVE. LINE - IRT DIVISION

STATION NUMBER: 302

DATE: 08-11-98

24" x 36" - 6 s.f.

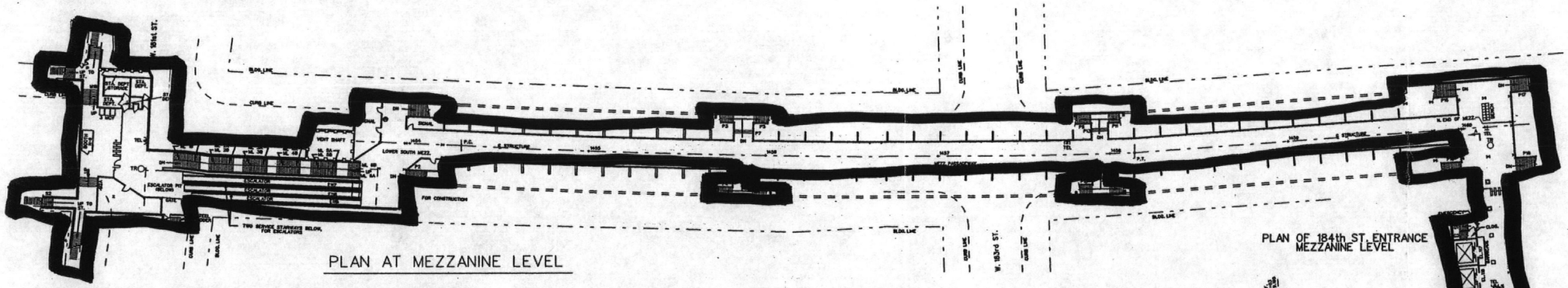

PLAN AT MEZZANINE LEVEL

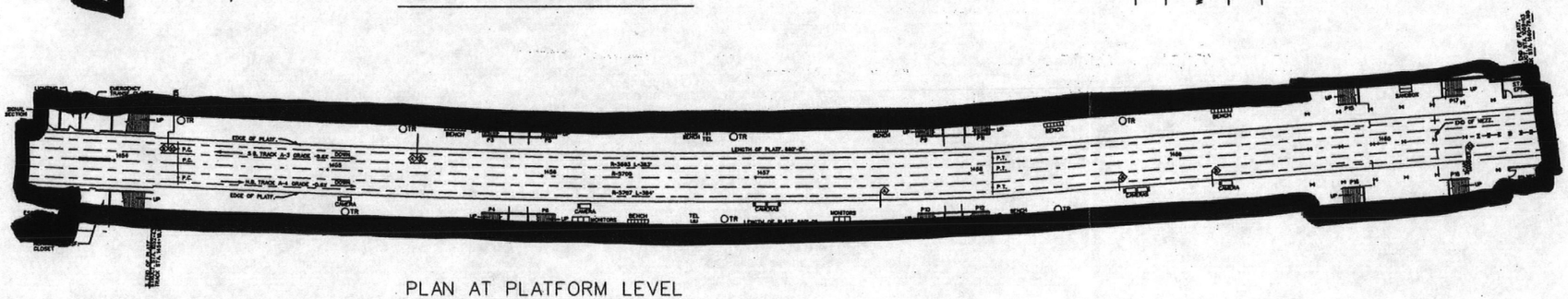

PLAN AT PLATFORM LEVEL

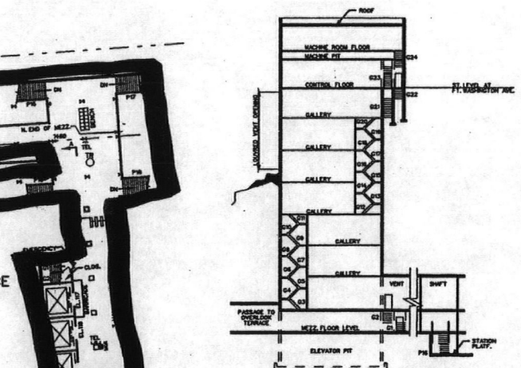

SECTION A-A

PLAN OF 184th ST. ENTRANCE
AT OVERLOOK TERRACE

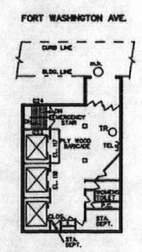

PLAN OF 184th ST. ENTRANCE
FORT WASHINGTON AVENUE LEVEL

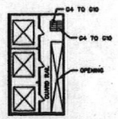

TYPICAL PLAN OF SHAFT
FOR STAIRS G12 TO G20 INC.

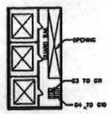

TYPICAL PLAN OF SHAFT
FOR STAIRS G3 TO G11 INC.

SCALE

0 25 50 100 FT

DATE	REVISIONS	BY
10-17-96	ALTERATION TO FARE CONTROL:ADDED ONE ELEVATOR: INSTALLATION OF ONE SCALATOR:ADDED STA. DEPT.RM. AT N.E. PART OF PLATFORM LEVEL.	ECS
6-26-99	REVISED AS PER FIELD SURVEY. NO STRUCTURAL CHANGES.	M.A.
8/20/02	REVISED. NEW ROOM AND ESCELATOR ADDED TO 181st STREET MEZZ.	DI

NOTE: THIS DRAWING SUPERSEDES DRAWING MS-6057-N DATED 05-06-64.

NEW YORK CITY TRANSIT
DEPARTMENT OF SUBWAYS
MAINTENANCE OF WAY DIVISION
ENGINEERING SUBDIVISION
INFRASTRUCTURE SECTION

MTA

181st STREET STATION

STATION PLAN

8th AVENUE LINE - IND DIVISION

STATION NUMBER: 146

DATE: 10-15-96

18" x 42" = 5.25 s.f.

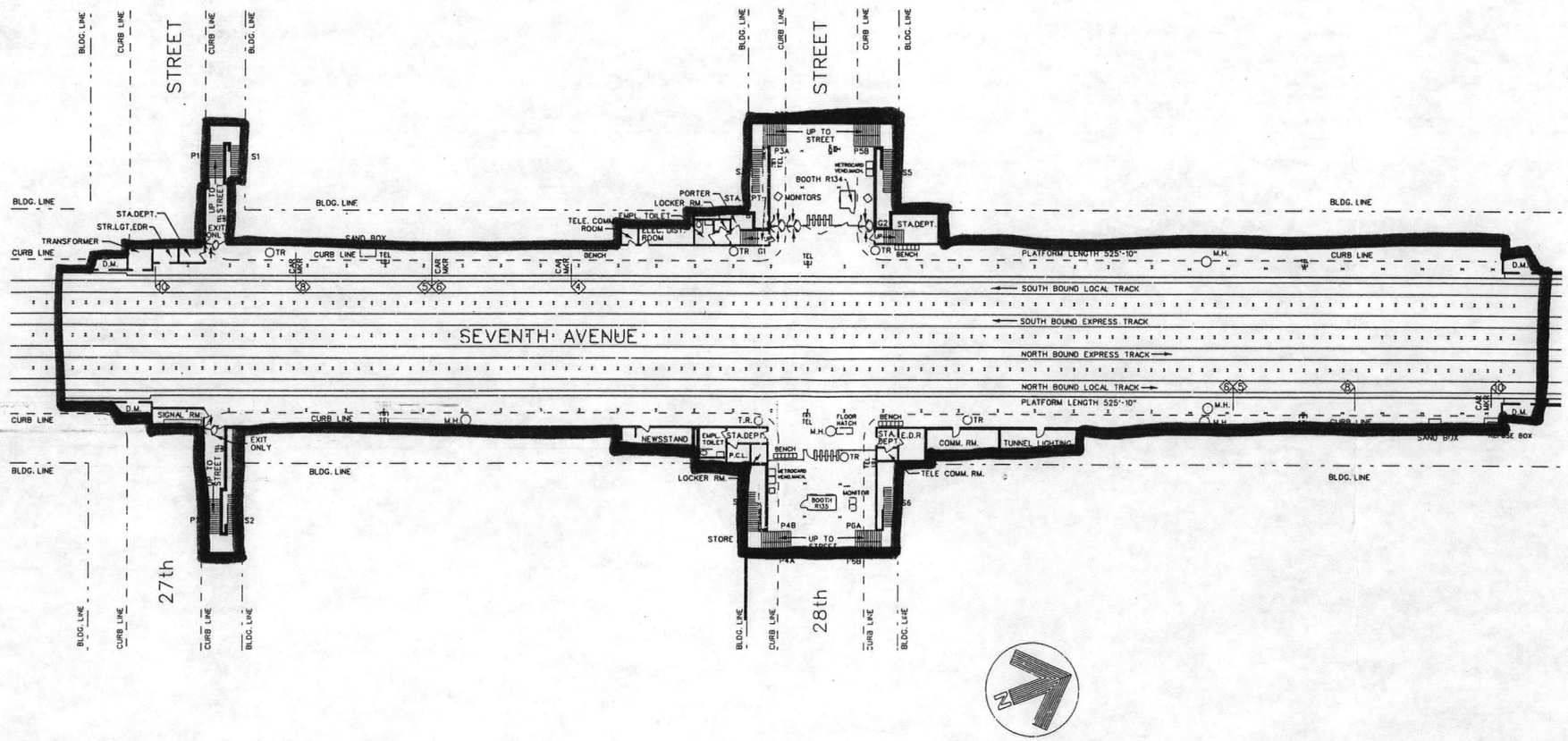

DATE	REVISIONS	BY
5-13-98	ALTERATION TO FARE CONTROL, CARMARKERS RELOCATED.	ECS
12-12-00	ADDED METROCARD VENDING MACHINES	HH
01-02-03	ADDED COMM.RM. & TUNNEL LIGHTING RM. @ NO.BOUND PLATFORM.	ECS

NOTE: THIS DRAWING SUPERSEDES DRAWING MS-8187-R DATE 01-17-73.

SCALE

0 25 50 100 FT

NEW YORK CITY TRANSIT
DEPARTMENT OF SUBWAYS
MAINTENANCE OF WAY DIVISION
ENGINEERING SUBDIVISION
INFRASTRUCTURE SECTION

MTA

28th STREET STATION

STATION PLAN

BROADWAY/ 7th AVE. LINE - IRT DIVISION

STATION NUMBER: 319

DATE: 5-07-98

Booth R133
Closed
Rules of Conduct
Subway Map
Passenger Information Center

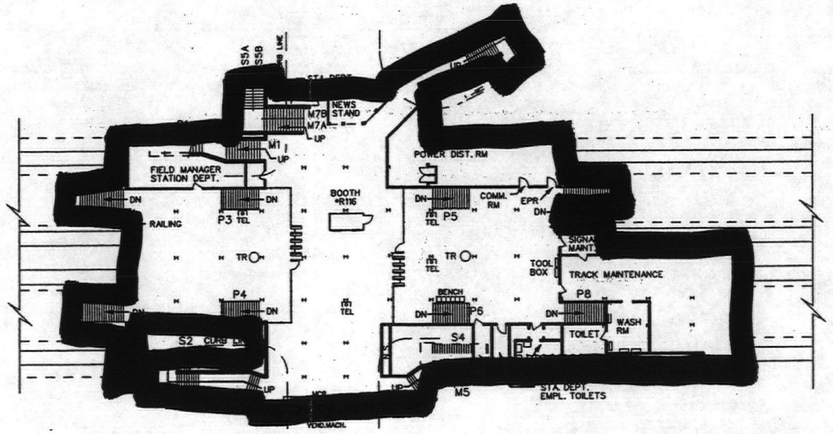

MEZZANINE PLAN

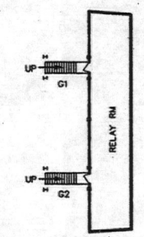

PLAN OF RELAY ROOM

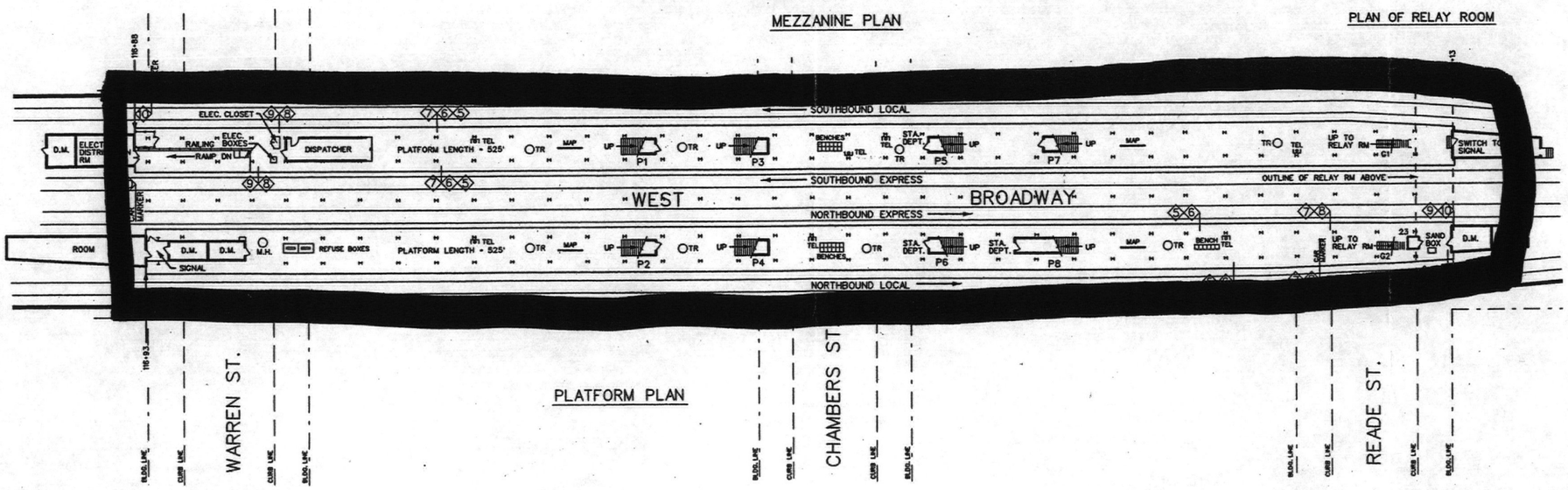

PLATFORM PLAN

DATE	REVISIONS	BY
4-28-98	FARE CONTROL AREA REVISED	H.H.
12-19-00	ADDED METROCARD VEND. MACH. & CARMARKERS RELOCATED	H.H.
12-26-02	EXPANDED POWER DISTRIBUTION ROOM, ADDED METROCARD VENDING MACHINES	H.H.

NOTE: THIS DRAWING SUPERSEDES DRAWING MS-7156-R DATED 07-25-68.

SCALE

0 25 50 100 FT

NEW YORK CITY TRANSIT
DEPARTMENT OF SUBWAYS
MAINTENANCE OF WAY DIVISION
ENGINEERING SUBDIVISION
INFRASTRUCTURE SECTION

MTA

CHAMBERS STREET STATION

STATION PLAN

BROADWAY/ 7th AVE. LINE - IRT DIVISION

STATION NUMBER: 327

DATE: ~~4-28-98~~

18" x 36" - 4.5 s.f.

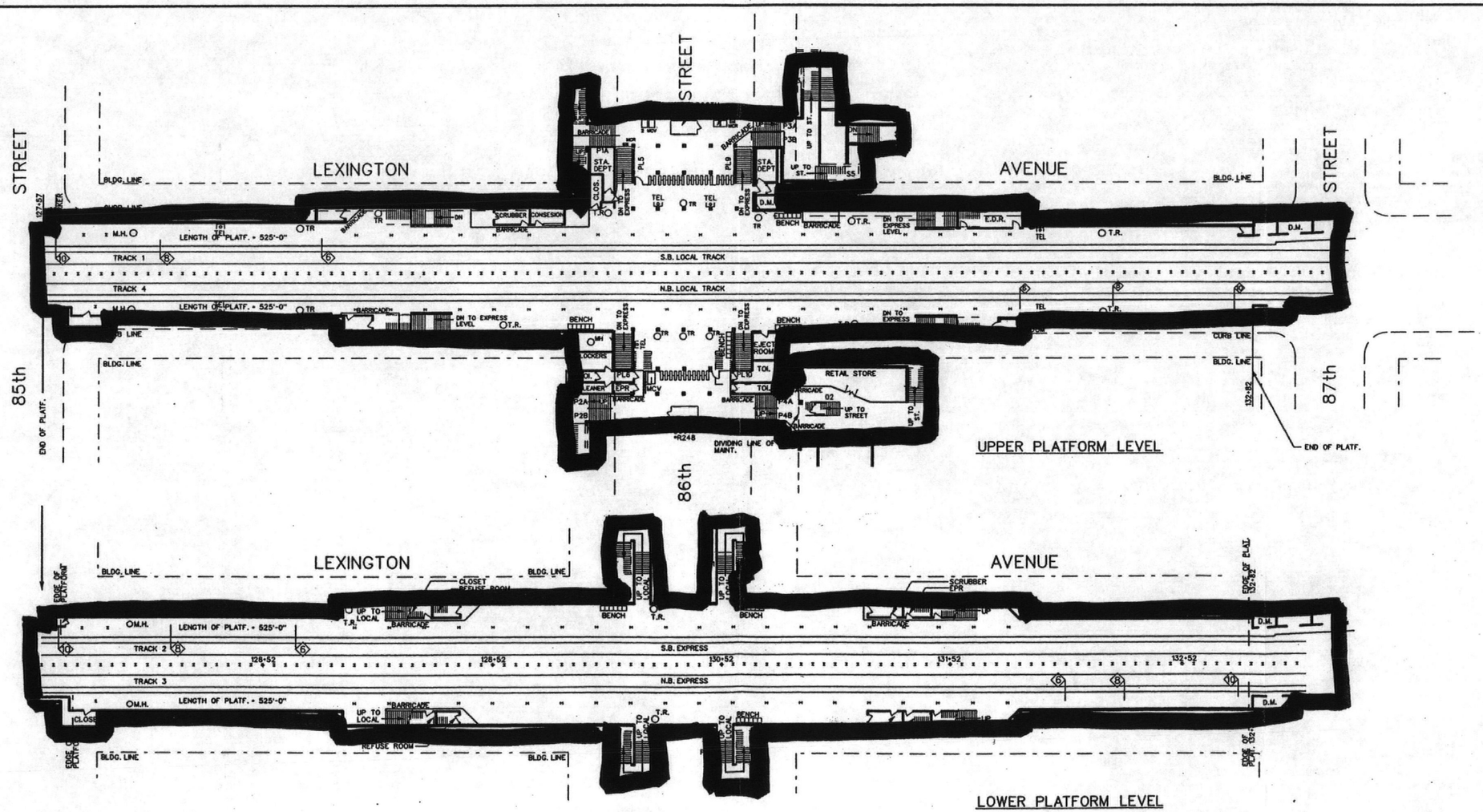

DATE	REVISIONS	BY
11-14-98	REVISED AS PER FIELD SURVEY. ALTERATION TO FARE CONTROL AND TO N.W. ENTRANCE (1280) LEXINGTON AVE.	M.A.
7-12-01	ADDED METROCARD VENDING MACHINES	H.H.
3-4-03	REVISED. STATION REHABILITATION AS PER CONTRACT A-35834	DI

NOTE: THIS DRAWING SUPERSEDES DRAWING MS-8025-R DATED 05-19-72.

SCALE

0 25 50 100 FT

NEW YORK CITY TRANSIT
DEPARTMENT OF SUBWAYS
MAINTENANCE OF WAY DIVISION
ENGINEERING SUBDIVISION
INFRASTRUCTURE SECTION

86th STREET STATION

STATION PLAN

LEXINGTON AVENUE LINE - IRT DIVISION

STATION NUMBER: 397

DATE: 11-09-98

18" x 36" = 4.5 s.f.

66 ST-LEX AV
No entry
Rules of Conduct

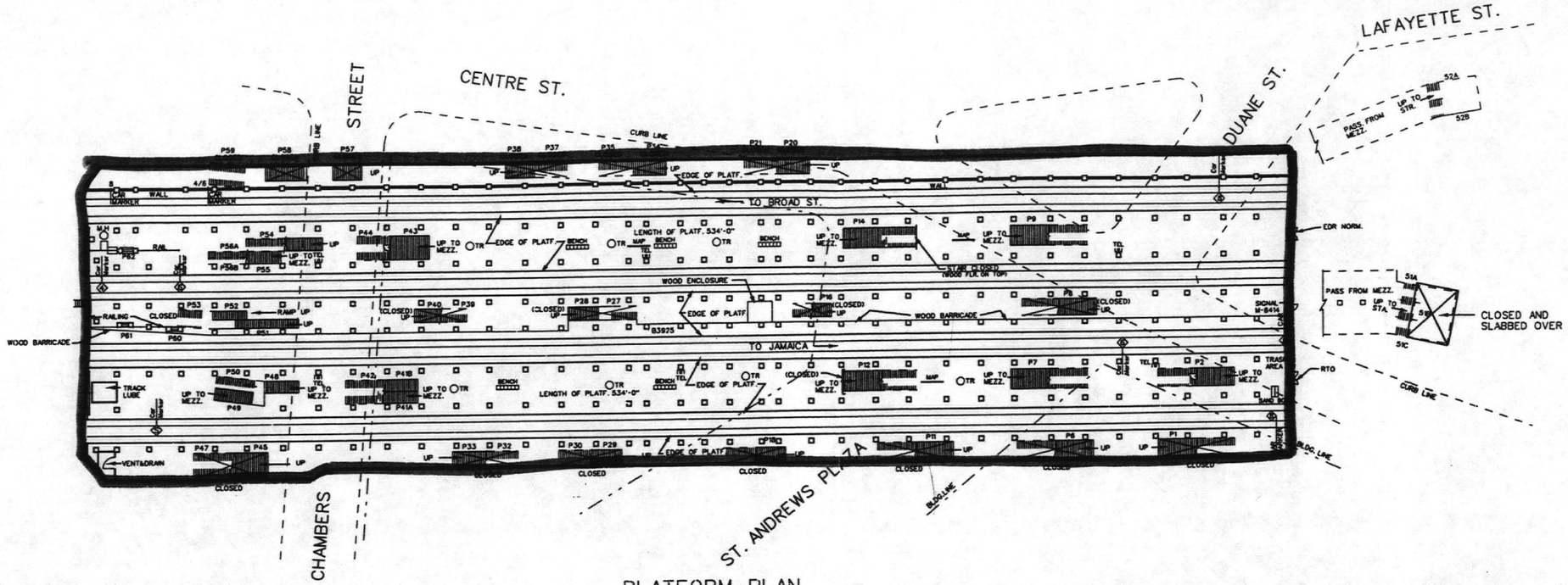

PLATFORM PLAN

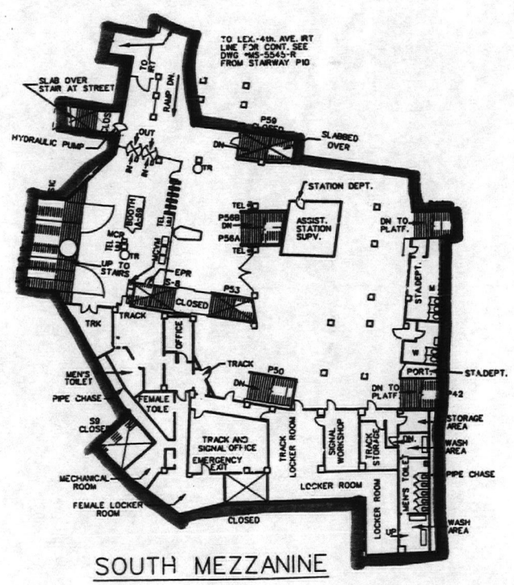

SOUTH MEZZANINE

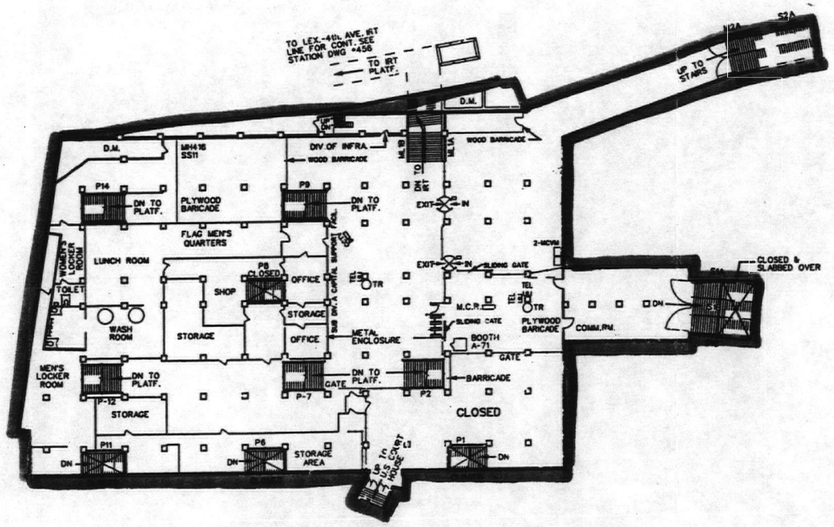

NORTH MEZZANINE

DATE	REVISIONS	BY
5-16-96	REVISED FARE CONTROL NORTH AND SOUTH MEZZANINE	JL
04-10-99	REVISED AS PER FIELD SURVEY. NO STRUCTURAL CHANGES	M.A.
12-03-01	ALTERATION TO FARE CONTROL AREA: ADDED CARMARKERS 6,4 & S : SLABBED OVER STAIRS P59 & STAIRS S1. STREET ALTERED.	DI

NOTE: THIS DRAWING SUPERSEDES DRAWING MS-6227-B DATED APRIL 23,1963

SCALE

0 25 50 100 FT

NEW YORK CITY TRANSIT
DEPARTMENT OF SUBWAYS
MAINTENANCE OF WAY DIVISION
ENGINEERING SUB DIVISION
INFRASTRUCTURE SECTION

MTA

CHAMBERS STREET STATION

STATION PLAN

NASSAU LOOP - BMT DIVISION

STATION NUMBER: 105

DATE: 03-13-96

24" x 36" - 6 s.f.

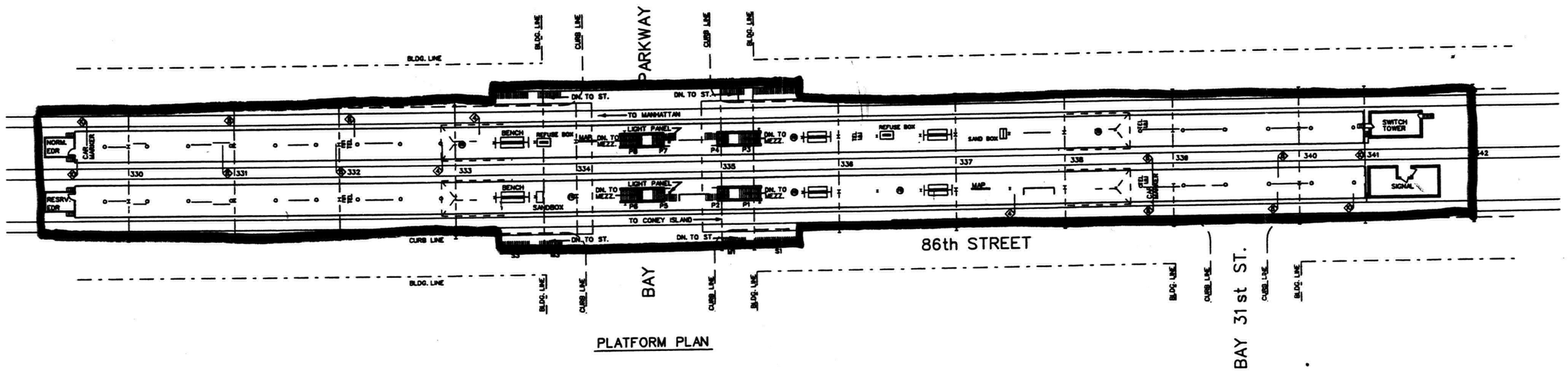

PLATFORM PLAN

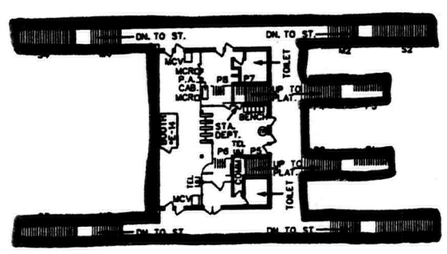

MEZZANINE PLAN

DATE	REVISIONS	BY
5-13-96	ALTERATION TO FARE CONTROL & ADDITION OF ENCLOSURES	H.H.
4-03-99	SURVEYED, REMOVED CREW QUARTERS AT SOUTH END OF SOUTHBOUND PLATFORM	JL
01-08-02	SURVEYED, REVISED AS PER FIELD SURVEY. CAR MARKERS #6 ON S/B LOCAL AND EXPRESS TRACKS ARE RELOCATED. NEW SIGNAL ROOM ON EDGE OF S/B PLATFORM.	DI

NOTE: THIS DRAWING SUPERSEDES DRAWING MS-7913-B DATED 11-05-71.

SCALE

0 25 50 100 FT

NEW YORK CITY TRANSIT
DEPARTMENT OF SUBWAYS
MAINTENANCE OF WAY DIVISION
ENGINEERING SUBDIVISION
INFRASTRUCTURE SECTION

MTA

BAY PARKWAY STATION

STATION PLAN

WEST END LINE - BMT DIVISION

STATION NUMBER: 68

DATE: 2-27-96

18" x 36" = 4.5 s.f.

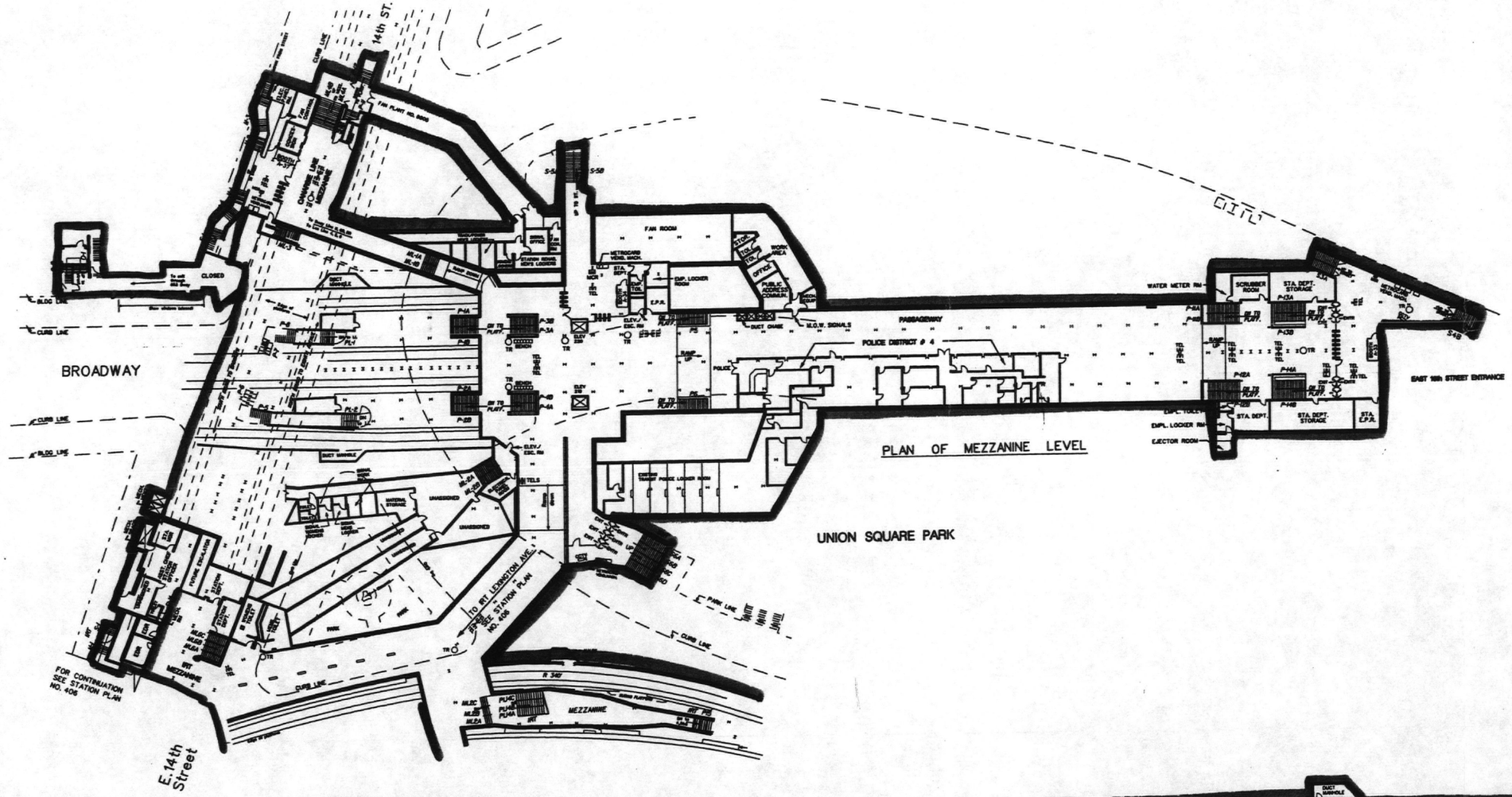

PLAN OF MEZZANINE LEVEL

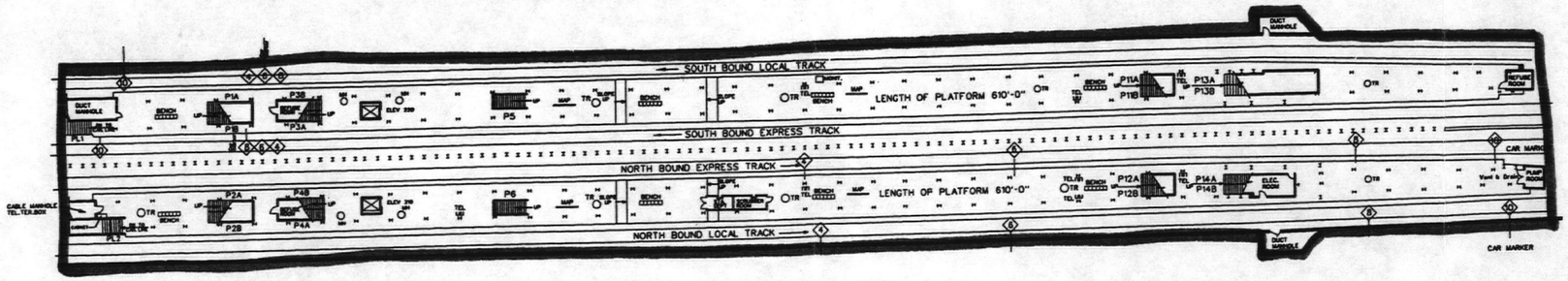

PLAN OF PLATFORM LEVEL

DATE	REVISIONS	BY
1-23-97	REVISED AS PER CONTRACT A-35705-2	JL
2-13-99	STILL IN CONSTRUCTION AS PER CONTRACT A-35705-2	ECS
1-26-00	STAIR NUMBER DESIGNATIONS	HH
10-29-01	ADDED METROCARD VENDING MACHINES	HH
5-19-03	SURVEYED: NO STRUCTURAL CHANGES	HH/ES

NOTE: THIS DRAWING SUPERSEDES DRAWING MS-9198-B DATED 04-20-77.

SCALE

0 25 50 100 FT

NEW YORK CITY TRANSIT
DEPARTMENT OF SUBWAYS
MAINTENANCE OF WAY DIVISION
ENGINEERING SUB DIVISION
INFRASTRUCTURE SECTION

14th STREET/ UNION SQUARE

STATION PLAN

BROADWAY/4th AVE. LINE- BMT DIVISION

STATION NUMBER: 15

DATE: 9-30-96

27" x 36 - 6.75 s.f.

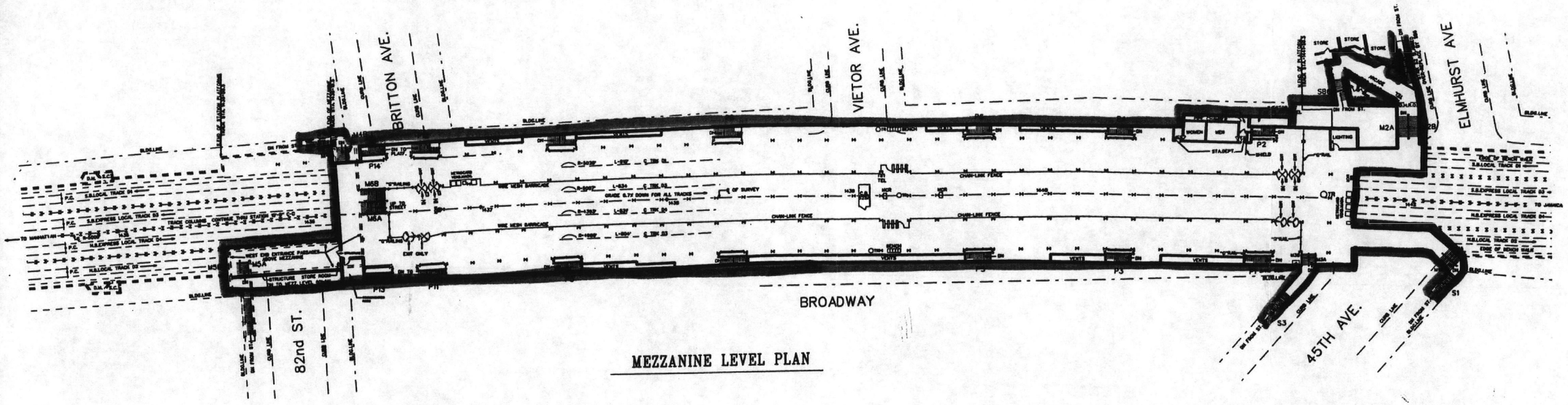

MEZZANINE LEVEL PLAN

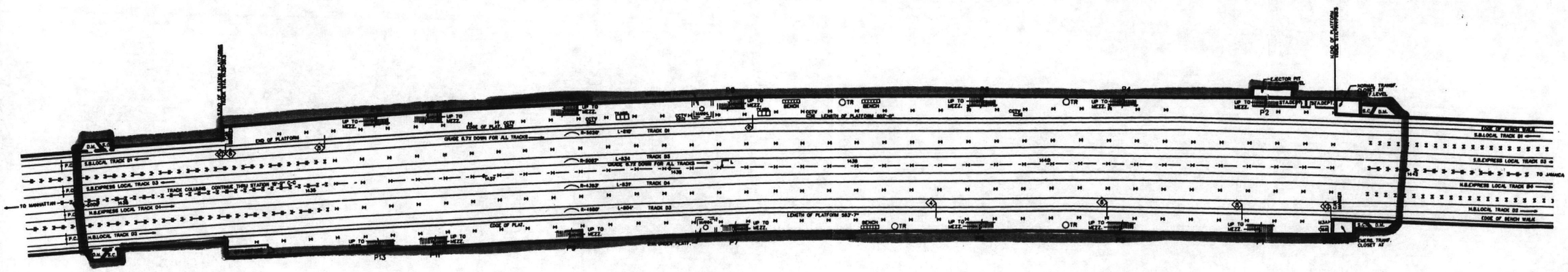

PLATFORM LEVEL PLAN

DATE	REVISIONS	BY
12-02-97	ALTERATION TO FARE CONTROL.	ECS
9-4-99	ADDED CCTV CAMERA & TV. MON. AT PLATFORM: ADDED HIGH WHEEL ENTRY/EXIT TURNSTILE AT EACH END OF MEZZ. AND ADDED EDRs (NORMAL & RESERVE) AT EAST END OF MEZZANINE.	FJ/MA
11-26-02	ADDED LIGHTING RM. & METROCARD VENDING MACHINES @ MEZZ.	ECS

NOTE: THIS DRAWING SUPERSEDES DRAWING MS-5892-N DATED 11-20-63.

SCALE

0 25 50 100 FT

NEW YORK CITY TRANSIT
DEPARTMENT OF SUBWAYS
MAINTENANCE OF WAY DIVISION
ENGINEERING SUBDIVISION
INFRASTRUCTURE SECTION

MTA

ELMHURST AVENUE STATION

STATION PLAN

QUEENS LINE - IND DIVISION

STATION NUMBER: 266

DATE: 10-15-97

24" x 36" - 6 s.f.

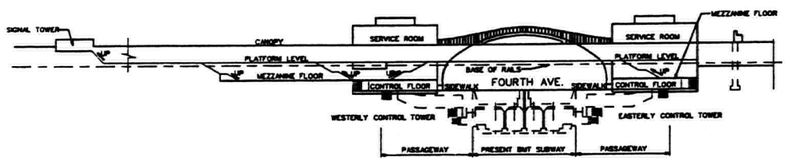

LONGITUDINAL SECTION

NO SCALE

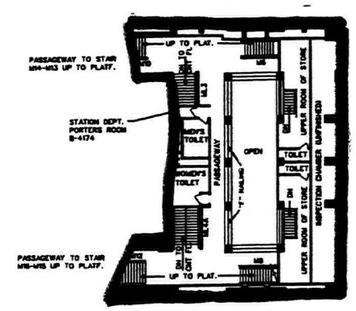

WEST MEZZANINE PLAN

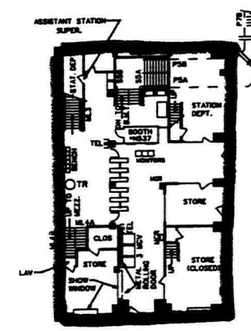

WEST FARE CONTROL PLAN

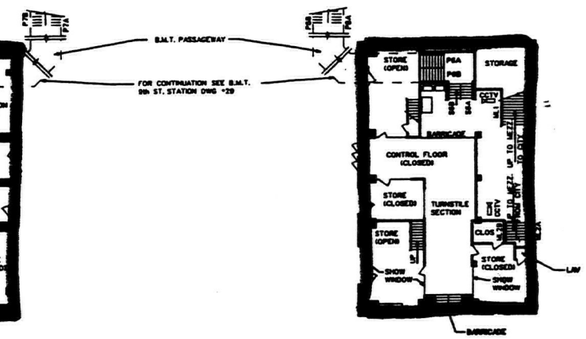

EAST FARE CONTROL PLAN

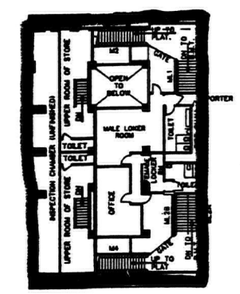

EAST MEZZANINE PLAN

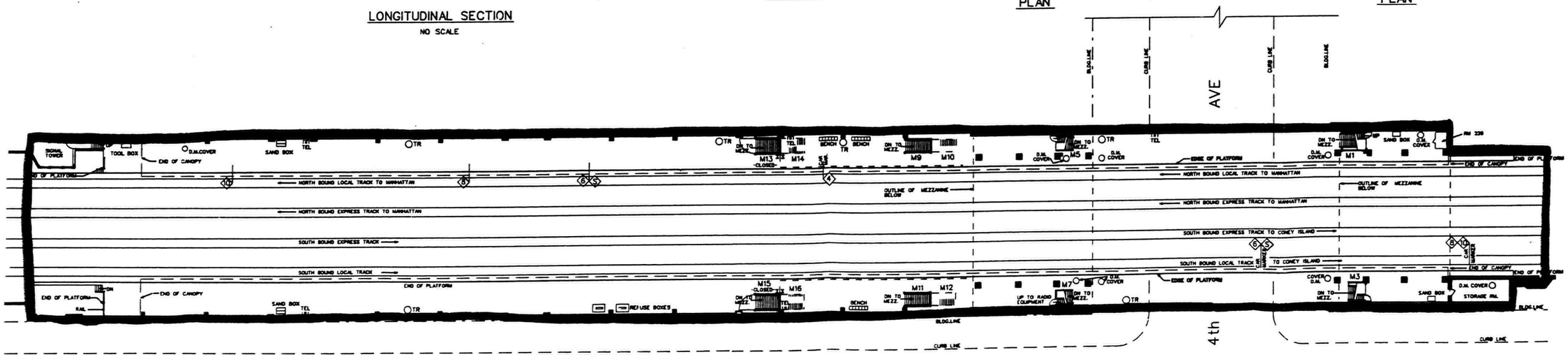

PLATFORM PLAN

DATE	REVISIONS	BY
6-19-97	ALTERATION TO FARE CONTROL	ECS
11-13-99	SURVEYED - TRACK QUARTERS ADDED.	FJ/hh
10-21-02	REVISED AS PER FIELD SURVEY NO STRUCTURAL CHANGES.	DI

NOTE: THIS DRAWING SUPERSEDES DRAWING MS-6008-N DATED 02-11-64.

N

SCALE

0 25 50 100 FT

NEW YORK CITY TRANSIT
DEPARTMENT OF SUBWAYS
MAINTENANCE OF WAY DIVISION
ENGINEERING SUBDIVISION
INFRASTRUCTURE SECTION

MTA

4th AVENUE STATION

STATION PLAN

6th AVENUE LINE - IND DIVISION

STATION NUMBER: 239

DATE: 6-20-97

18" x 36" = 4.5 s.f.

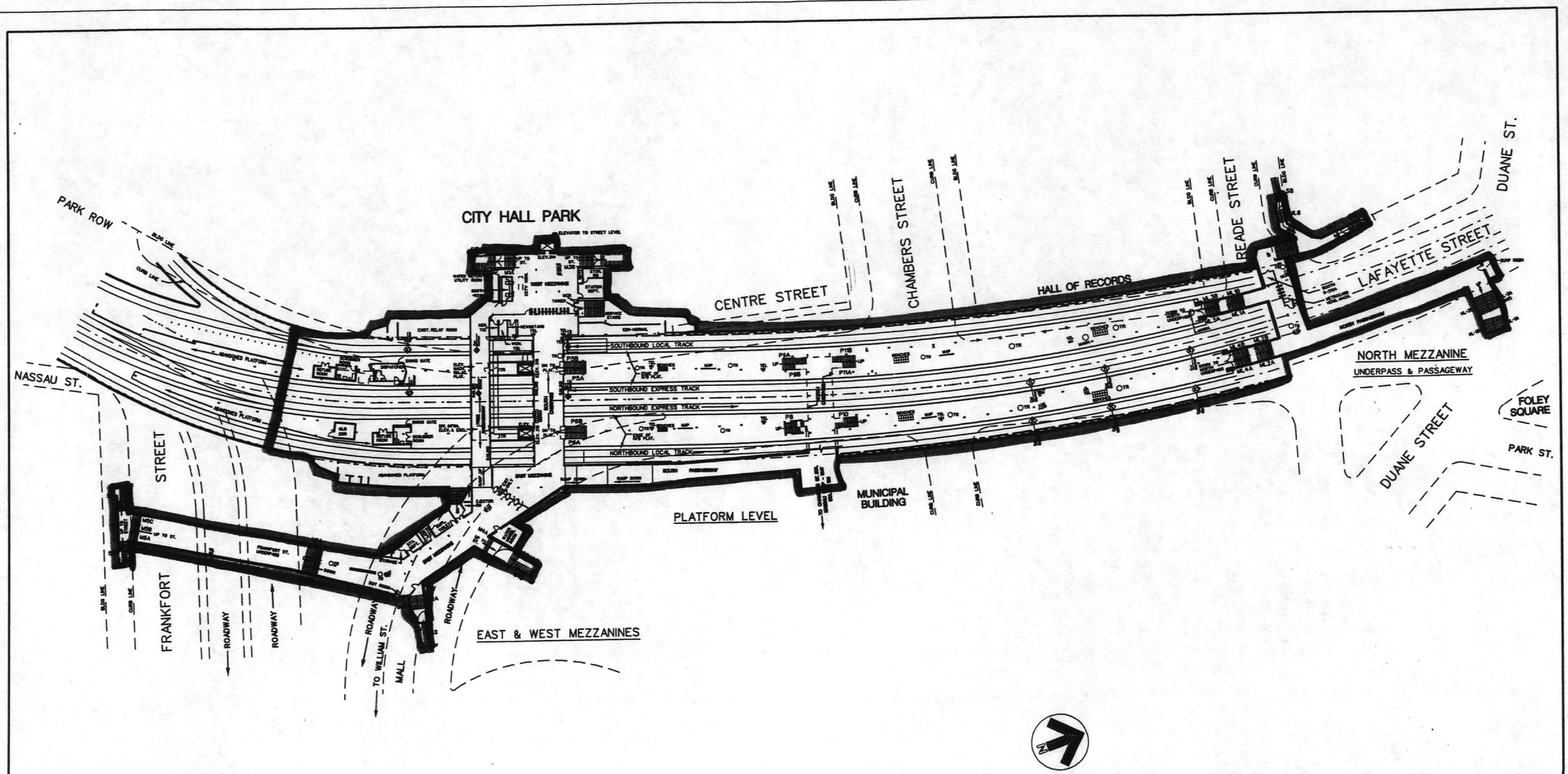

DATE	REVISIONS	BY
11-05-98	ADDED CARMARKERS: ALTERATION TO A.F.C. AT NORTH MEZZ.	ECS
4-22-99	STATION NAME REVISED AS PER OPERATIONS PLANNING	HH
6-01-01	STAIR M2A & M2B HAS BEEN SEALED. CAR MARKER #6 ON N/B EXP. TRACK , CAR MARKER #6 ON SOUTH EXPR. TRACK & CAR MARKER #6 ON S/B TRACK ARE MISSING	DI
3-13-03	SOUTH PASSAGEWAY TO CHAMBERS ST. STATION REOPENED	HH

NOTE: THIS DRAWING SUPERSEDES DRAWING MS-5545-R DATED 12-18-62.

SCALE

0 25 50 100 FT

NEW YORK CITY TRANSIT
DEPARTMENT OF SUBWAYS
MAINTENANCE OF WAY DIVISION
ENGINEERING SUBDIVISION
INFRASTRUCTURE SECTION

MTA

BROOKLYN BRIDGE- CITY HALL

STATION PLAN

LEXINGTON AVENUE LINE - IRT DIVISION

STATION NUMBER: 411

DATE: 11-02-98

24" x 42" - 7 s.f.

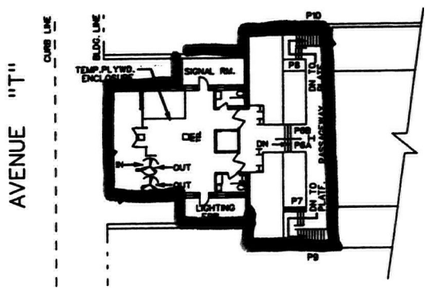

MEZZANINE PLAN
(STREET LEVEL)

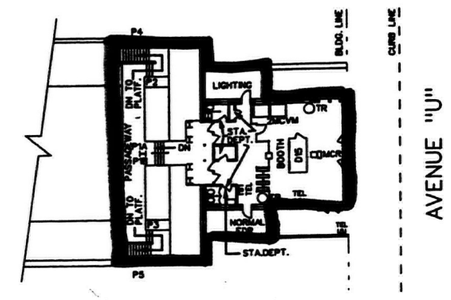

MEZZANINE PLAN
(STREET LEVEL)

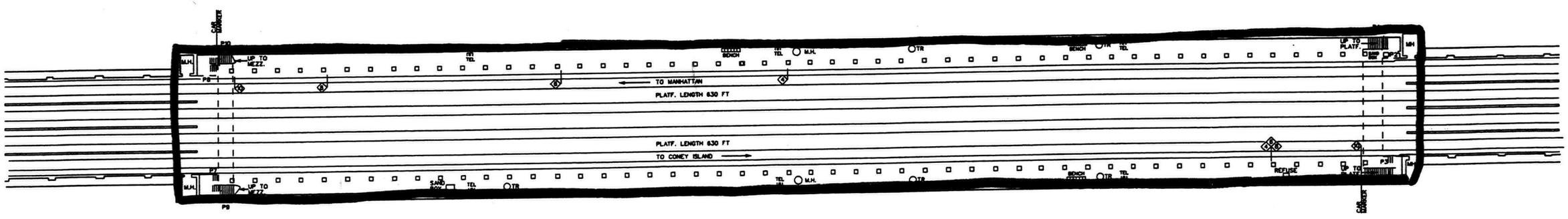

PLATFORM PLAN

DATE	REVISIONS	BY
4-09-96	ALTERATION TO FARE CONTROL AT AVENUE "U" MEZZANINE	H.H.
04-03-99	CARMARKER #10 RELOCATED: ADDED SIGNAL RM.	ECS
01-15-02	NO CHANGES: ADDED METROCARD VENDING MACHINE	ECS

NOTE: THIS DRAWING SUPERSEDES DRAWING MS-5782-B DATED 7-16-62.

N

SCALE
0 25 50 100 FT

NEW YORK CITY TRANSIT
DEPARTMENT OF SUBWAYS
MAINTENANCE OF WAY DIVISION
ENGINEERING SUBDIVISION
INFRASTRUCTURE SECTION
MTA

AVENUE "U" STATION
STATION PLAN
SEA BEACH LINE - BMT DIVISION

STATION NUMBER: 78

DATE: 4-09-96

18" x 36" = 4.5 s.f.

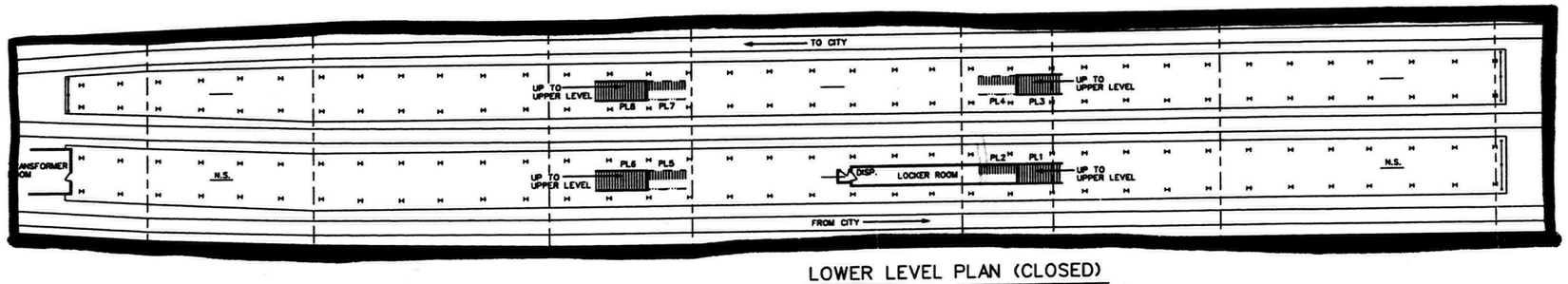

LOWER LEVEL PLAN (CLOSED)

CULVER LINE

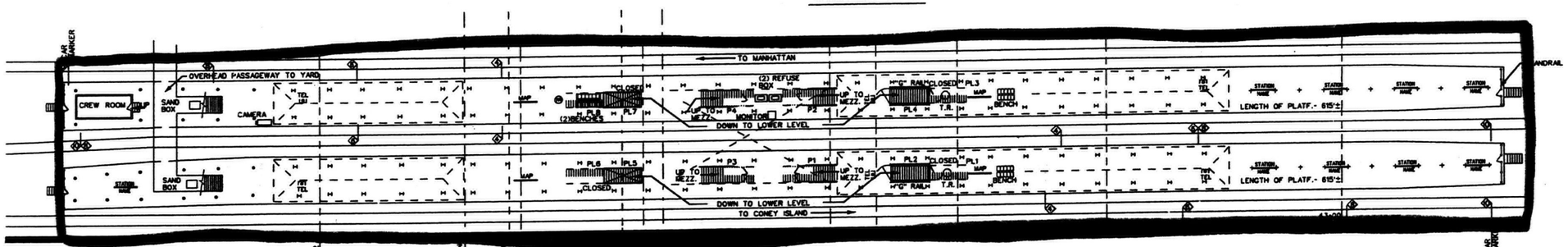

UPPER LEVEL PLAN

WEST END LINE

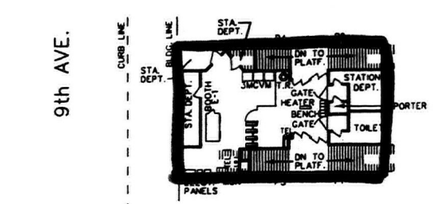

MEZZANINE PLAN

SCALE

0 25 50 100 FT

DATE	REVISIONS	BY
03-11-96	CARMARKERS RELOCATED	ECS
04-03-99	SURVEYED, NO STRUCTURAL CHANGES	JL
01-03-02	ALTERATION TO FARE CONTROL AREA: CARMARKER#8 RELOCATED.	ECS

NOTE: THIS DRAWING SUPERSEDES DRAWING MS-7924-B DATED 12-01-71.

NEW YORK CITY TRANSIT
DEPARTMENT OF SUBWAYS
MAINTENANCE OF WAY DIVISION
ENGINEERING SUB DIVISION
INFRASTRUCTURE SECTION

9th AVENUE STATION

STATION PLAN

WEST END LINE - BMT DIVISION

STATION NUMBER: 59

DATE: 02-12-96

18" x 36" = 4.5 s.f.

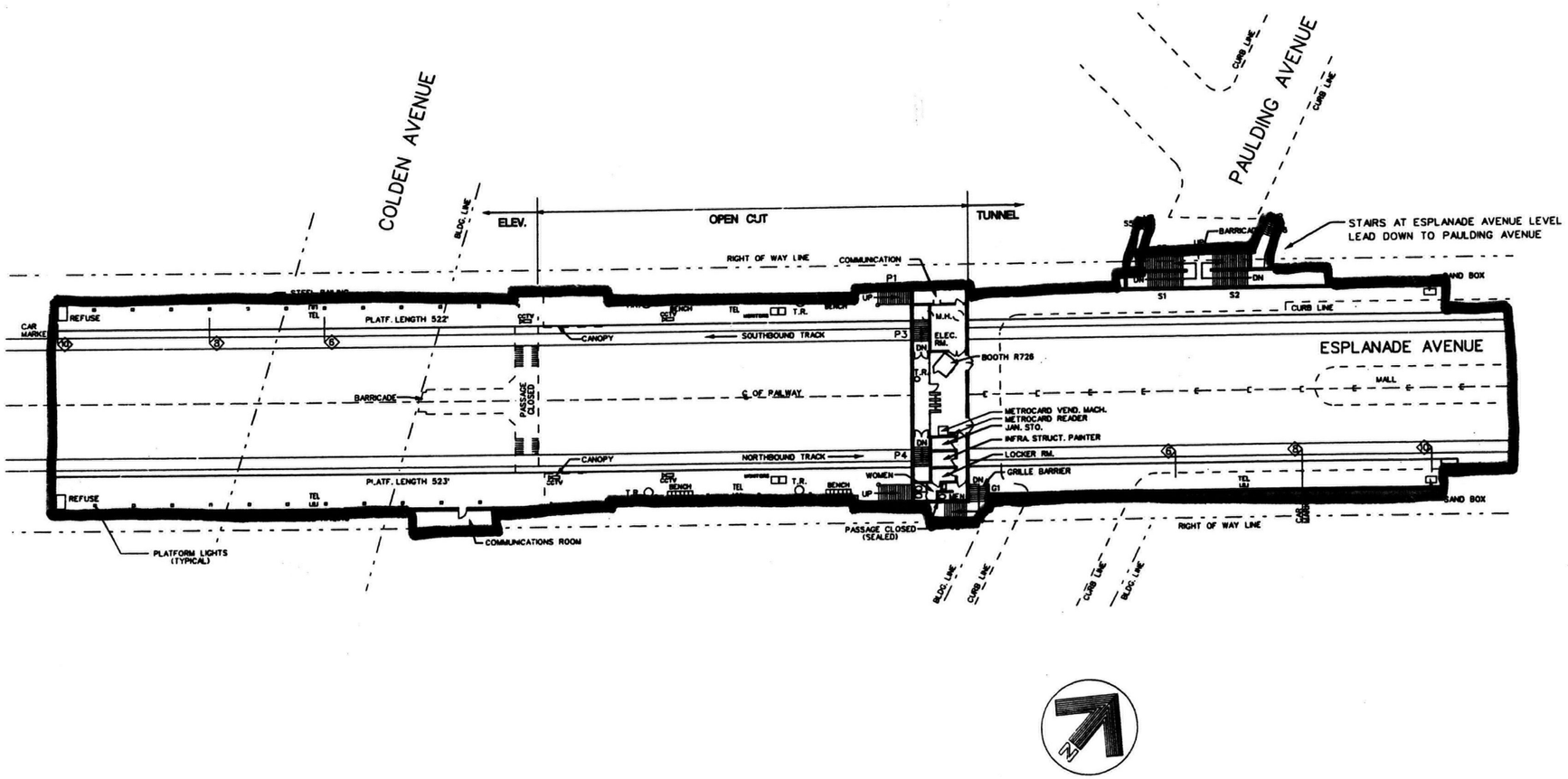

DATE	REVISIONS	BY
12-04-98	REVISED AS PER FIELD SURVEY. ALTERATION TO FARE CONTROL	M.A.
8-27-01	TEMPORARY ENCLOSURE ON N/B PLATFORM	H.H.
3-19-03	COMMUNICATIONS ROOM ADDED N/B PLATFORM, CCTV CAMERAS & MONITORS ADDED	H.H.

NOTE: THIS DRAWING SUPERSEDES DRAWING MS-7875-R DATED 9-7-1971.

SCALE

0 25 50 100 FT

NEW YORK CITY TRANSIT
DEPARTMENT OF SUBWAYS
MAINTENANCE OF WAY DIVISION
ENGINEERING SUBDIVISION
INFRASTRUCTURE SECTION

MTA

MORRIS PARK STATION

STATION PLAN

DYRE AVENUE LINE - IRT DIVISION

STATION NUMBER: 446

DATE: 12-04-98

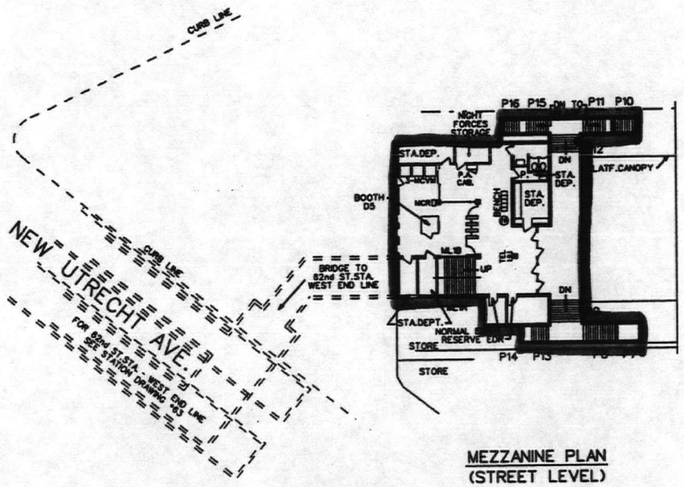

MEZZANINE PLAN
(STREET LEVEL)

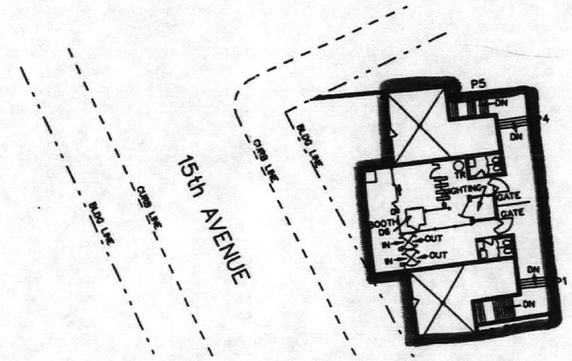

MEZZANINE PLAN
(STREET LEVEL)

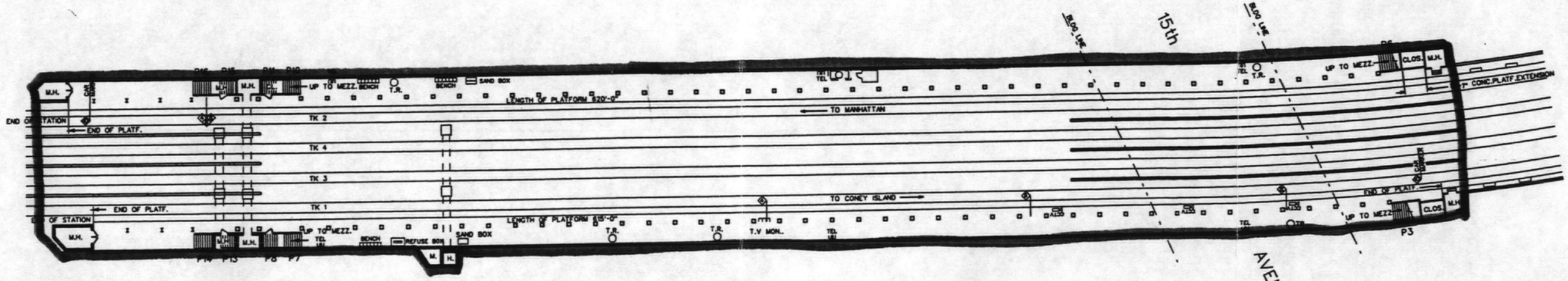

PLAN AT TRACK LEVEL

DATE	REVISIONS	BY
4-02-96	SURVEYED - NO STRUCTURAL CHANGES	H.H.
04-03-99	ALTERATION TO FARE CONTROL.	FJ
01-11-02	ALTERATION TO FARE CONTROL AT NORTHEND OF PLATFORM: ADDED CCTV CAMERA AND METROCARD VENDING MACHINE	ECS

NOTE: THIS DRAWING SUPERSEDES DRAWING MS-5777-B DATED 06-06-62.

SCALE
0 25 50 100 FT

NEW YORK CITY TRANSIT
DEPARTMENT OF SUBWAYS
MAINTENANCE OF WAY DIVISION
ENGINEERING SUBDIVISION
INFRASTRUCTURE SECTION
MTA

NEW UTRECHT AVENUE
STATION PLAN
SEA BEACH LINE - BMT DIVISION
STATION NUMBER: 73 DATE: 02-29-96

18" x 36" - 4.5 s.f.

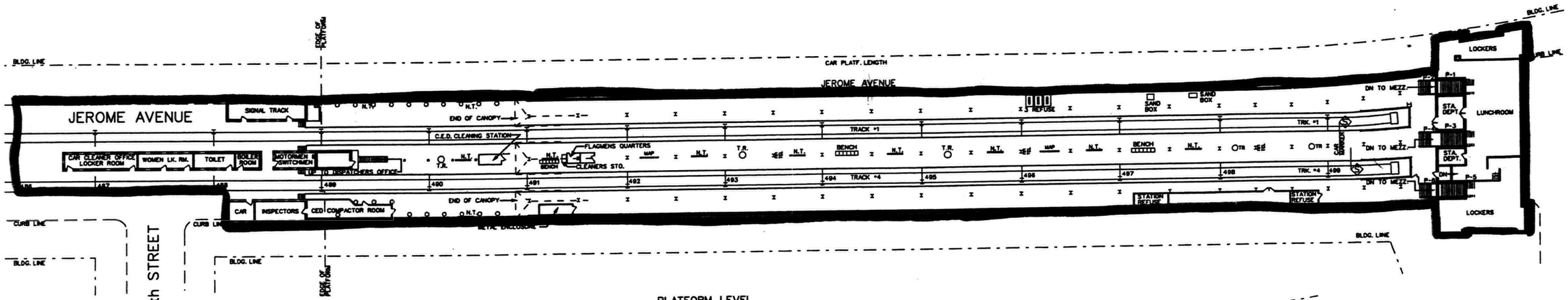

PLATFORM LEVEL

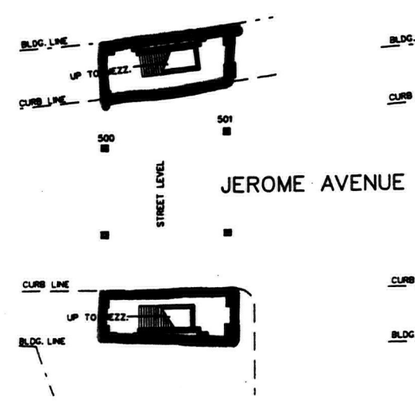

STREET LEVEL

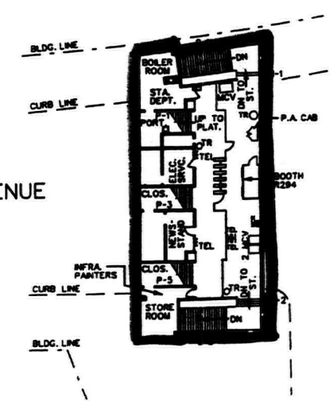

MEZZANINE LEVEL

DATE	REVISIONS	BY
12-11-98	ALTERATION TO FARE CONTROL	H.H.
7-30-01	STATION SURVEY: NO STRUCTURAL CHANGE	ECS
2-24-03	REVISED, NEW REFUSE, CED, LOCKERS AND LUNCH ROOMS ADDED TO PLATFORM.	DI

NOTE: THIS DRAWING SUPERSEDES DRAWING MS-7410-R DATED 09-10-69.

SCALE

0 25 50 100 FT

NEW YORK CITY TRANSIT
DEPARTMENT OF SUBWAYS
MAINTENANCE OF WAY DIVISION
ENGINEERING SUBDIVISION
INFRASTRUCTURE SECTION

WOODLAWN STATION

STATION PLAN

JEROME AVE. LINE - IRT DIVISION

STATION NUMBER: 378

DATE: 12-04-98

18" x 36" - 4.5 s.f.

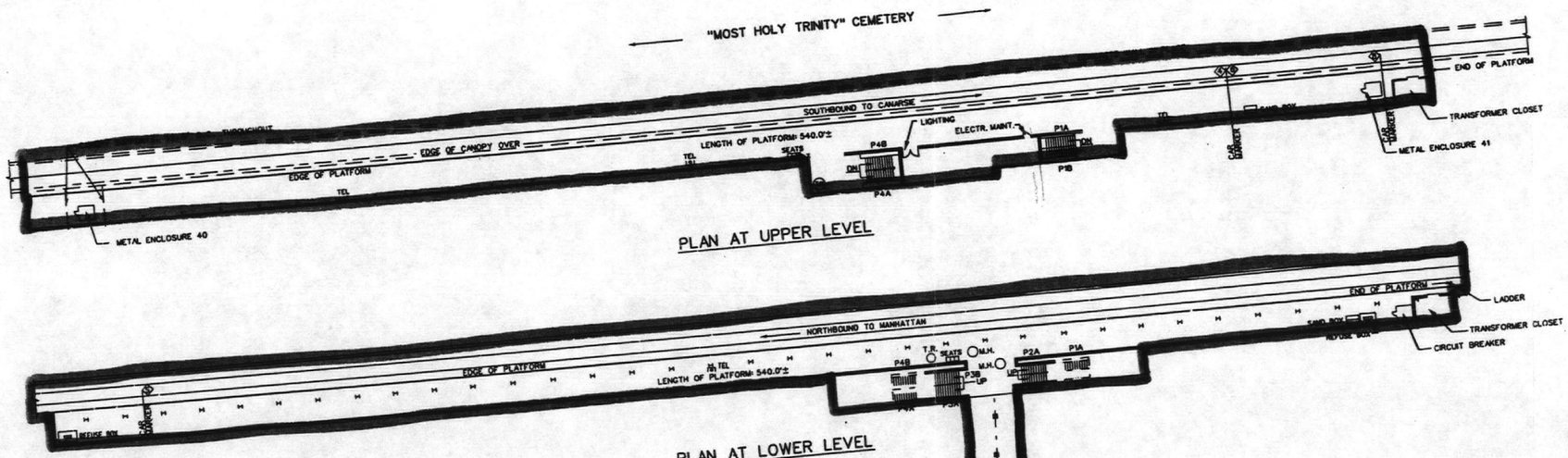

PLAN AT UPPER LEVEL

PLAN AT LOWER LEVEL

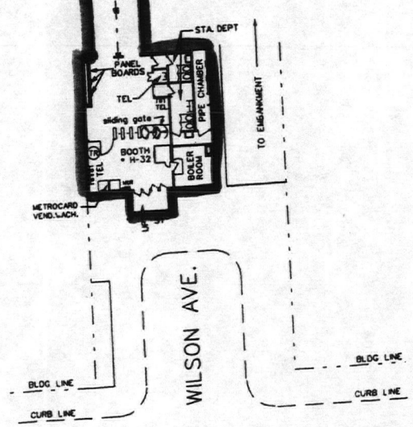

SCALE

0 25 50 100 FT

DATE	REVISIONS	BY
5-31-96	ALTERATION AT FARE CONTROL AREA: ADDED CARMARKERS	ECS
4-17-99	SURVEYED - NO STRUCTURAL CHANGES	FJ
2-20-02	ADDED METROCARD VENDING MACHINES	MH

NOTE: THIS DRAWING SUPERSEDES DRAWING MS-5815-B DATED 07-09-59.

NEW YORK CITY TRANSIT
DEPARTMENT OF SUBWAYS
MAINTENANCE OF WAY DIVISION
ENGINEERING SUBDIVISION
INFRASTRUCTURE SECTION

WILSON AVENUE STATION

STATION PLAN

CANARSIE LINE - BMT DIVISION

STATION NUMBER: 130

DATE: 06-05-96

18" x 36" - 4.5 s.f.

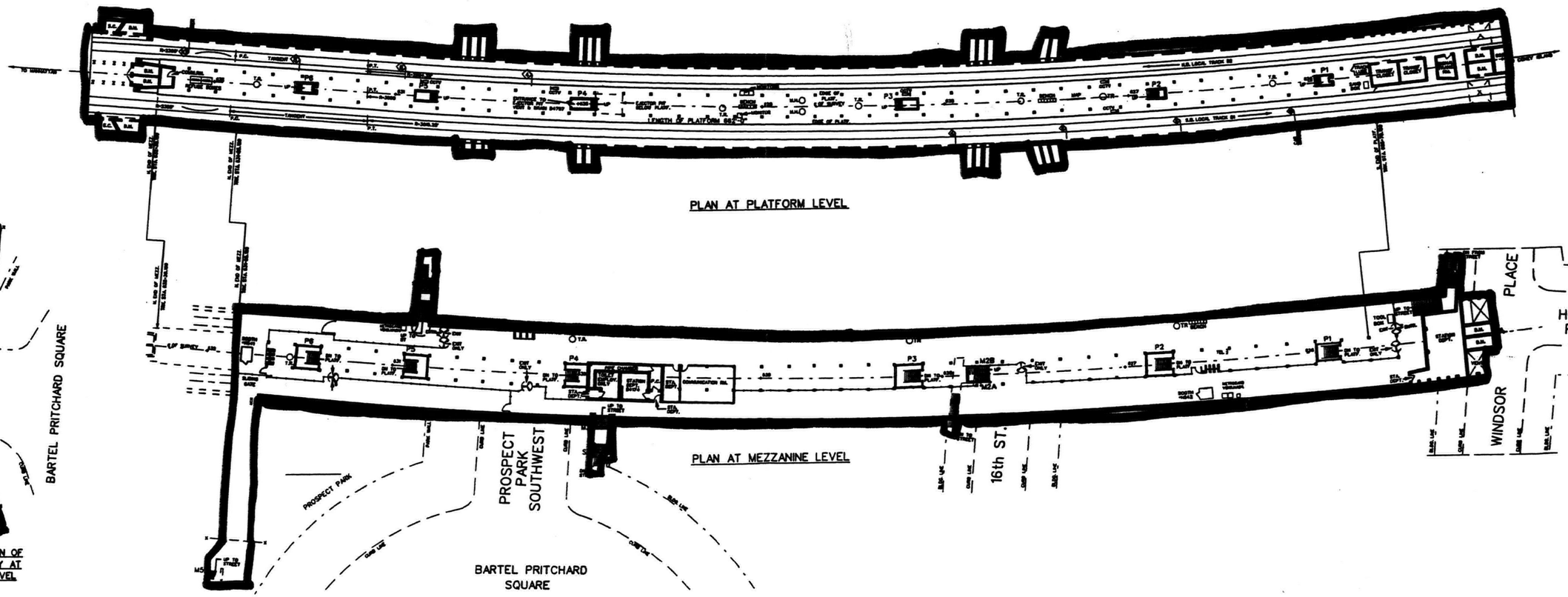

DATE	REVISIONS	BY
7-17-97	FARE CONTROL AREAS REVISED	H.K.
11-13-99	ADDED EXIT WHEEL NEAR STAIR P6	FJ/hh
10-29-02	ADDED COMM.RM. & 3 HIGHWHEEL ENTR/EXIT A.F.C. AT MEZZ. LEVEL	ECS

NOTE: THIS DRAWING SUPERSEDES DRAWING MS-6010-N DATED 02-06-63.

SCALE

0 25 50 100 FT

NEW YORK CITY TRANSIT
DEPARTMENT OF SUBWAYS
MAINTENANCE OF WAY DIVISION
ENGINEERING SUBDIVISION
INFRASTRUCTURE SECTION

MTA

PROSPECT PK.-15th ST. STATION

STATION PLAN

6th AVENUE LINE - IND DIVISION

STATION NUMBER: 241

DATE: 07-10-97

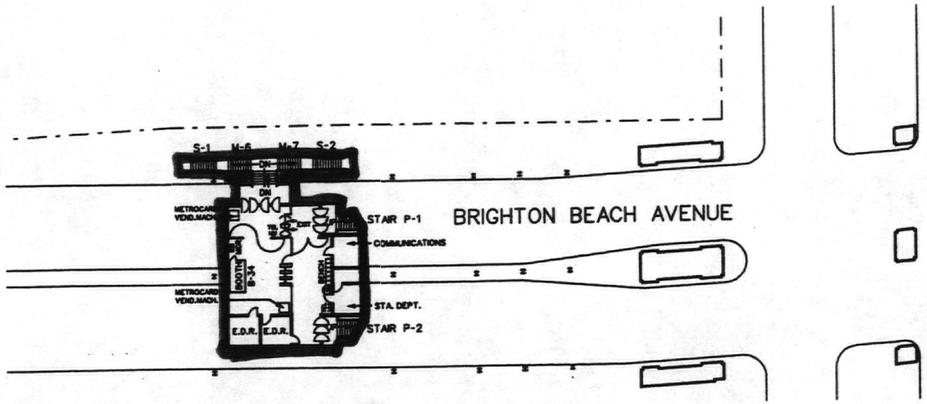

MEZZANINE PLAN

PARKWAY

OCEAN

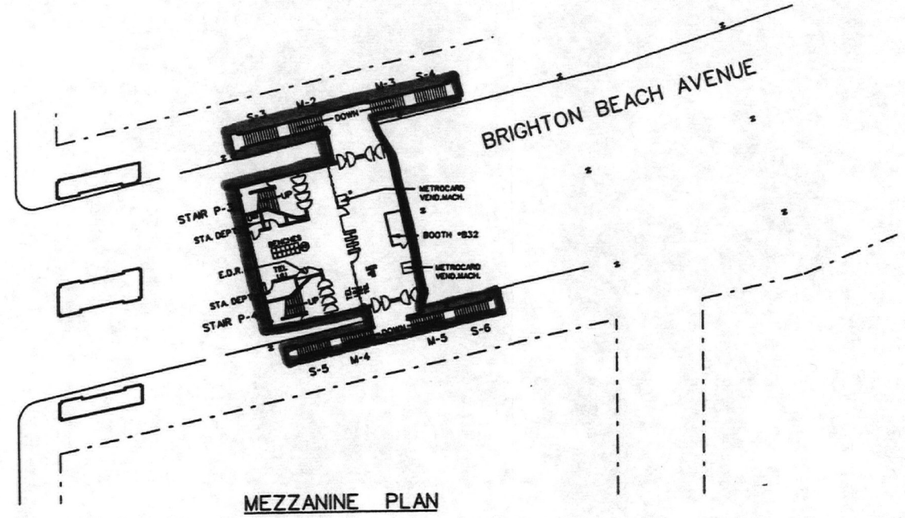

MEZZANINE PLAN

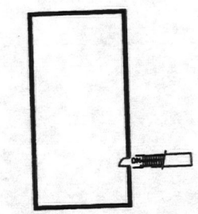

NEW SIGNAL RELAY ROOM

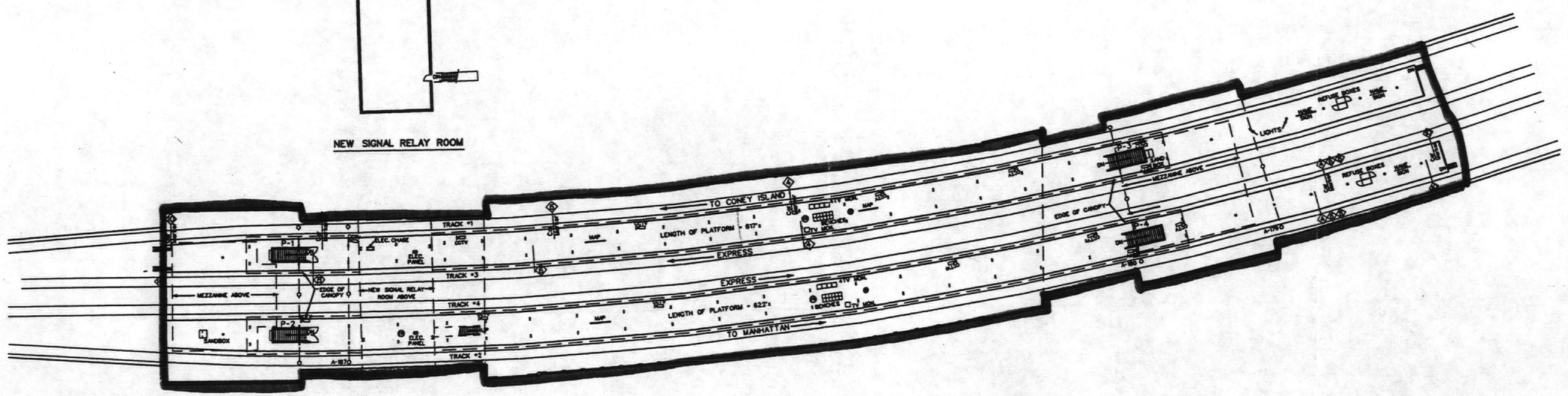

PLATFORM LEVEL PLAN

N

NOTE: STATION CLOSED SEPT. 8, 2002, DUE TO STILLWELL TERMINAL PROJECT

DATE	REVISIONS	BY
6-24-96	ALTERATION TO FARE CONTROL & NEW SIGNAL RELAY ROOM	H.H.
2-20-99	ADDED CCTV CAMERA AND TV MONITOR: ADDED CARMARKERS AT EXPRESS TRACK TO CONEY IS. PLATFORM.	ECS
12-27-01	TOWER BOOTH ON MANH PLAT. REMOVED, ADDED METROCARD MACHINES AT FARE CONTROL & MAPS ON PLATFORMS	HH/AA

NOTE: THIS DRAWING SUPERSEDES DRAWING MS-5800-B DATED 11-04-60.

SCALE

0 25 50 100 FT

NEW YORK CITY TRANSIT
DEPARTMENT OF SUBWAYS
MAINTENANCE OF WAY DIVISION
ENGINEERING SUBDIVISION
INFRASTRUCTURE SECTION

MTA

OCEAN PARKWAY STATION

STATION PLAN

BRIGHTON BEACH LINE - BMT DIVISION

STATION NUMBER: 56

DATE: 6-20-96

24" x 36" - 6 s.f.